Apartment Development Feasibility Study

490 St. Clair West Limited Partnership c/o Canderel

DRAFT

Site: 490 St. Clair Avenue West
Toronto, Ontario

Prepared For: 490 St. Clair West Limited Partnership c/o Canderel
25-0037

Prepared By: Research Department
SVN Rock Advisors Inc.

Date: August 2025

Table of Contents

1 - EXECUTIVE SUMMARY 3
2 - SWOT ANALYSIS 7
3 - SUBJECT SITE 8
4 - MARKET DELINEATION 10
5 - MARKET SEGMENTATION 12
6 - DEMOGRAPHIC PROFILES 18
7 - HOUSEHOLD AFFORDABILITY 25
8 - DEMAND ANALYSIS 29
9 - COMPETITIVE MARKET ANALYSIS 45
10 - PRIMARY MARKET ANALYSIS 49
11 - SECONDARY MARKET ANALYSIS 88
12 - TARGET RESIDENT PROFILE 94
13 - UNIT RECOMMENDATIONS 97
14 - AMENITY RECOMMENDATIONS 100
15 - UNIT SIZING AND MIX 109
16 - PARKING AND STORAGE RECOMMENDATIONS 110
17 - RECOMMENDED RENTS 112
18 - STABILIZED OPERATING PROFORMA 121
19 - LEASING AND PROJECT ABSORPTION 123
20 - MARKETING RECOMMENDATIONS 126
APPENDIX A - TERMS OF REFERENCE 128
APPENDIX B - REPORT TERMINOLOGY 131
APPENDIX C - RENTAL FORMULA 135

DRAFT

1 – EXECUTIVE SUMMARY

SVN Rock Advisors Inc. (the "Consultant") conducted a Market Feasibility Study comprising of a demographic, demand, and competitive market analysis to assess the viability of developing a multi-residential development at 490 St. Clair Avenue West in Toronto, Ontario.

Site Location	Strong
Population Growth	Strong
Age Profile	Mixed
Household Affordability	Strong
Demand	Under-Supplied
Competition	Moderate
Vacancy	Average Vacancy

Executive Summary

Source: SVN Rock Advisors

DRAFT

Site Location & Proposed Development

The proposed development at 490 St. Clair Avenue West is situated near Bathurst Street in a highly desirable midtown Toronto neighbourhood. The project will feature three residential towers and a connecting podium comprising 1,229 total units, including 372 purpose-built rental units and the remainder as condominium. The surrounding area offers a rich mix of amenities, with restaurants, retail, and entertainment options all within walking distance. Residents will also benefit from direct access to the St. Clair West subway station, providing connectivity across the city. This combination of location, convenience, and neighbourhood character positions the site for strong market appeal.

Market Segmentation

Population growth is considered a positive metric for the success of new rental apartments since it helps indicate if there is sufficient growth to support the addition of new rental apartments in the local housing supply. Between 2025 and 2035, the population of Toronto is expected to increase by 289,092 persons (9.0%). During this time the neighbourhoods surrounding the subject site are expected to increase by approximately 3,925 persons (6.8%). This growth is a positive indicator because it suggests that the neighbourhood has historically been highly desirable to new residents and that demand for new housing is expected to continue to increase over the next decade.

Household Demographics

The neighbourhood surrounding the subject site features a mixed age profile that skews older, with higher proportions of seniors and empty nesters aged 55 to 74. This demographic is increasingly drawn to rental housing as they look to downsize from single-family homes in favour of professionally managed buildings with less maintenance and greater security of tenure. At the same time, the area also sees strong representation from young adults aged 25 to 34, a group with a high propensity to rent due to lifestyle flexibility and proximity to employment and education opportunities. These trends suggest a favourable demographic foundation for the success of a new rental apartment development at the subject site.

Household Affordability

The local neighbourhood surrounding the subject site demonstrates strong household income levels, with 46.2% of households earning over $125,000 annually and able to support monthly rents above $3,125. This is notably higher than the broader Toronto average, where 36.6% of households fall into the same affordability range. Additionally, 8.8% of local households can afford rents between $2,500 and $3,125, aligning with mid-range rental pricing. These figures indicate that the nearby market has the financial capacity to support premium rental rates, reinforcing the viability of a luxury multi-residential development at the subject site.

Average Household Income

Household incomes in the local neighbourhood are notably strong, with 55.1% of households earning over $100,000 annually, compared to 46.2% across broader Toronto. This elevated income profile suggests a substantial pool of higher-end renters already living in close proximity to the subject site. The surrounding neighbourhoods are well-established and affluent, which supports the viability of a premium rental offering and reinforces the potential for strong lease-up performance at the proposed development.

Demand Analysis

While the surrounding neighbourhood has a relatively saturated rental market with 15.61 rental apartments per 100 people, demand remains strong. Notably, 35.1% of renters in the area rely on the secondary market, indicating a gap in purpose-built rental supply. Across both the local community, only 1.4 rental units per 100 people have been built since 2000, highlighting a significant undersupply of new rental product. This suggests that when high-quality rental apartments are introduced to the market, they are likely to be well-received and experience strong lease-up and absorption performance.

Competitive Market Analysis

The average monthly rent across all unit types in the subject site's surrounding area is $2,245, according to CMHC. However, rents achieved by newer purpose-built rental apartments and secondary market listings in Toronto and comparable neighbourhoods are significantly higher. This indicates that newly built rental stock in the area is positioned to outperform CMHC averages. Additionally, the local community maintains some of the lowest vacancy rates among benchmark municipalities at just 2.5%. This suggests that new purpose-built rental product is likely to be well-absorbed upon launch, with minimal challenges during lease-up.

DRAFT

Recommended Unit Sizing, Mix and Achievable Rents

The following tables present recommendations concerning the progress of 490 St. Clair Avenue West, encompassing the total number of units, suitable unit composition and sizes, attainable monthly rents (and rents per square foot), suggested allocation of amenity space and approved uses, as well as parking allocation and associated fees. A comprehensive explanation can be found in subsequent sections of the report.

	UNIT MIX, SIZING, AND RENTS				
	Unit Count	Unit Mix	Avg SF	Avg Rent	Avg Rent/SF
Bachelor	15	4.0%	420	$2,675	$6.37
1-Bed	88	23.7%	599	$3,350	$5.59
1-Bed Affordable	11	3.0%	450	$1,715	$3.81
1-Bed + Den	88	23.7%	675	$3,650	$5.41
2-Bed	65	17.5%	800	$4,150	$5.19
2-Bed Affordable	12	3.2%	625	$1,985	$3.18
2-Bed + Den	43	11.6%	875	$4,450	$5.09
3-Bed	47	12.6%	1000	$5,200	$5.20
3-Bed Affordable	3	0.8%	925	$2,268	$2.45
TOTAL	**372**	**100.0%**	**727**	**$3,793**	**$5.22**

	AMENITIES
Amenity List	Lobby/Café/Bar | Pet Grooming Room | Party Room | Childcare | Games Room | Fitness Centre | Yoga/ Spin Studio| Theatre | Co-Working Station | Lounge | Health/ Wellness Clinic | Multi-Purpose | Kid Zone | Dining/ Kitchen
Total Amenity SF	22,372

	PARKING AND STORAGE	
	Unit Count	Monthly Fee
Underground Parking	158	$200
Surface Parking	-	-
Visitor Parking	19	-
Storage Lockers	186	$100

Key Unit Recommendations

Source: SVN Rock Advisors

DRAFT

Estimated Market Value at Stabilization

Cap Rate	Unit Count	Avg Rent/SF	Estimated Total Market Value	Estimated Unit Market Value
4.25%	372	$5.22	$302.9M	$814.2K
4.50%	372	$5.22	$286.1M	$769.0K
4.75%	372	$5.22	$271.0M	$728.5K

Estimated Market Value at Stabilization

Source: SVN Rock Advisors

DRAFT

2 – SWOT ANALYSIS

The following section includes a SWOT analysis outlining the significant strengths, opportunities, weaknesses, and potential threats associated with the subject site as a rental development property. Each point will be further elaborated in detail within the report.

STRENGTHS

- Proximity to subway.
- Proximity to major highways.
- Proximity to employment centre.
- Limited competition in surrounding neighbourhood.
- Proximity to natural amenities - parks, walking trails.

WEAKNESSES

- No weaknesses identified at this time.

OPPORTUNITIES

- Opportunity to become a market leading development in the local market.
- Opportunity to fill a gap in the rental market.
- Opportunity to market new, high quality rental product to local and regional high-income households.

THREATS

- No threats identified at this time.

SWOT Analysis

Source: SVN Rock Advisors

DRAFT

3 – SUBJECT SITE

Subject Site

The proposed development at 490 St. Clair Avenue West is located at the intersection of St. Clair Avenue West and Bathurst Street in Toronto, Ontario. The site is slated for redevelopment into a multi-residential complex comprising both condominium and purpose-built rental units. Client proposed plans call for three residential towers ranging from 35 to 40 storeys, with a connecting podium between two of the buildings. In total, the project will deliver 1,229 residential units, including 372 rental units and 857 condominium units.

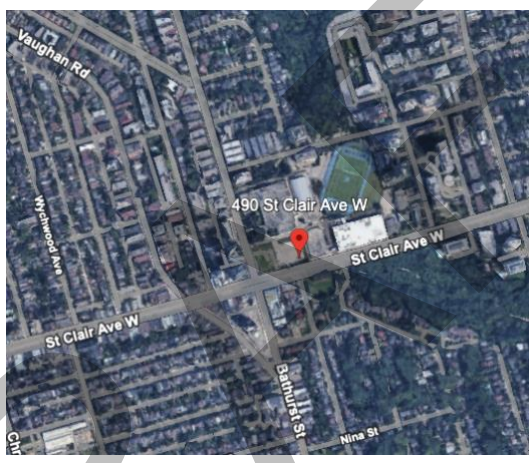

Subject Site Map

Source: SVN Rock Advisors w/ Google Earth (2025)

Local Amenities

The site offers excellent access to nearby amenities, including a variety of dining, shopping, and entertainment options all within walking distance. Residents also benefit from direct access to the St. Clair West subway station, providing convenient transit throughout Toronto. The map below highlights the wide range of amenities surrounding the subject site.

DRAFT

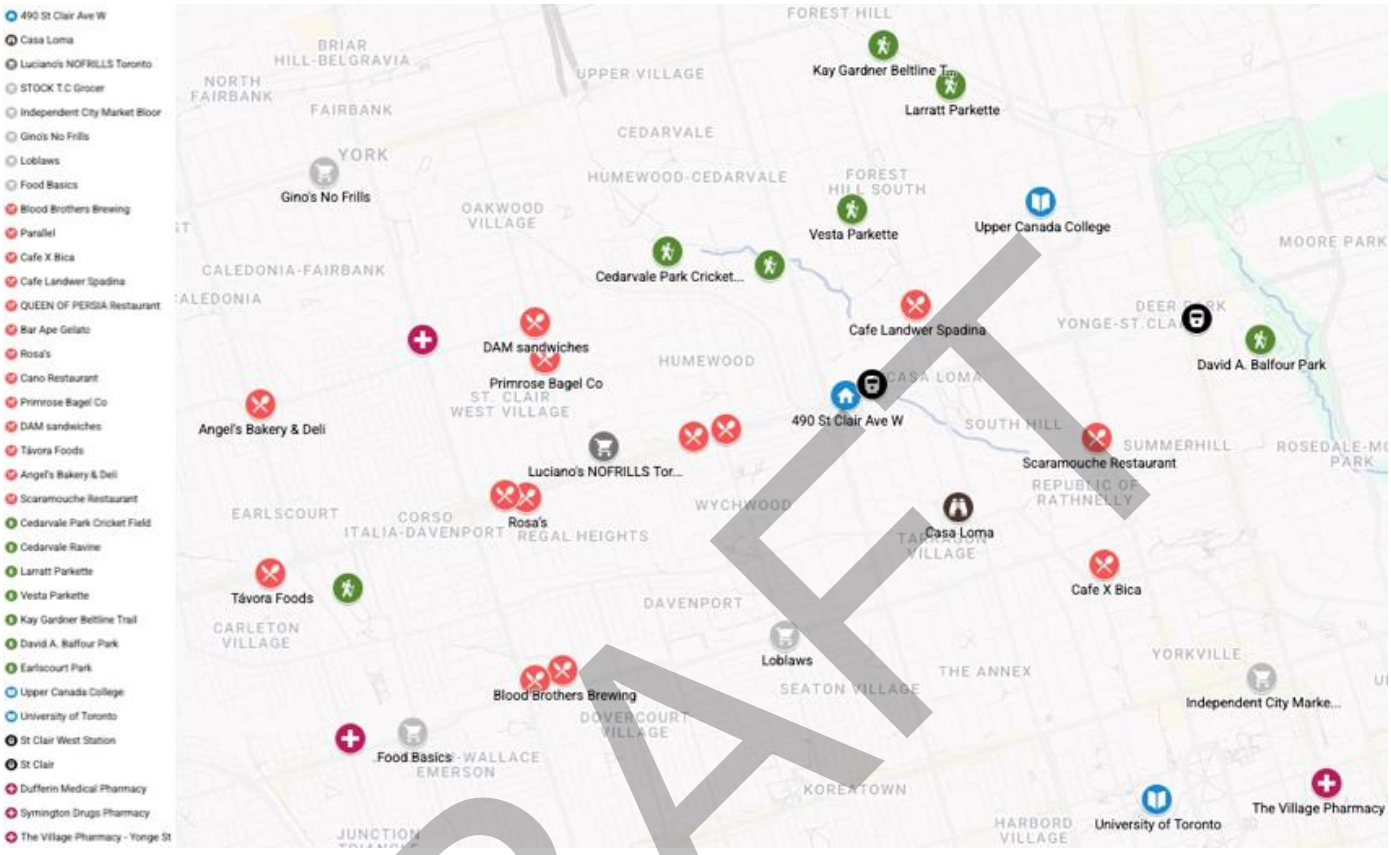

Local Amenity Map

Source: SVN Rock Advisors w/ Google Earth (2025)

DRAFT

4 – MARKET DELINEATION

"Is this neighbourhood suitable for a new rental development?"

Developers often inquire about the suitability of a neighbourhood for a new rental development. It's important to consider that while the immediate neighbourhood will contribute residents, the broader municipality will also play a role. The degree to which the new development will attract residents from the broader municipality hinges on the amount of rental development in the subject neighbourhood and the overall desirability of the area.

This section examines the current demographics of the subject neighbourhood, comparing them to similar cities. The emphasis is placed on the demographic indicators that are most pertinent to new purpose-built rental development.

Data are sourced from CMHC (2024) and Demostats (2025). The data are analyzed in-house at the following scales:

Municipal Scale

The subject market has been compared to various benchmark municipalities. Including these benchmark municipalities is valuable for contextualizing economic and housing trends beyond the subject municipality itself.

Trade Area Scale

Data for the subject trade area, which is defined by a series of census tracts surrounding the subject site, has been compared to the subject market (benchmark) to provide contextual information on their relative demographic composition.

The following benchmarked cities for comparison include Forest Hill South, Casa Loma, Wychwood, Humewood-Cedarvale (NBHD's), Toronto (C), Toronto (North) (Zone), York (ZONE), North York (Southwest) (Zone), Toronto (Central) (Zone), Toronto (East) (Zone), Toronto (West) (Zone), Yonge-Eglinton (NBHD).

DRAFT

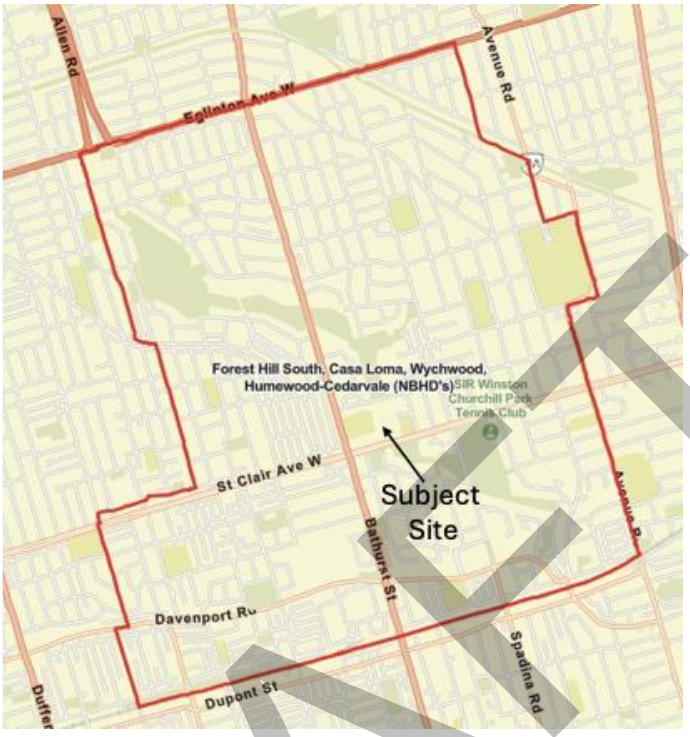

Trade Area Market Delineation Map

Forest Hill South, Casa Loma, Wychwood, Humewood-Cedarvale (NBHDs)

Source: SVN Rock Advisors w/ Environics (2025)

Catchment Area Market Delineation Map

Toronto (C)

Source: SVN Rock Advisors w/ Environics (2025)

DRAFT

5 – MARKET SEGMENTATION

"What is the tenant base of the subject neighbourhood?"

In this section, an analysis has been conducted on the economic and demographic attributes of potential tenants in both the surrounding neighbourhood and the wider region. The data used for this section has been sourced from Demostats (2025).

The demographic profile of each geographical area, including the total population size and population changes, offers a general indication of the demand for rental apartment units. Population size refers to the total count of individuals within a specific geographic area as recorded during the last census. Understanding the population size is crucial when considering new rental apartment developments, as a larger population naturally corresponds to a higher number of renters.

	Forest Hill South, Casa Loma, Wychwood, Humewood-Cedarvale (Neighbourhoods)	**Toronto (City)**
	POPULATION GROWTH	
Level of Growth	Strong	Strong
New Residents (2025-2035)	3,925	289,092
% Growth (2025-2035)	6.8%	9.0%
	CATEGORIZATION	
Age Profile	Older	Mixed
Household Types	Strong Lone Person Cohort	Mixed
Transportation To Work	Mixed	Mixed
Educational Attainment	Well Educated	Well Educated
Occupations	White Collar Occupations	White Collar Occupations

Market Segmentation Summary

Source: SVN Rock Advisors w/ Environics (2025)

Key Takeaways

1. Strong population growth within the community indicates that both Toronto and the subject site's surrounding neighborhoods are favourable communities for prospective residents which will likely lead to the continued growth of housing demand.

DRAFT

2. The subject site's neighborhood is overrepresented by an older population when compared to other age demographics whereas Broader Toronto consists of a more mixed age profile. In terms of household types, Toronto and the neighborhoods surrounding the site both consist of a mixture that is skewed towards single and 2-person households.

5.1 – Population Growth 2025-2035

STRONG POPULATION GROWTH PROJECTED

Strong population growth is considered a positive indicator for the success of new rental apartments since it helps indicate if overall demand for housing of all types is increasing, and if growth is sufficient to support the addition of new rental apartments to the local housing supply.

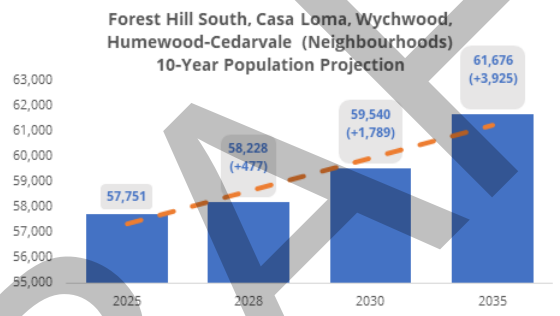

Trade Area: 10-Year Population Growth Projection

Source: SVN Rock Advisors w/ Environics (2025)

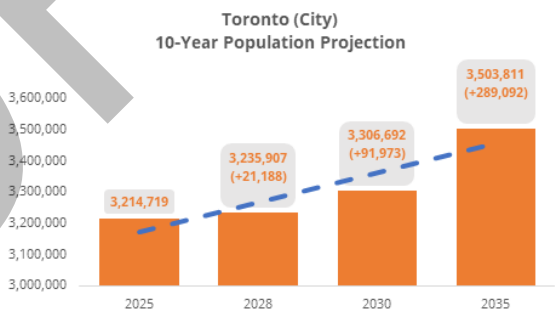

Catchment Area: 10-Year Population Growth Projection

Source: SVN Rock Advisors w/ Environics (2025)

Between 2025 and 2035, the population of Toronto is expected to increase by 289,092 residents (9.0%). During this time, the trade area surrounding the subject site is expected to increase by approximately 3,925 residents (6.8%). The strong projected population growth will ensure that there continues to be demand for new rental product when it enters the market. It should be noted that the projected growth does not account for the influx

DRAFT

of new residents that occur when new developments enter the market – and as such are based only on historic trends. It is possible that the projected population growth will exceed those identified here.

5.2 – Age Profile

OLDER COMMUNITY WITH STRONG PROPORTIONS OF SENIORS/EARLY DOWNSIZERS

The age profile of a given area is indicative of both the target renters for a given property, and the propensity to rent. Relatively high proportions of young adults (ages 20-34), empty-nesters (ages 55-64) and seniors (ages 65+) are considered favourable signs for rental apartments, as these demographics typically exhibit a greater inclination towards renting compared to other age groups.

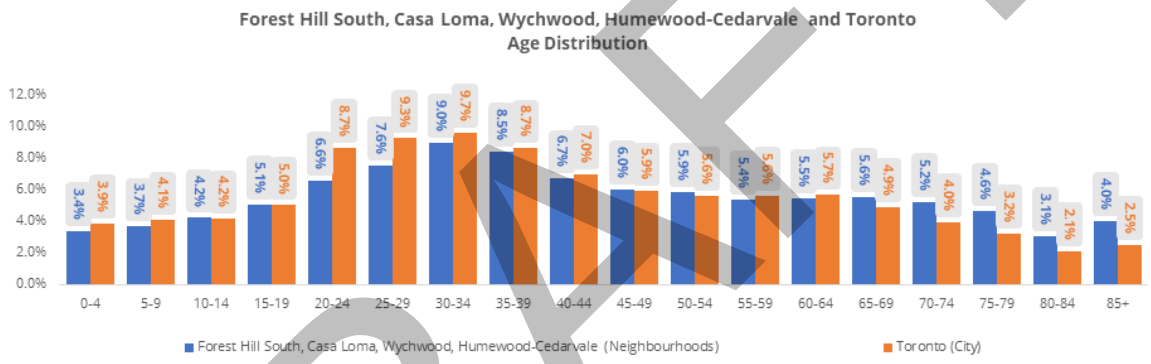

Trade Area and Catchment Area: Age Distribution

Source: SVN Rock Advisors w/ Environics (2025)

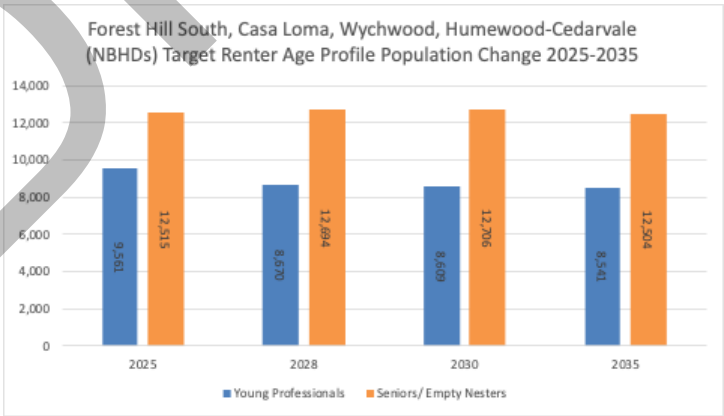

Trade Area Population Growth: Young Professionals (25-34) VS. Seniors/ Empty Nesters (55-74)

Source: SVN Rock Advisors w/ Environics (2025)

DRAFT

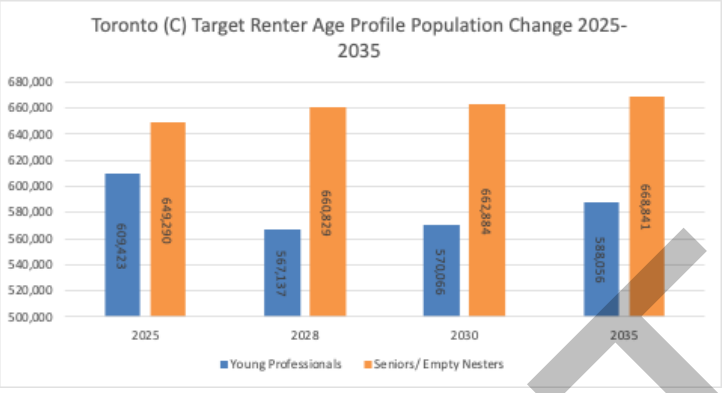

Catchment Area Population Growth: Young Professionals (25-34) VS. Seniors/ Empty Nesters (55-74)

Source: SVN Rock Advisors w/ Environics (2025)

25-34 Year Age Group (slightly under-represented)

The 25–34 age group is slightly under-represented, comprising 16.6% of the trade area and 19.0% of the broader catchment. Between 2025 and 2035, this cohort is projected to decline by 10%, compared to a 3% decrease across broader Toronto. While not the primary target demographic, a portion is expected to reside at the subject site given its market-leading appeal.

55-74 Year Age Group (well-represented)

The 55–74 age group is well-represented, accounting for 21.7% of the trade area and 20.2% of the broader catchment. This demographic is expected to remain stable over the next decade, while broader Toronto anticipates a modest 3% increase. Given its strong presence locally, this cohort is likely to be a key renter profile at the proposed development. SVN's unit mix recommendations reflect this demographic trend.

Based on these trends, it appears that with proper positioning (please refer to the recommendations later in the report), the Client's proposed development is poised to emerge as a formidable contender in the local renter market.

5.3 – Household Types

STRONG LONE PERSON MARKET

Household types indicate the familial character of the occupants in each dwelling. "Family" households consist of couples with children; "couples only" households include couples without children; and "lone person" households comprise individuals living alone or forming a single household.

DRAFT

For rental housing, a high prevalence of couples and lone person households is favorable, as they typically display a greater inclination to rent compared to family households. Moreover, a significant proportion of couples-only households, characterized by two earners and disposable income, offer a particularly advantageous scenario.

	Forest Hill South, Casa Loma, Wychwood, Humewood-Cedarvale (Neighbourhoods)		Toronto (City)	
	#	%	#	%
Total Households	24,975	100.0%	1,272,373	100.0%
Families With Children	5,546	22.2%	330,467	26.0%
Couples Without Children	6,086	24.4%	269,569	21.2%
Lone Person	9,897	39.6%	437,383	34.4%

Trade Area and Catchment Area: Household Types

Source: SVN Rock Advisors w/ Environics (2025)

5.4 – Mode of Transportation to Work

NEIGHBOURHOOD USES MIXED MODES OF TRANSPORTATION

Mode of transport refers to the primary mode of transport for households in a particular geographical area. This is important to infer parking requirements of a new development.

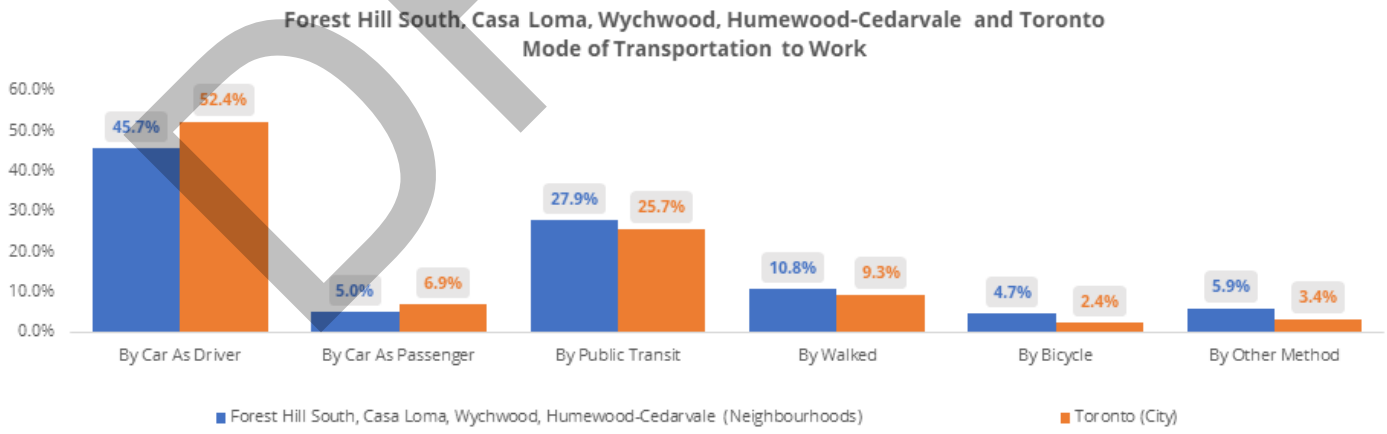

Trade Area and Catchment Area: Mode of Transportation to Work

Source: SVN Rock Advisors w/ Environics (2025)

DRAFT

Approximately 45.7 percent of residents in the surrounding trade area commute by car, while 27.9 percent rely on public transit, which represents a notably high share. The site's close proximity to the St. Clair West subway station offers significant convenience and may help reduce parking demand. However, given the varied transportation preferences, the Client likely has flexibility in determining the appropriate number of parking spaces to support a successful lease-up. SVN's specific parking recommendations are provided later in this report.

5.5 – Educational Attainment

COLLEGE GRADUATE NEIGHBOURHOOD

Educational attainment and occupation directly impact a tenant's rent affordability. Higher rates of college and university-educated households are associated with increased average household incomes, a crucial factor in determining affordability and the likelihood of households being able to afford higher rents.

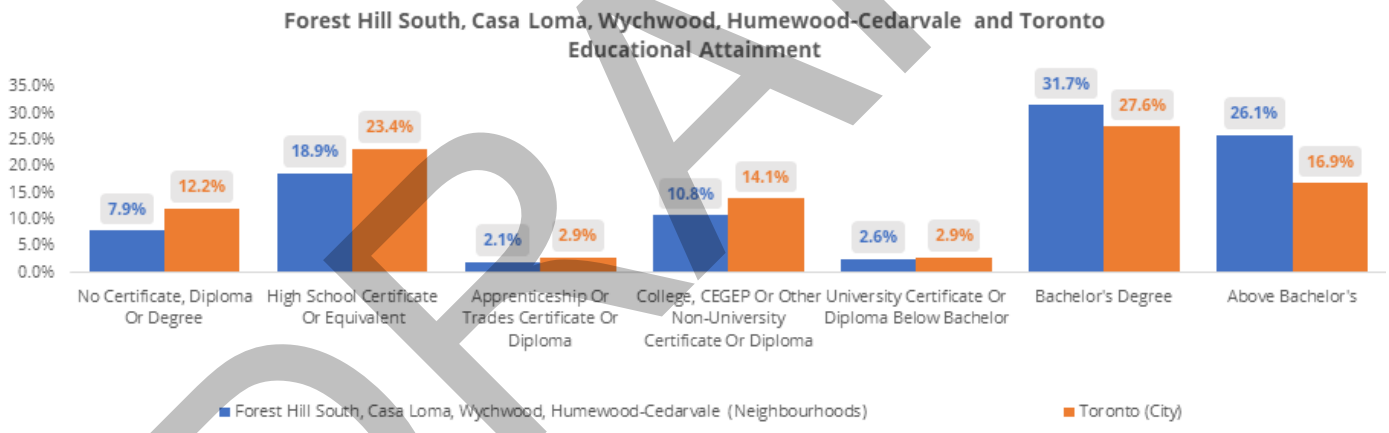

Trade Area and Catchment Area: Educational Attainment

Source: SVN Rock Advisors w/ Environics (2025)

The subject site's neighbourhood is highly educated, with 31.7 percent of individuals holding a bachelor's degree and 26.1 percent holding graduate degrees or higher. If positioned as a luxury rental, the development should aim to attract the most educated households within the catchment area. The neighbourhood is also strongly represented by white-collar occupations, which dominate both the local and broader labour force. These findings align with the high levels of educational attainment, as white-collar roles typically require advanced education.

DRAFT

6 – DEMOGRAPHIC PROFILES

"What type of people live around the subject site?"

The preceding analysis draws on detailed demographic and economic indicators. As individuals, we encompass a multitude of different indicators such as age, life stage, occupation, immigration history, and more. Instead of examining each indicator separately, it is beneficial to amalgamate data to generate profiles of diverse Canadian households.

SVN Rock Advisors utilizes PRIZM5, a tool that merges numerous data points to form 67 distinct household profiles by integrating geographic, demographic, and psychographic data. These segments assist clients in comprehending the characteristics of their potential tenants, including their purchasing habits, activities and thoughts.

Who Are My Tenants?

With 67 lifestyle types, Canada's most comprehensive segmentation system provides insights into who prospective tenants are for the subject development, including where they live, their occupations, activities and attitudes. PRIZM5 links customer data with neighbourhood demographics, syndicated survey data, and marketing research, unveiling the kinds of tenants who are inclined to reside in the subject apartment building.

What Are They Like?

Once SVN has identified and defined the prospective target tenant, PRIZM5 is used to understand their consumer behaviour.

What Do They Buy?

PRIZM5 offers valuable insights into market sales potential by predicting consumer preferences across various industries. Utilizing this information can inform recommendations for amenities and commercial space development.

Where Can I Find Them?

By integrating PRIZM5 with customer data, SVN can identify the most profitable tenant segments and suitable locations to target them. This classification process means that the Client can discover where their ideal tenants live and extend their reach to similar demographics across Canada.

DRAFT

How Can I Reach Them?

By profiling target consumers, PRIZM5 can help determine the best way to reach target tenants with the right products, services, media mix and messages.

Current Neighbourhood Profile

Initially, the household composition of the neighbourhood is assessed. This involves identifying the predominant PRIZM5 household types in the vicinity of the subject site. This analysis is beneficial for understanding which households are inclined to rent within the trade area, locating the target renters, and evaluating the spatial distribution of specific households to ascertain neighbourhood characteristics.

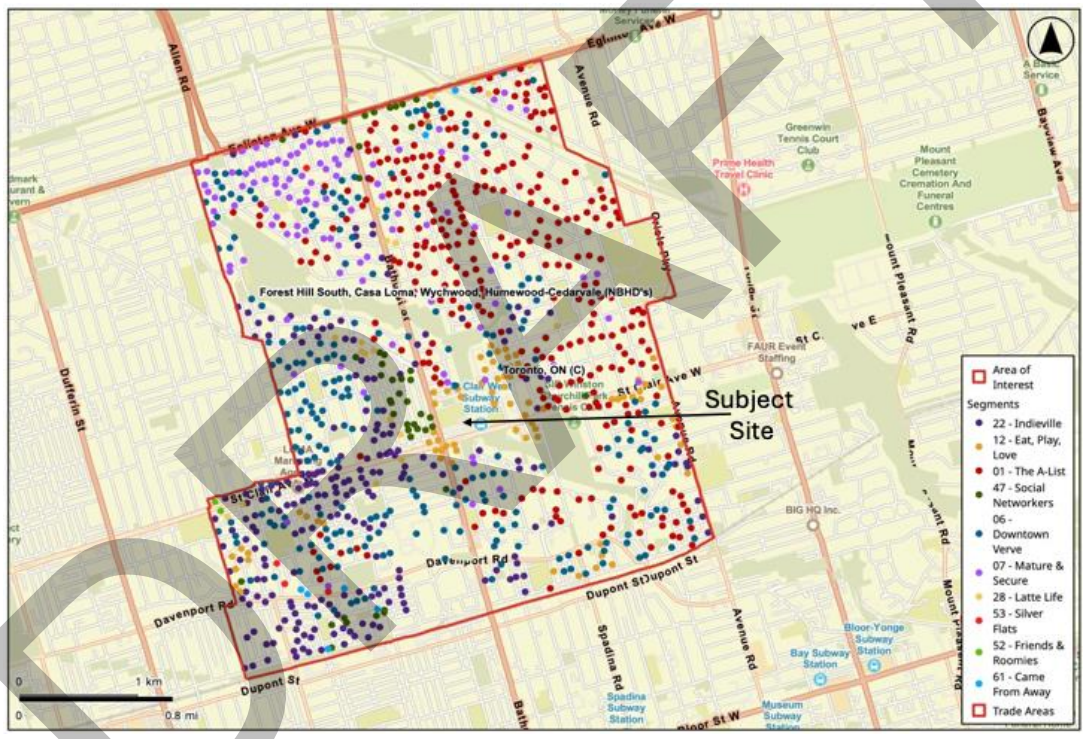

Top 10 PRIZM Segments Map

Source: SVN Rock Advisors w/ Environics (2025)

The subject area map shows that the most prominent PRIZM5 segments within the trade area are 22 - Indieville, 12 - Eat, Play, Love, 1 - The A-List, 47 - Social Networkers, and 6 - Downtown Verve.

DRAFT

22 - Indieville

Indieville is a mix of younger, middle-aged singles and couples that live in Canadas biggest cities. With more than 40 percent of this segment living in Toronto. These individuals are first- or second-generation Canadians. Nearly 40 percent are university educated and are more than two times as likely to hold a master's degree than the average Canadian. This group makes an average income working in mostly white collar and service sector jobs in the arts, education and science. Half of all households are occupied by residents under the age of 45 in older low-rise apartments, duplexes and semi dethatched dwellings. Not many have started families yet so they can devote their free time to active social lives. This group has high renter potential since they are young and are not looking for a long-term home yet.

12 - Eat, Play, Love

Consisting of mostly younger, mobile singles who patronize ethnic restaurants, and participate in numerous sports, this segment is concentrated in urban cores. Eat, Play, Love is a vertical segment where 90% of residents live in high-rise towers. Being one of the most educated segments, nearly 60% have a university degree, and one in five hold and advanced degree. With upper-middle incomes, they are high-earning group while relying on transit, biking and walking as their primary means of transport. This segment is a stronger renter group at the subject site.

1 - The A-List

This is Canada's most affluent lifestyle containing wealthy couples and families with an average household income just above half a million dollars, more than five times the national average. Typically residing in some of Canada's most exclusive neighbourhoods. The adults living in this segment are university educated with more than half attaining a bachelor's degree or higher. They are well paid from executive positions in business, management, real estate and the arts. Many residents are health conscious where they can afford the luxury of personal trainers at their health clubs. These individuals are not likely to rent as they typically choose single family home ownership and are not nearing the age of retirement where individuals are more likely to downsize.

DRAFT

47 - Social Networkers

The youngest of all the segments, Social Networkers is a transient world of diverse singles living in older city apartments. More than 45% of maintainers are under 35 and two thirds of residents are singles. More than 90% live in high-rise apartments, and although these individuals have lower incomes, they have time and promising careers on their side allowing for long-term personal growth. This group represents a smaller proportion of renters at the subject site given the lower incomes. This group is highly represented by the student population in large urban cities.

6 - Downtown Verve

Downtown Verve is a mix of younger and middle-aged singles, couples and families. This segment lives in a handful of Canada's largest cities where they are in close proximity to theatres, banks and dry cleanser. These adults rent or own duplexes, row house, semi-detached and detached homes with a dwelling value of 900,000. This is one of the most educated groups with a large percent having university degrees. They work in well-paying white-collar jobs. This group has a high spending power because of the significant portion singles and childless couples. They frequently go to bars, cinemas and restaurants. These individuals have a short-term rental potential due to the amount of young couples without children.

Trade Area: Top 5 PRIZM Profiles

Source: SVN Rock Advisors w/ Environics (2025)

Where Are the Renters?

Once the current trade area household composition has been determined, the renter profile needs to be identified. The household composition of the neighborhood will attract a relatively mixed demographic with a slight overrepresentation of an older population.

Below are the PRIZM5 profiles of students, young professionals, middle-age, and senior renters. While not all households within these profiles are likely to rent at the subject site, a majority are anticipated to do so and therefore should be regarded as potential renters.

DRAFT

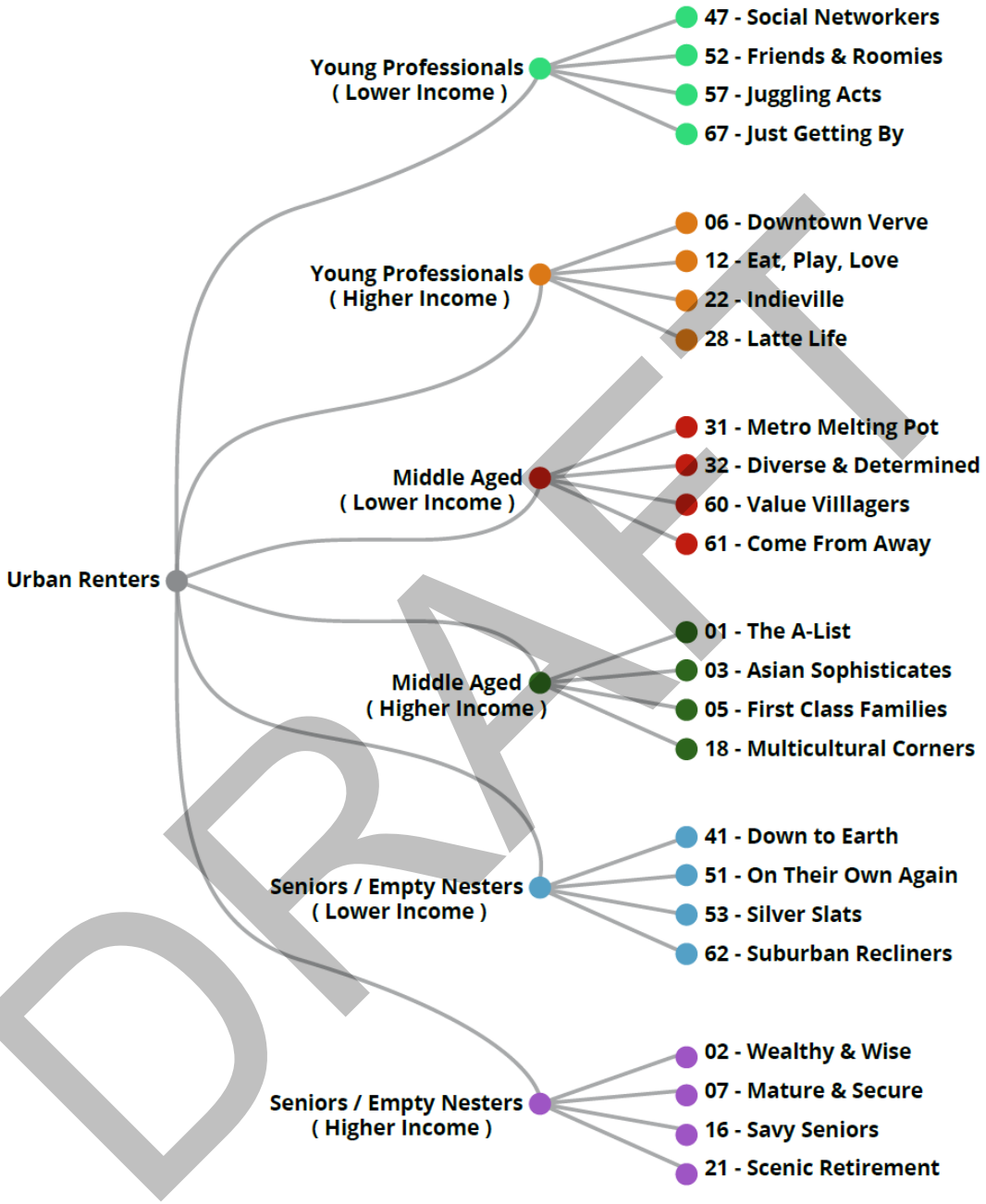

DRAFT

Urban Renters Flowchart

Source: SVN Rock Advisors w/ Environics (2025)

Once mapped, the distribution of potential renter households becomes defined with a dispersed population of potential renters within the neighborhood and surrounding area. A majority of these potential renter households appear to be mixed with greater proportions of high-income middle-agers.

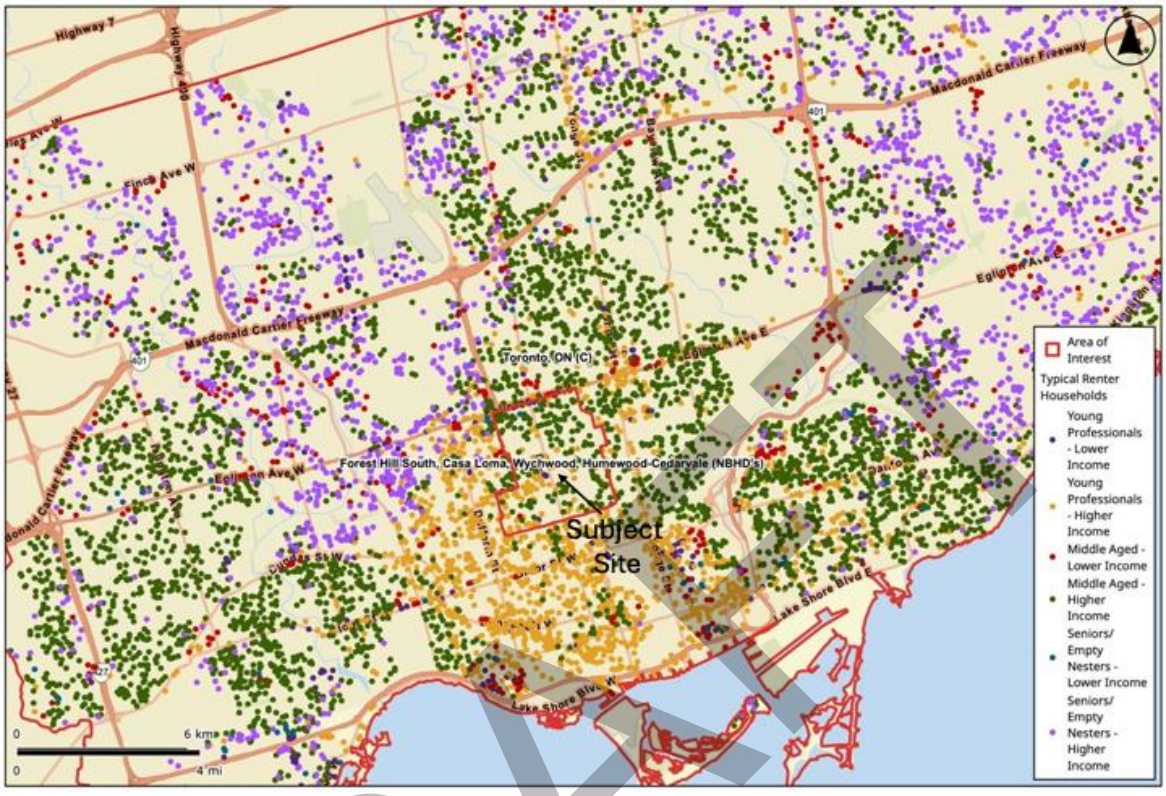

Typical Renter Households Map

Source: SVN Rock Advisors w/ Environics (2025)

DRAFT

Young Professionals

Given the up-scale nature of the development, young professionals will not likely be the main target renter profile for the subject site. These individuals are often leaving their parents single family dwelling households in search of career advancement or post-secondary studies in larger markets. Examining the greater Toronto area, a greater proportion of this segment is closer to the downtown Toronto core.

Middle-Aged Renter Households

Middle-aged renter households represent the largest group present in the subject site neighborhood. At this point in their life stage, children have typically moved out leaving couples in an unnecessarily large house to maintain; in this event, rental becomes an even more appealing option to reduce maintenance demands and benefit from luxurious amenities proposed at the development. In addition, there will also be a small proportion of divorcees in this renter group. These individuals seek larger unit types to accommodate their visiting children and to have extra storage for their belongings.

Seniors/Empty Nesters

Seniors/ empty nesters are prevalent and located west of the subject site neighbourhood and in broader Toronto. These individuals are likely long-term residents who reside in single family dwellings. The subject site is likely to attract a significant proportion of its prospective renters from the surrounding community who value the level of finishes that new purpose-built rental product has to offer.

DRAFT

7 – HOUSEHOLD AFFORDABILITY

"How much can my prospective tenants afford to pay in rent?"

In this section, an examination is conducted on different indicators of household affordability. While this data can be considered at a high-level, it serves as a foundation for assessing whether the general population is capable of affording a specific range of rental rates. All the data presented in this section has been sourced from Demostats (2025) and CMHC (2024).

	Forest Hill South, Casa Loma, Wychwood, Humewood-Cedarvale (Neighbourhoods)	Toronto (City)
	INCOMES	
Categorization	Strong	Strong
Avg Household Income	$281,575	$146,857
	HOUSEHOLD AFFORDABLE RENTS	
$1,500 - $2,000 / month	8.8%	10.6%
$2,000 - $2,500 / month	8.4%	9.4%
$2,500 - $3,125 / month	8.8%	9.7%
$3,125 + / month	46.2%	36.6%

Household Affordability Summary

Source: SVN Rock Advisors w/ Environics (2025)

Key Takeaways

1. Subject site neighborhood contains strong populations of very high-income households who can afford premium rental rates.

2. Toronto generally has high average household incomes when compared to broader Ontario.

DRAFT

7.1 – Trade Area Income

STRONG INCOMES IN SUBJECT SITE NEIGHBOURHOOD AND BROADER MUNICIPALITY

The average household income in the trade area that surrounds the Client's proposed development is $281,575, while the broader community is $146,857.

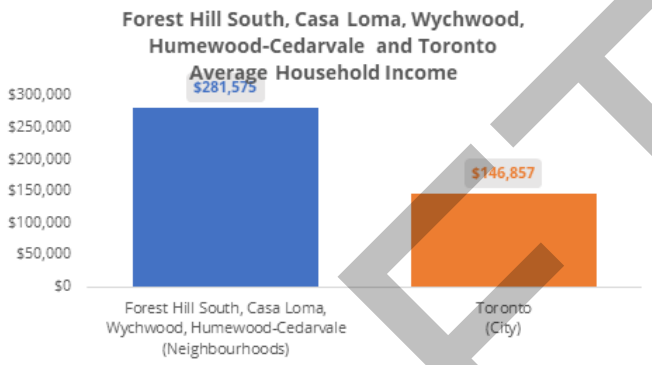

Trade Area and Catchment Area: Average Household Income

Source: SVN Rock Advisors w/ Environics (2025)

The trade area surrounding the subject site reports higher average household incomes compared to broader Toronto. This is a positive indicator, suggesting the area appeals to higher-income earners seeking high-quality new rental housing. Both the trade area and the broader catchment demonstrate strong income levels, indicating that residents are able to afford premium rental rates.

A more detailed breakdown of the trade area and catchment area incomes by income bracket is presented below. As described later in this section, a typical household can afford 30% of their pre-tax income towards shelter costs.

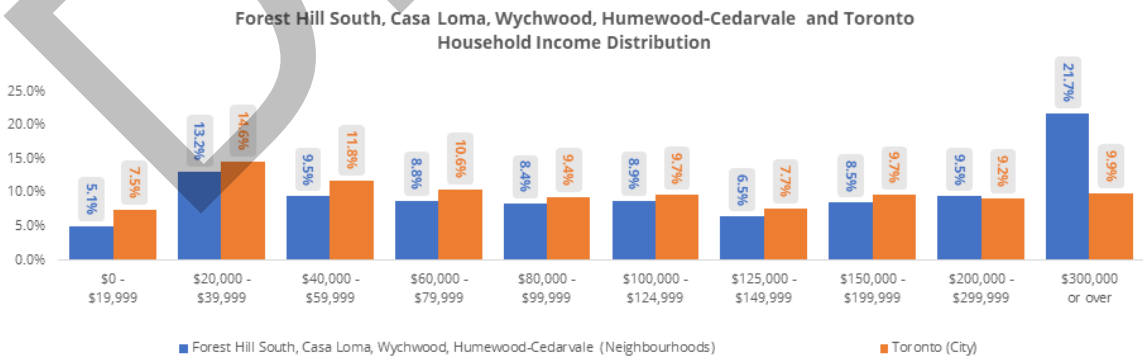

Trade Area and Catchment Area: Household Income Distribution

Source: SVN Rock Advisors w/ Environics (2025)

DRAFT

7.2 – Rental Affordability vs Average Rents

NEW BUILDINGS FAR EXCEED CMHC AVERAGES

Rental affordability versus average rents represents the difference between the amount a household can theoretically afford to pay for rent (based on the "affordability index") and the average rent a household pays, according to CMHC. Generally, areas with the largest gap between the two is a positive indicator for new apartment development as they offer the most potential for achieving high rents and realizing significant increases in rent in the future.

The following data from Demostats and CMHC have been used in calculating the rental gap:

1. Median household income obtained from Demostats (2025).
2. Affordable monthly rent calculated based on the widely held rule that 30% of pre-tax monthly income can be spent on shelter costs.
3. Average monthly rents obtained from CMHC (2024).
4. The Rental Gap is calculated as affordable monthly rent minus actual average monthly rent.

	Median Household Income	Affordable Rent	Average Actual Rent	Rental Gap
Toronto (East) (Zone)	$111,872	$2,797	$1,673	**$1,124**
Forest Hill South, Casa Loma, Wychwood, Humewood-Cedarvale (NBHD's)	$118,294	$2,957	$2,245	**$712**
Yonge-Eglinton (NBHD)	$101,238	$2,531	$1,823	**$708**
Toronto (North) (Zone)	$105,968	$2,649	$2,033	**$616**
Toronto (West) (Zone)	$94,676	$2,367	$1,752	**$615**
North York (Southwest) (Zone)	$88,551	$2,214	$1,775	**$439**
Toronto (C)	$89,736	$2,243	$1,851	**$392**
York (ZONE)	$80,459	$2,011	$1,843	**$168**
Toronto (Central) (Zone)	$84,686	$2,117	$2,092	**$25**

Comparison Cities: Rental Affordability vs Actual Rents

Source: SVN Rock Advisors w/ Environics (2025) and CMHC (2024)

The neighbourhoods surrounding the subject site report an average actual monthly rent of $2,245 and a rental gap of $712. This gap is significant and serves as a positive indicator for new purpose-built rental developments, suggesting that residents have the financial capacity to support higher rental rates than those currently charged in the market.

DRAFT

7.3 – Household Quantities by Type

LARGE PROPOSTION OF LONE PERSON AND EMPTY NESTER HOUSHOLDS IN SUBJECT MARKET

Household quantities by type shows the current number of households which fall into various categories such as age, household type, incomes, etc. This provides a theoretical target pool of households who could rent in the proposed subject development.

	Forest Hill South, Casa Loma, Wychwood, Humewood-Cedarvale (Neighbourhoods)		Toronto (City)	
Couples Only	6,086	24.4%	269,569	21.2%
Singles	9,897	39.6%	437,383	34.4%
Senior (65+)	18,685	32.4%	766,179	23.8%
Young (25-34)	9,561	16.6%	609,423	19.0%
Afford $1,000-$2,000 / month	2,206	8.8%	134,467	10.6%
Afford $2,000-$2,500 / month	2,090	8.4%	118,976	9.4%
Afford $2,000-$3,125 / month	2,210	8.8%	122,980	9.7%
Afford $3,125+ / month	11,539	46.2%	465,375	36.6%

Trade Area and Catchment Area: Household Quantities by Type

Source: SVN Rock Advisors w/ Environics (2025)

Residents in the neighbourhood surrounding the subject site demonstrate a strong capacity to afford high-end rental housing. Approximately 46.2% of households earn annual incomes exceeding $125,000, which translates to an affordability level above $3,125. Notably, around 22% of households report incomes greater than $300,000, indicating affordability for rents above $7,500 per month. These figures highlight the affluence of the local population and suggest that the area is well-suited for premium rental product. Compared to broader Toronto, the subject site's neighbourhood stands out as more affluent, reinforcing its appeal to high-income households and supporting the viability of introducing a luxury multi-residential development into the market.

DRAFT

8 – DEMAND ANALYSIS

"What's the depth of the market?"

In this section, the assessment is conducted to determine if the Client's proposed rental building could be successfully absorbed into the rental market, relying on the following indicators:

1. Primary Rental Universe & Unit Mix – the quantity of purpose-built apartments in the primary rental market.
2. Rental Density – the ratio of units to the population in the primary rental market per 100 people.
3. New Apartment Construction – the number of newly constructed primary rental units.
4. Secondary Rental Universe – the count of informal/alternative rental units within the rental market.

	Host City: **Forest Hill South, Casa Loma, Wychwood, Humewood-Cedarvale (NBHD's)**	**Benchmark City:** **Toronto (C)**
	EXISTING RENTAL STOCK	
Categorization	Medium-Sized	Large
Total Num Apartments	8,995	281,935
Rental Density	15.61	8.87
	RECENT NEW RENTAL DEVELOPMENT	
Categorization	Low	Low
Total New Apartments	832	25,933
% New Apartments	9.2%	9.2%
	SECONDARY MARKET	
Categorization	Large	Large
Estimated Secondary Renters	4,866	254,219
% Secondary Renters	35.1%	40.7%

Demand Analysis Summary

Source: SVN Rock Advisors w/ CMHC (2024)

Key Takeaways

1. The subject site neighborhood has a medium-sized rental market among benchmarked municipalities.

DRAFT

2. The proportion of renters in the secondary market is high in the trade area at approximately 35.1%, suggesting a robust willingness to rent in the local market

8.1 – Primary Rental Universe & Unit Mix

MODERATE SUPPLY OF RENTAL PRODUCT

Primary rental universe unit mix refers to the total number of apartment units rented in a primary rental market, as recorded by CMHC. This constitutes what can be described as the "formal" or "purpose-built" rental apartment market (which excludes condo rentals and casual rentals such as bedrooms for rent, trailers, etc.). Only buildings with more than 3 units are included in CMHC's count of the apartment universe.

	Bachelor		1-Bed		2-Bed		3-Bed		Total
Toronto (C)	23,643	8.4%	117,002	41.5%	114,842	40.7%	26,448	9.4%	**281,935**
Toronto (Central) (Zone)	7,103	20.1%	16,884	47.8%	10,310	29.2%	1,003	2.8%	**35,300**
Toronto (North) (Zone)	4,840	14.8%	16,576	50.7%	10,178	31.1%	1,129	3.5%	**32,723**
Toronto (West) (Zone)	4,941	18.5%	13,058	48.8%	7,850	29.3%	923	3.4%	**26,772**
York (ZONE)	1,508	6.2%	8,784	36.3%	6,962	28.7%	6,962	28.7%	**24,216**
North York (Southwest) (Zone)	291	3.1%	3,774	40.3%	4,456	47.6%	840	9.0%	**9,361**
Forest Hill South, Casa Loma, Wychwood, Humewood-Cedarvale (NBHD's)	1,051	11.7%	4,727	52.6%	2,727	30.3%	490	5.4%	**8,995**
Toronto (East) (Zone)	927	15.9%	3,057	52.6%	1,630	28.0%	198	3.4%	**5,812**
Yonge-Eglinton (NBHD)	389	17.7%	1,126	51.4%	583	26.6%	94	4.3%	**2,192**

Comparison Cities: Primary Rental Universe

Source: SVN Rock Advisors w/ CMHC (2024)

Th subject site's surrounding area has a rental universe of 8,995 units which is moderate compared to benchmark municipalities. 52.6% of units are one-bedroom apartments, and 30.3% are two-bedroom apartments. This is indicative of an urban-style unit mix.

Two philosophies exist regarding unit mix and sizing interpretations: one advocates replicating historical market absorption, while the other favours a nuanced understanding, acknowledging potential gaps in the market for underserved unit types. SVN Rock Advisors' recommendations on unit mix and sizing will be detailed later in this report.

DRAFT

8.2 – Rental Density

OVER SUPPLIED MARKET

Rental density is a simple measure of the number of purpose-built rental apartments for every 100 residents. The calculation makes it easier to compare the relative supply of rental apartments between communities.

Communities with the lowest rental density can be considered under-supplied with rental apartments and therefore offer the greatest opportunities for developing new rental apartments. A high rental density is not necessarily a negative feature of a given market, since it indicates a well-functioning market and proven demand, although with greater competition.

	Population	Num Apt Unit Count	Rental Density	New Apts Unit Count	New Apts Density	New Apts %
Toronto (North) (Zone)	175,747	32,723	**18.62**	4,560	2.59	13.9%
Forest Hill South, Casa Loma, Wychwood, Humewood-Cedarvale (NBHD's)	57,639	8,995	**15.61**	832	1.44	9.2%
Yonge-Eglinton (NBHD)	14,680	2,192	**14.93**	233	1.59	10.6%
York (ZONE)	162,600	24,216	**14.89**	1,214	0.75	5.0%
Toronto (Central) (Zone)	357,400	35,300	**9.88**	8,139	2.28	23.1%
Toronto (West) (Zone)	297,430	26,772	**9.00**	4,984	1.68	18.6%
Toronto (C)	3,179,173	281,935	**8.87**	25,933	0.82	9.2%
North York (Southwest) (Zone)	117,093	9,361	**7.99**	840	0.72	9.0%
Toronto (East) (Zone)	146,608	5,812	**3.96**	277	0.19	4.8%

Comparison Cities: Rental Density

Source: SVN Rock Advisors w/ CMHC (2024)

The subject site's neighbourhood reports a rental density of 15.61 apartments per 100 people, which suggests a relatively saturated rental market. In established rental communities, this level of supply typically reflects strong and sustained demand, often driven by ongoing population growth and urban intensification. While the elevated supply may indicate tighter market conditions, it also signals that the area has a well-established renter base. This is a positive indicator for the proposed development, as it suggests that the local market can support additional rental inventory. The presence of a strong renter pool means that absorption of new rental apartments is unlikely to pose a challenge, particularly for high-quality, market-leading product.

DRAFT

8.3 – Rental Density Scenario Analysis

MODERATE RENTAL DENSITY, NOT LIKELY TO OUTPACE DEMAND

Below, the summary presents the current supply of primary rental units in comparison to different scenarios involving the addition of 372, 1,000, 1,500, and 2,000 units to the primary rental market either by the client, competitors, or both. The purpose of this table is to demonstrate that despite developments introduced concurrently by other entities, the local market's capacity to accommodate rental stock will not be negatively impacted.

	Num Apts Unit Count	Rental Density	New Apts Unit Count	New Apts Density	New Apts %
Forest Hill South, Casa Loma, Wychwood, Humewood-Cedarvale (NBHD's)	8,995	15.61	832	1.44	9.20%
+ 372 units	9,367	16.22	1,204	2.08	12.85%
+ 1000 units	9,995	17.34	1,832	3.18	18.30%
+ 1500 units	10,495	18.21	2,332	4.05	22.20%
+ 2000 units	10,995	19.08	2,832	4.91	25.80%

City: Rental Density Scenarios

Source: SVN Rock Advisors w/ CMHC (2024)

The analysis indicates that once the proposed development is complete and approximately 372 additional rental units are introduced to the market, the area's rental density will rise to 16.22 apartments per 100 people. If a total of 2,000 new units were brought to market, assuming competing developments also proceed, the rental density would increase to 19.08 apartments per 100 people. However, these figures do not account for anticipated population growth over the same period, which will help offset the impact of increased supply. Under all scenarios, the new apartment rental density remains low, which is an important consideration when evaluating the viability of new rental development. The existing rental stock in the area is largely older product, meaning the Client's proposal will not be competing directly with much of the current inventory. As a result, even with a substantial increase in new rental units, demand for purpose-built rental housing is expected to exceed the pace of new supply. This suggests that the proposed development is unlikely to face significant lease-up challenges, which is a favourable indicator from a rental feasibility standpoint.

DRAFT

8.4 – New Apartment Construction

UNDER-SUPPLY OF NEW RENTAL UNITS

The number and proportion of newly constructed rentals, which is defined as purpose-built rentals built after 2000, are summarized as follows:

	Num Apts	New Apts Since 2000	
	Unit Count	#	%
Toronto (Central) (Zone)	35,300	8,139	**23.1%**
Toronto (West) (Zone)	26,772	4,984	**18.6%**
Toronto (North) (Zone)	32,723	4,560	**13.9%**
Yonge-Eglinton (NBHD)	2,192	233	**10.6%**
Forest Hill South, Casa Loma, Wychwood, Humewood-Cedarvale (NBHD's)	8,995	832	**9.2%**
Toronto (C)	281,935	25,933	**9.2%**
North York (Southwest) (Zone)	9,361	840	**9.0%**
York (ZONE)	24,216	1,214	**5.0%**
Toronto (East) (Zone)	5,812	277	**4.8%**

Comparison Cities: New Apartment Construction

Source: SVN Rock Advisors w/ CMHC (2024)

Since 2000, only 832 new rental units have been introduced into the local market, representing just 9.2% of the primary rental universe. This limited supply reflects a broader trend across Toronto, where purpose-built rental development has been relatively scarce over the past two decades. Several factors may contribute to this, including strong demand for single-family homes and condominiums, which often offer quicker, though typically lower, returns for developers. High land costs and a limited pool of developers focused on rental product may also play a role. For the Client, this lack of new rental development is a positive indicator. It suggests that competition will be limited when bringing the proposed building to market, and that there is an opportunity to capture unmet demand with a high-quality, purpose-built rental offering.

8.5 – Dwelling by Tenure

LARGE PROPRTION OF RENTS IN MARKET AREA

The following identifies households by dwelling type – whether they rent or own. Areas with higher proportion of renter households relative to owners indicate a greater propensity to rent rather than traditional home ownership.

DRAFT

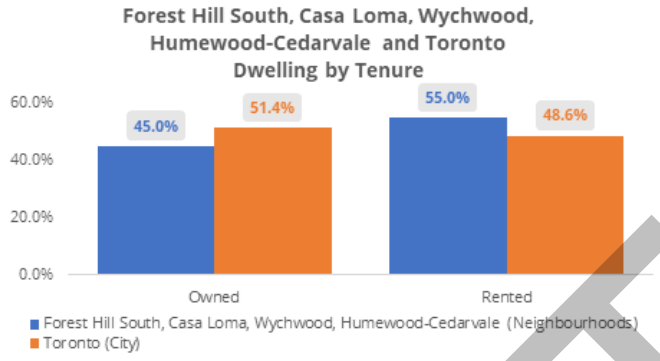

Trade Area and Catchment Area: Dwelling by Tenure

Source: SVN Rock Advisors w/ Environics (2025)

Approximately 55% of households in the neighbourhood surrounding the subject site are renters, compared to 48.6% across the broader city. The high proportion of renters locally should be viewed as a positive indicator for new multi-residential developments, as it reflects a well-established rental culture and a proven market. In strong rental communities, understanding the preferences and expectations of prospective tenants is essential. SVN recommends touring local comparable buildings, which are outlined in subsequent sections of this report, to identify common trends and potential gaps in the market. These may include opportunities related to finishes and features, unit mix and sizing, and amenity offerings that could help differentiate the subject site and support a successful lease-up.

8.6 – Secondary Rental Apartment Universe

SIGNIFICANT UNMET DEMAND

The secondary rental apartment market, also known as the “alternative”, “informal”, or “shadow” rental market, comprises rented condominium dwellings not included in the primary rental apartment market. CMHC offers data on rental households categorized by structure type. The table below illustrates the distribution of renters in both the primary and secondary markets.

DRAFT

	Num Renter Households	Num Apts Unit Count	Est. Secondary Universe	% Secondary Renters
Toronto (East) (Zone)	26,072	5,812	20,260	**77.7%**
Toronto (Central) (Zone)	128,046	35,300	92,746	**72.4%**
Toronto (West) (Zone)	72,177	26,772	45,405	**62.9%**
North York (Southwest) (Zone)	20,355	9,361	10,994	**54.0%**
Yonge-Eglinton (NBHD)	4,266	2,192	2,074	**48.6%**
Toronto (C)	624,548	281,935	254,219	**40.7%**
Forest Hill South, Casa Loma, Wychwood, Humewood-Cedarvale (NBHD's)	13,861	8,995	4,866	**35.1%**
Toronto (North) (Zone)	46,839	32,723	14,116	**30.1%**
York (ZONE)	33,256	24,216	9,040	**27.2%**

Comparison Cities: Secondary Rental Universe

Source: SVN Rock Advisors w/ CMHC (2024)

In many markets, there exists a pool of potential renter households who would prefer to rent in the primary market but are often forced to turn to the secondary, condominium, or casual rental markets to find the quality and features they seek. In the trade area surrounding the subject site, 35.1% of renter households are currently renting from the secondary market. This is a relatively high proportion and suggests that there is a willingness among renters to remain in the local area, even if it means seeking alternatives to purpose-built rental housing. For the Client, this is a positive indicator, as it reflects unmet demand within the primary rental market and points to an opportunity to capture these households with a new, high-quality rental development.

8.7 - Rental Development Pipeline

A development pipeline of proposal and under-construction purpose-built rental developments in the subject site community is provided below. These properties represent the rental stock coming to market and are important to review when considering future rental demand, and the ability of the local market to absorb new rental stock. A full review of these properties including their location, unit count, and status is important to better position the subject site during the planning stages to ensure long-term competitiveness and viability.

Address	City	Developer	Num Units	Stage
55-65 Broadway Avenue	Old Toronto	Times Group Corporation	778	Under Construction

DRAFT

Proposed: two 39 storey/389 unit residential towers for a total of 778 units (1 rental/1 condo)				
145 Balmoral Avenue	Old Toronto	Amica Senior Lifestyles	147	Under Construction
Proposed: 13 storey/147 unit seniors apartment building				
170 Roehampton Avenue	Old Toronto	Capital Developments	599	Under Construction
Proposed: 50 storey/599 unit affordable/market-rate rental building				
100 Broadway Avenue	Toronto	Westdale Properties	448	Under Construction
Proposed: 39 storey/448 unit mixed-use affordable & market-rate rental building (part of a 3 tower development with 26 & 37 storey condos at 110 Broadway Avenue)				
44 Jackes Avenue	Toronto	Quadreal Property Group - Vancouver HQ	263	Under Construction
Proposed: 31 storey/263 unit rental building				
265 Balliol Street	Toronto	Park Property Management Inc	233	Under Construction
Proposed: 27 storey/233 unit rental building				
2444 Yonge Street	Old Toronto	First Capital Realty Inc - Head Office	636	Under Construction
Proposed: two mixed-use rental buildings - 25 & 31 storeys with a total of 636 units				
8 Brownlow Avenue	Old Toronto	The Benvenuto Group/Malen Capital	194	Under Construction
Proposed: 27 storey/194 unit rental tower				
30 Merton Street	Toronto	Quadreal Property Group - Vancouver HQ	322	Under Construction
Proposed: 37 storey/322 unit mixed-use rental building				
1998 Bathurst Street	York	Eldebron Holdings Ltd	115	Under Construction
Proposed: two 6 storey rental buildings with a total of 115 units				

DRAFT

		Total Under Construction	**3,735**	
140 Merton Street	Old Toronto	CreateTO	294	Pre-Construction
Proposed: 29 storey/294 unit market-rate/affordable rental building				
22 Balliol Street	Toronto	Shiplake Properties	414	Pre-Construction
Proposed: 40 storey/414 unit mixed-use rental building				
507 Eglinton Avenue W	Old Toronto	The Preston Group	35	Pre-Construction
Proposed: 7 storey/35 unit mixed-use rental building				
34 Montgomery Avenue	Old Toronto	First Capital Realty Inc - Head Office	353	Pre-Construction
Proposed: 27 storey/353 unit mixed-use market-rate/affordable rental building				
47 Ranleigh Avenue	Toronto	Impressions Group	16	Pre-Construction
Proposed: 4 storey/16 unit rental building				
368-386 Eglinton Avenue E	Toronto	The Howard Property Company	76	Pre-Construction
Proposed: 11 storey/76 unit rental building				
17-29 Glenavy Avenue	Toronto	Minkids Group	398	Pre-Construction
Proposed: 39 storey/398 unit residential building				
2039 Yonge Street	Old Toronto	Nivlog Investments Ltd	121	Pre-Construction
Proposed: two mixed-use rental/townhome buildings - 11 storey/114 units & 3 storey/7 units for a total of 121 units				
289 Balliol Street	Old Toronto	Menkes Developments Ltd	271	Pre-Construction
Proposed: 31 storey/271 unit rental building				
214-226 Soudan Avenue	Old Toronto	Quadreal Property Group - Vancouver HQ	527	Pre-Construction
Proposed: 46 storey/527 unit purpose-built rental building				

DRAFT

1601 Bathurst Street	Old Toronto	Azuria Group	74	Pre-Construction
Proposed: 8 storey/74 unit residential rental infill building (includes 9 affordable rental replacement units)				
515 Chaplin Crescent	Old Toronto	Eldebron Holdings Ltd	66	Pre-Construction
Proposed: 12 storey/66 unit rental building				
228 Wilson Avenue	North York	Greenwin Inc	131	Pre-Construction
Proposed: 17 storey/131 unit rental building				
45 St Clair Avenue W	Old Toronto	Manulife Investment Management	461	Pre-Construction
Proposed: 51 storey/461 unit mixed-use rental building				
50 Broadway Avenue	Old Toronto	Frastell Property Management Inc	103	Pre-Construction
Proposed: 11 storey/103 unit rental building				
1637 Bathurst Street	Old Toronto	Starlight Investments Ltd	75	Pre-Construction
Proposed: 4 storey/75 unit townhome building				
66 Broadway Avenue	Old Toronto	Beaux Properties International Inc.	374	Pre-Construction
Proposed: 2 storey addition atop an existing apartment tower, plus a 4 storey townhome block (22 storey/374 units total)				
2180 Yonge Street	North York	Oxford Properties Group - Head Office	2,892	Pre-Construction
Proposed: five mixed-use buildings ranging 45-65 stories with a total of 2892 units				
185 Balliol Street	Toronto	SmartCentres REIT - Head Office	442	Pre-Construction
Proposed: 35 storey/442 unit mixed-use rental building				
503 Eglinton Avenue E	Old Toronto	Sierra Corporation	209	Pre-Construction
Proposed: 15 storey/209 unit mixed-use apartment building				
357 Roehampton Avenue	Old Toronto	Rad Realty	14	Pre-Construction

DRAFT

Proposed: 4 storey/14 unit rental building				
241 Redpath Avenue	Toronto	MOD Developments Inc	353	Pre-Construction
Proposed: 38 storey/353 unit purpose-built rental building				
11 Pleasant Boulevard	Old Toronto	Plazacorp Investments (Plaza)	87	Pre-Construction
Proposed: 19 storey/87 unit mixed-use rental building				
		Total Pre-Construction	**7,786**	

135 St Clair Avenue W	Toronto	Fitzrovia Real Estate Inc.	631	In Planning
Proposed: 49 storey/631 unit mixed-use rental building with childcare/commercial space				
1951 Yonge Street	Toronto	Times Group Corporation	818	In Planning
Proposed: two mixed-use rental buildings - 38 storey/357 units & 45 storey/461 units for a total of 818 units				
19 Alexandra Boulevard	Old Toronto	Amdev Property Group	237	In Planning
Proposed: 13 storey/237 unit seniors residence building (includes 31 affordable rental replacement units)				
267-275 Merton Street	Toronto	Shiplake Properties	494	In Planning
Proposed: 40 storey/494 unit residential building				
59-81 Lawton Boulevard	Toronto	Gairloch Developments	706	In Planning
Proposed: two residential towers connected at base - 38 storey/306 units & 43 storeys/400 units for a total of 706 units				
170-180 Merton Street	Toronto	Graywood Developments Ltd	517	In Planning
Proposed: 45 storey/517 unit rental building				
		Total In Planning	**3,403**	
		Grand Total	**14,924**	

DRAFT

Rental Development Pipeline Summary	
Status	**# Units**
In Planning	3,403
Pre-Construction	7,786
Under Construction	3,735
Total	**14,924**

Rental Development Pipeline

Source: SVN Rock Advisors

Address	City	Developer	Num Units	Stage
2500 Yonge Street	Old Toronto	Madison Group	163	Under Construction
Proposed: 15 storey/163 unit condo building				
1 Delisle Avenue	Toronto	Slate Asset Management LP	371	Under Construction
Proposed: 44 storey/371 unit condo building				
55-65 Broadway Avenue	Old Toronto	Times 5565 Inc	778	Under Construction
Proposed: two 39 storey/389 unit residential towers for a total of 778 units (1 condo/1 rental)				
2100 Yonge Street	Old Toronto	The Rockport Group	71	Under Construction
Proposed: 12 storey/71 unit mixed-use condo building				
110 Broadway Avenue	North York	Westdale Properties	858	Under Construction
Proposed: two condo towers - 26 storey/352 units & 37 storey/506 units for a total of 858 units (part of a 3 tower development with 39 storey/448 unit mixed-use rental building at 100 Broadway Avenue)				
117 Broadway Avenue	Old Toronto	Reserve Properties Ltd	1,010	Under Construction
Proposed: two condo towers - 38 & 39 storeys with a total of 1010 units				
109 Erskine Avenue	Toronto	Curated Properties	211	Under Construction

DRAFT

Proposed: 22 storey/211 unit condo building (includes 31 rental replacement units)				
		Total Under Construction	**3,462**	
1467 Bathurst Street	York	KingSett Capital	1,160	Pre-Construction
Proposed: three condo buildings ranging 35-41 towers with a total of 1160 units				
2079-2111 Yonge Street	Old Toronto	Glen Corp	471	Pre-Construction
Proposed: 26 storey/471 unit mixed-use condo building (31 unit affordable rental replacements)				
101 Heath Street W	Old Toronto	Haven Developments	10	Pre-Construction
Proposed: 3 storey/10 unit condo building				
543 Eglinton Avenue E	Old Toronto	Skale Developments	300	Pre-Construction
Proposed: 20 storey/300 unit mixed-use condo building				
1233 Yonge Street	Toronto	1233 Yonge Holdings Inc	763	Pre-Construction
Proposed: 53 storey/763 unit mixed-use condo building (includes rental replacement units)				
1196-1210 Yonge Street	Old Toronto	Woodcliffe Corporation	130	Pre-Construction
Proposed: 32 storey/130 unit mixed-use condo building (includes rental replacement units)				
141 Davisville Avenue	Old Toronto	Osmington Gerofsky Development Corp	432	Pre-Construction
Proposed: 33 storey/432 unit condo building				
2323 Yonge Street	Old Toronto	RioCan REIT	784	Pre-Construction
Proposed: 65 storey/784 unit mixed-use condo building				
1303 Yonge Street	Old Toronto	Aspen Ridge Homes	832	Pre-Construction

DRAFT

Proposed: 43 & 47 storey condo building with a total of 832 units				
77 Roehampton Avenue	Toronto	Westdale Properties	624	Pre-Construction
Proposed: 50 storey/624 unit condo building				
1421 Yonge Street	Old Toronto	Terracap Management Inc	198	Pre-Construction
Proposed: 34 storey/198 unit mixed-use condo building (includes 18 rental replacement units)				
1910 Yonge Street	Old Toronto	Davpart Inc	1,041	Pre-Construction
Proposed: two mixed-use condo towers - 48 & 53 storeys with a total of 1041 units (includes 102 affordable rental replacement units)				
1677 Bathurst Street	Old Toronto	Metroly Developments	45	Pre-Construction
Proposed: 4 storey/45 unit condo building (includes 13 affordable rental replacement units)				
2345 Yonge Street	Old Toronto	RioCan REIT	1,370	Pre-Construction
Proposed: two connected mixed-use condo towers - 54 & 56 storeys with a total of 1370 total units				
133 Erskine Avenue	Old Toronto	Minett Capital Inc	366	Pre-Construction
Proposed: 35 storey/366 unit condo building (includes rental replacement units)				
1677 Bathurst Street	Toronto	Elderwood Townhomes Inc	45	Pre-Construction
Proposed: 4 storey/45 unit condo building				
40 Eglinton Avenue E	Old Toronto	Metro Inc.	892	Pre-Construction
Proposed: three mixed-use condo buildings ranging 13-30 storeys with a total of 892 units				
2851 Yonge Street	Toronto	Lanterra Developments	29	Pre-Construction
Proposed: 7 storey/29 unit condo building				
		Total Pre-Construction	**9,492**	

DRAFT

77 Erskine Avenue	Old Toronto	Fora Developments	377	In Planning
Proposed: 35 storey/377 unit condo building (includes 36 rental replacement units)				
733 Mount Pleasant Road	Old Toronto	The Rockport Group	325	In Planning
Proposed: 27 storey/325 unit mixed-use condo building				
2350 Yonge Street	Old Toronto	Bazis Inc	323	In Planning
Proposed: 50 storey/323 unit condo building				
141 Roehampton Avenue	Old Toronto	Lifetime Developments	758	In Planning
Proposed: 58 storey/758 unit condo building				
120 Eglinton Avenue E	Toronto	Ruth Reisman Ltd.	555	In Planning
Proposed: 70 storey/555 unit mixed-use condo building				
2346 Yonge Street	Old Toronto	Diamond Corp	407	In Planning
Proposed: 56 storey/407 unit mixed-use condo building				
45 Balliol Street	Old Toronto	Greenrock Property Management Ltd	477	In Planning
Proposed: 40 storey/477 unit condo building (includes rental replacement units)				
124-136 Broadway Avenue	Toronto	Reserve Properties Ltd	860	In Planning
Proposed: two condo towers - 30 storey/290 units & 36 storey/570 units for a total of 860 units (includes rental replacement units)				
1 St Clair Avenue W	Toronto	Slate Asset Management LP	340	In Planning
Proposed: 49 storey/340 unit condo building				
61 Brownlow Avenue	Old Toronto	Menkes Developments Ltd	1,374	In Planning
Proposed: two mixed-use condo towers - 55 & 59 storeys with a total of 1374 units (includes rental replacement units)				

DRAFT

214 Merton Street	Old Toronto	KingSett Capital	434	In Planning
Proposed: 40 storey/434 unit mixed-use condo building				

Total In Planning	**6,230**
Grand Total	**19,184**

Condo Development Pipeline Summary	
Status	**# Units**
In Planning	6,230
Pre-Construction	9,492
Under Construction	3,462
Total	**19,184**

Condo Development Pipeline

Source: SVN Rock Advisors

DRAFT

9 – COMPETITIVE MARKET ANALYSIS

"Who's my competition?"

In this section, the analysis begins by examining the theoretical pricing structure of rental apartment markets. It then proceeds to evaluate the macro rental market context using data from CMHC. Furthermore, a comprehensive market survey is conducted to identify primary rental comparables (A, B, and C class) and secondary rental comparables, considering rental rates, unit sizes, and overall building quality.

Understanding the theoretical market structure of the rental market is vital for determining the current and future market positioning of specific buildings and building classes, including conventional rentals, condo rentals, student housing, and retirement apartments. The pricing and quality rankings of rentals in major rental markets in Canada can be organized as follows:

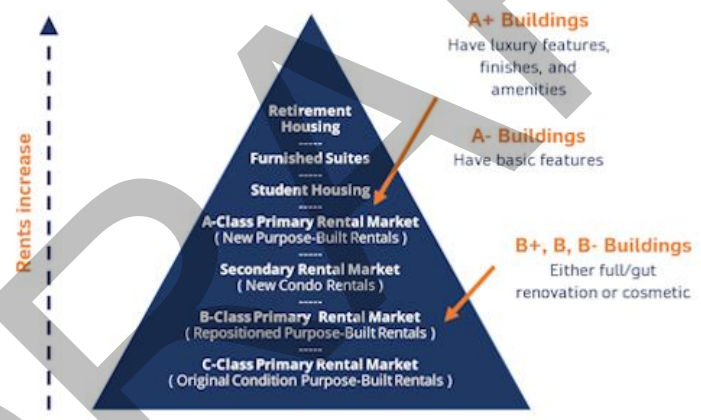

Housing Markets

Source: SVN Rock Advisors

Large rental housing markets often present complexities in defining the "value proposition" of rental apartments, where the relationship between perceived quality, appeal, and achieved rents isn't always straightforward. Exceptions to the theoretical market structure can indicate inefficiencies, leading to pricing that does not necessarily reflect a strict hierarchy of value to renters.

In such markets, newly constructed purpose-built rental apartment properties typically command the highest rents due to their desirability among renters, particularly those prioritizing quality over price. Purpose-built student housing tends to yield the highest returns due to higher rent per square foot. Condominium-rentals follow, although they often don't achieve rents as high as newly constructed apartments, mainly because individual condo owners may prioritize capital gains over rental yields and lack market knowledge and professional support.

DRAFT

Within the old-stock rental apartment category, pricing varies based on renovation levels. Properties in original condition typically achieve the lowest rents, while those with cosmetic upgrades, such as new cabinetry, lights and fixtures, command higher rents. However, fully renovated properties, stripped and refurbished with new equipment and finishes, usually command the highest rents, sometimes approaching those of newly constructed rentals.

9.1 – Average Rent

STRONG RENTAL RATES WITH HIGH INCREASES YEAR OVER YEAR

Average rental rates for the primary rental market, as recorded by CMHC, are shown below for Toronto and benchmark locales. Average rents are indicative of the overall rental rate being achieved in a geographical area but should be treated with caution, as they include buildings of all sizes, ages, and locations within a city.

	Bachelor	1-Bed	2-Bed	3-Bed	Average	$ Change (1 year)
Forest Hill South, Casa Loma, Wychwood, Humewood-Cedarvale (NBHD's)	$1,390	$1,894	$2,456	$3,893	**$2,245**	$203
Toronto (Central) (Zone)	$1,574	$1,574	$2,627	$3,494	**$2,092**	($22)
Toronto (North) (Zone)	$1,570	$1,889	$2,391	$3,105	**$2,033**	($41)
Toronto (C)	$1,456	$1,715	$1,984	$2,232	**$1,851**	$6
York (ZONE)	$1,381	$1,665	$2,022	$2,706	**$1,843**	$59
Yonge-Eglinton (NBHD)	$1,655	$1,824	**	**	**$1,823**	($67)
North York (Southwest) (Zone)	$1,272	$1,549	$1,949	$2,169	**$1,775**	$107
Toronto (West) (Zone)	$4,984	$1,667	$1,969	$3,000	**$1,752**	($7)
Toronto (East) (Zone)	$1,166	$1,627	$1,967	$2,310	**$1,673**	$51

Comparison Cities: Average Rents

Source: SVN Rock Advisors w/ CMHC (2024)
Note: ** indicates a lack of data provided by CMHC and is usually due to lack of sample size to give an accurate average rental rate.

The subject site's surrounding neighborhoods have an overall average rent of $2,245 for 2024, with a change of $203 from the prior year. It is important to note that the rents are based primarily of old-stock rentals and as such not directly indicative of the potential rents for new stock rental buildings. When brought to market the subject site is poised to attain significantly higher rents than those of existing old-stock rental comparables.

DRAFT

9.2 – CMHC vs Current Marketplace Rents

LARGE GAP DUE TO LIMITED NEW CONSTRUCTION PRODUCT

The average rental rates reported by CMHC can be influenced by factors such as a large supply of new high-end purpose-built apartment buildings, which can inflate the average. Conversely, cities with few or no high-end buildings and low-quality apartment stock may show lower average rents. It is important to note that the average listed rent represents a statistical midpoint, with half of the properties achieving rents above this figure, as report by CMHC.

To illustrate the limitations of relying on CMHC average rental rate data, below are two case studies of purpose-built rental apartment buildings achieving rental rates substantially higher than the CMHC averages.

City	Property	Actual Rent	Average CMHC Rent	Gap
Toronto (C)	2Fifteen	$6,182	$1,984	$4,198
Toronto (C)	One 0 one	$4,650	$1,984	$2,666

Comparison Cities: CMHC vs Current Marketplace Rents

Source: SVN Rock Advisors w/ CMHC (2024)

Constructed in 2022, *2Fifteen* in Toronto achieves rental rates that significantly exceed the CMHC average for the city. Similarly, *One 0 One*, a slightly older development completed in 2017, also commands rents well above the CMHC average. This highlights the strength of demand for high-quality, purpose-built rental product in Toronto. Once brought to market, the proposed development is expected to achieve rents above the CMHC average, given its status as the newest and most market-leading rental offering in the area. The property's design, finishes, and amenity package will position it to outperform older stock and attract tenants willing to pay a premium for a quality product.

9.3 – Average Vacancy Rates

MODERATE VACANCY RATES IN SUBJECT MARKET

Average vacancy rates are often a function of the supply of format apartment units, population growth, demographic structure, and the housing market. It is important to note that while low vacancy can be a strong indicator for demand, it must be analyzed along with other indicators such as the size of the rental universe, because small rental universes will naturally have lower vacancy rates, therefore it does not automatically indicate strong demand.

DRAFT

	Bachelor	1-Bed	2-Bed	3-Bed	Average	% Change (1 year)
Toronto (West) (Zone)	4.6%	3.2%	**	**	**3.7%**	1.6%
Toronto (Central) (Zone)	4.2%	3.5%	2.8%	4.2%	**3.5%**	1.9%
York (ZONE)	**	2.7%	3.1%	3.2%	**3.4%**	1.6%
North York (Southwest) (Zone)	**	2.8%	1.6%	**	**2.9%**	1.1%
Toronto (East) (Zone)	5.8%	3.4%	0.9%	**	**2.9%**	(0.9%)
Forest Hill South, Casa Loma, Wychwood, Humewood-Cedarvale (NBHD's)	3.6%	3.6%	2.1%	5.4%	**2.5%**	0.6%
Yonge-Eglinton (NBHD)	**	0.7%	**	**	**2.4%**	--
Toronto (C)	4.5%	2.7%	1.7%	1.3%	**2.3%**	0.9%
Toronto (North) (Zone)	2.8%	2.3%	1.6%	**	**2.2%**	0.6%

Comparison Cities: Average Vacancy Rates

Source: SVN Rock Advisors w/ CMHC (2024)
Note: ** indicates a lack of data provided by CMHC and is usually due to lack of sample size to give an accurate rental rate.

The average vacancy rates displayed above have been collected from CMHC, which records the vacancy rate by unit type across the primary rental markets. Vacancy rates are low in the subject site neighborhoods at 2.5%, similar to the surrounding city, which also has low vacancy rates. Vacancy rates across the city remain low and are not a major concern for the Client's proposed development

9.4 Average Rental and Vacancy Rates

The rental market within the subject site's surrounding neighborhoods has an average monthly rent of $2,245 based on CMHC data. However, the strong secondary market and lack of newly built apartments suggest that newly constructed rental properties are likely to command higher rents than the CMHC average. Over the past year, rental rates in the subject site's neighborhood have increased by $203, or 10%. This substantial increase outperforms the benchmark city of Toronto, which has seen rents remain relatively flat. Both the subject site neighborhood and the broader city of Toronto continue to maintain low vacancy rates. The overall indication within the local market is a healthy rental market with the capacity to accommodate more rental properties, as discussed earlier in the report regarding rental density scenarios.

DRAFT

10 – PRIMARY MARKET ANALYSIS

"What's my competition?"

To complete a comprehensive market analysis, rental data was collected on two categories of rental apartment buildings:

1. New rental buildings near the subject site. These buildings command top-of-the market rents and are comparable to the subject proposed property.

2. Old-stock rental buildings near the subject site. While older buildings typically do not command the highest rents in the market, some of these buildings have undergone renovations and are achieving strong rental rates.

The analysis of these buildings, combined with the observed demographic and economic statistics in the subject area, provides insight into the potential rental rates that the Client could achieve for the proposed rental development.

10.1 – New Rental Comparables

New rental comparables are listed, mapped, and detailed in the following pages.

DRAFT

Reference #	Address	Building Name
1	215 Lonsdale Road, Toronto, ON	2Fifteen
2	101 St Clair Avenue W, Toronto, ON	One 0 One
3	484 Spadina Avenue, Toronto, ON	Waverley
4	2 St. Thomas Street, Toronto, ON	Two St. Thomas Apartments
5	25 Montgomery Avenue (2388 Yonge Street), Toronto, ON	The Montgomery
6	18 Erskine Avenue, Toronto, ON	E18HTEEN - Erskine at Yonge
7	200 Redpath Avenue, Toronto, ON	The Parker
8	77 Keewatin Avenue, Toronto, ON	--
9	730 Hillsdale Avenue E, Old Toronto, ON	The Stack at Bayview
10	31 York Garden Way, North York, ON	Sloane
11	20 Monte Kwinter Court, Toronto, ON	Tippett Park
12	115 Larchmount Avenue, Old Toronto, ON	115 Larchmount
13	35 Greenfield Avenue, North York, ON	Pivot
14	130 Parkway Forest Drive, 85 & 95 Forest Manor Road, North York, ON	Forest Suites
15	123 Parkway Forest Drive, North York, ON	VIA 123 Apartments

New Rental Comparables

Source: SVN Rock Advisors

The map below shows the geographical relationship between the new rental comparables and the subject site.

DRAFT

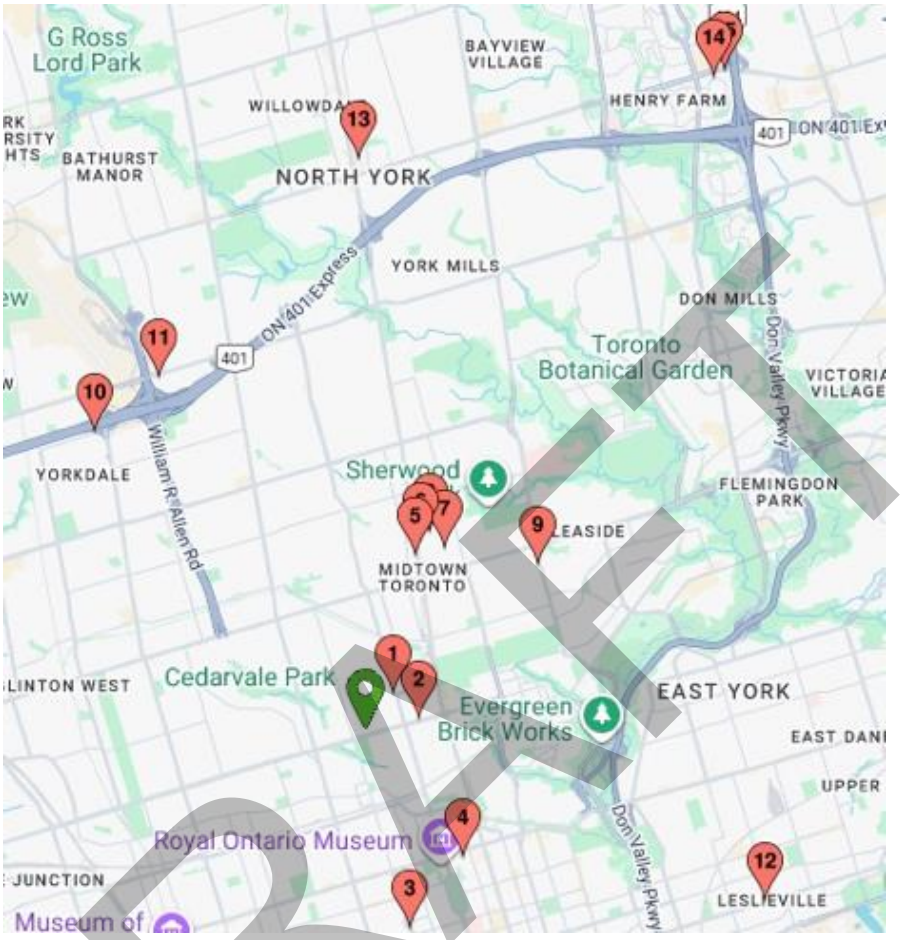

Subject Site New Rental Comparable

New Rental Comparables Map

Source: SVN Rock Advisors w/ Google Earth (2025)

Over the next several pages, details for each of the new rental comparables are presented.

DRAFT

2Fifteen

215 Lonsdale Road
Toronto, ON

Owner:
The Preston Group

Year Built:	2022
Num Units:	177
Walk Score:	70
Transit Score:	81
Utilities:	Plus Water & Hydro
Avg Rent/SF:	$5.63

Building Amenities:

Aerobics & Yoga Room | BBQ Area | Concierge | Fitness Centre | Games Room | Hot Tub / Whirlpool | Keyless Security | Lounge | Party Room | Sauna | Security Cameras | Storage Lockers | Terrace

Unit Features:

A/C | Balcony | Dishwasher | Insuite W/D | Quartz Countertops | S/S Appliances | Walk-In Closets (select suites)

Unit Type	Num Units	SF	Rent	Rent/SF
1/1		583	$3,500	$6.00
1/1		633	$2,979	$4.71
1/1		755	$4,300	$5.70
1/1		663	$2,745	$4.14
2/2		1,341	$6,182	$4.61
2/2 Den		1,304	$6,738	$5.17
2/2.5		1,231	$7,350	$5.97
2/2.5 Den		1,481	$13,000	$8.78
UG Parking			$400	
Bicycle Storage			Included	
Storage Lockers			$95	

DRAFT

New Rental Comparable #1

215 Lonsdale Road, Toronto, ON

Source: SVN Rock Advisors

One 0 One

101 St Clair Avenue W
Toronto, ON

Owner:
Camrost Felcorp Developments

Year Built:	2017
Num Units:	240
Walk Score:	95
Transit Score:	84
Utilities:	Plus Hydro & Water
Avg Rent/SF:	$5.29

Building Amenities:

Aerobics & Yoga Room | BBQ Area | Business Centre | Concierge | Fitness Centre | Games Room | Guest Suite(s) | Hot Tub / Whirlpool | Keyless Security | Lounge | Party Room | Security Cameras | Security Guard | Storage Lockers | Swimming Pool | Theater

Unit Features:

A / C | Dishwasher | Granite/Quartz Countertops | In-suite W/D | Microwave | S/S Appliances

Unit Type	Num Units	SF	Rent	Rent/SF
1/1		585	$2,900	$4.96
1/1		605	$2,825	$4.67
1/1		585	$2,950	$5.04
1/1 Den		750	$3,950	$5.27
1/1 Den		705	$3,495	$4.96
1/1.5 Den		800	$4,150	$5.19
2/2		859	$4,650	$5.41
2/2		930	$5,650	$6.08
2/2 Den		1,500	$8,995	$6.00
EV Parking			$350	
UG Parking			$250	
Storage Lockers			$95	

DRAFT

New Rental Comparable #2

101 St Clair Avenue W, Toronto, ON

Source: SVN Rock Advisors

Waverley

484 Spadina Avenue
Toronto, ON

Owner:
Fitzrovia Real Estate Inc.

Year Built:	2021
Num Units:	166
Walk Score:	99
Transit Score:	-
Utilities:	Plus Utilities
Avg Rent/SF:	$5.72

Building Amenities:

BBQ Area | Concierge | Fitness Centre | Games Room | Guest Suite(s) | Keyless Security | Lounge | Party Room | Security Cameras | Storage Lockers | Swimming Pool | Terrace | Theater

Unit Features:

A/C | Dishwasher | Granite/Quartz Countertops | In-suite W/D | S/S Appliances | Walk-In Closets (select suites) | Wi-Fi

Unit Type	Num Units	SF	Rent	Rent/SF
0/1		429	$2,675	$6.24
0/1		398	$2,600	$6.53
0/1		349	$2,475	$7.09
0/1		429	$2,700	$6.29
1/1		534	$3,000	$5.62
1/1		539	$3,125	$5.80
1/1		539	$3,000	$5.57
1/1		645	$3,125	$4.84
2/2		1,086	$4,975	$4.58
3/2		1,016	$5,725	$5.63
3/2		1,321	$6,175	$4.67
UG Parking			$335	
Bicycle Storage			Included	

New Rental Comparable #3

484 Spadina Avenue, Toronto, ON

Source: SVN Rock Advisors

DRAFT

Two St. Thomas Apartments

2 St. Thomas Street
Toronto, ON

Owner:
KingSett Capital

Year Built:	2017
Num Units:	248
Walk Score:	100
Transit Score:	94
Utilities:	Plus Water & Hydro
Avg Rent/SF:	$5.42

Building Amenities:

Aerobics & Yoga Room | BBQ Area | Concierge | Fitness Centre | Keyless Security | Lounge | Party Room | Security Cameras | Terrace

Unit Features:

A / C | Balcony | Dishwasher | Granite/Quartz Countertops | In-suite W/D | Microwave | S/S Appliances

Unit Type	Num Units	SF	Rent	Rent/SF
1/1		548	$2,850	$5.20
1/1		534	$2,895	$5.42
1/1		515	$2,830	$5.50
1/1		765	$3,290	$4.30
2/2		1,090	$4,579	$4.20
3/2.5		1,225	$8,095	$6.61
3/2.5		1,225	$8,195	$6.69
UG Parking			$350	
Storage Lockers			$120	

New Rental Comparable #4

2 St. Thomas Street, Toronto, ON

Source: SVN Rock Advisors

DRAFT

The Montgomery

25 Montgomery Avenue (2388 Yonge Street)
Toronto, ON

Owner:
The Rockport Group

Year Built:	2017
Num Units:	230
Walk Score:	98
Transit Score:	88
Utilities:	Plus Hydro
Avg Rent/SF:	$4.39

Building Amenities:

Aerobics & Yoga Room | BBQ Area | Business Centre | Concierge | Fitness Centre | Games Room | Guest Suite(s) | Keyless Security | Lounge | Party Room | Security Cameras | Security Guard | Storage Lockers | Swimming Pool | Terrace | Theater

Unit Features:

A / C | Balcony | Dishwasher | Granite/Quartz Countertops | In-suite W/D | Microwave | S/S Appliances

Unit Type	Num Units	SF	Rent	Rent/SF
0/1		477	$2,419	$5.07
1/1		519	$2,476	$4.77
1/1		624	$2,707	$4.34
1/1		519	$2,546	$4.91
1/1 Den		653	$2,619	$4.01
1/1 Den		689	$2,805	$4.07
1/1.5 Den TH		1,079	$3,776	$3.50
1/2 Den		816	$3,050	$3.74
2/1		837	$3,165	$3.78
2/2		963	$4,063	$4.22
2/2		963	$4,058	$4.21
3/2		1,151	$5,973	$5.19
PH 1/1		565	$2,811	$4.98
PH 2/2		914	$4,211	$4.61
UG Parking			$275	
UG Parking - Reserved			$325	

DRAFT

New Rental Comparable #5

25 Montgomery Avenue (2388 Yonge Street), Toronto, ON

Source: SVN Rock Advisors

E18HTEEN - Erskine at Yonge

18 Erskine Avenue
Toronto, ON

Owner:
KG Group

Year Built:	2020
Num Units:	315
Walk Score:	96
Transit Score:	87
Utilities:	Plus Hydro & Water
Avg Rent/SF:	$4.65

Building Amenities:

Aerobics & Yoga Room | BBQ Area | Business Centre | Concierge | Fitness Centre | Keyless Security | Lounge | Party Room | Sauna | Security Cameras | Swimming Pool | Terrace

Unit Features:

Balcony | Dishwasher | Granite/Quartz Countertops | In-suite W/D | Microwave | S/S Appliances

Unit Type	Num Units	SF	Rent	Rent/SF
1/1		521	$2,435	$4.67
1/1		472	$2,365	$5.01
1/1		479	$2,375	$4.96
1/1		460	$2,345	$5.10
1/1		530	$2,625	$4.95
1/1 Den		612	$2,650	$4.33
2/2		804	$3,195	$3.97
2/2		709	$3,295	$4.65
2/2 Den		847	$3,550	$4.19
SF Parking			$225	
UG Parking			$295	
Storage Lockers			$95	

DRAFT

New Rental Comparable #6

18 Erskine Avenue, Toronto, ON

Source: SVN Rock Advisors

The Parker

200 Redpath Avenue
Toronto, ON

Owner:
Fitzrovia Real Estate Inc.

Year Built:	2022
Num Units:	349
Walk Score:	95
Transit Score:	88
Utilities:	Plus Utilities
Avg Rent/SF:	$5.22

Building Amenities:

Aerobics & Yoga Room | BBQ Area | Concierge | Fitness Centre | Games Room | Guest Suite(s) | Keyless Security | Lounge | Party Room | Playground | Swimming Pool | Terrace

Unit Features:

A/C | Balcony (select suites) | In-suite W/D | Internet | S/S Appliances

Unit Type	Num Units	SF	Rent	Rent/SF
0/1		350	$2,045	$5.84
0/1		350	$1,995	$5.70
1/1		494	$2,900	$5.87
1/1		457	$2,825	$6.18
1/1		603	$3,075	$5.10
1/1		547	$2,975	$5.44
1/1		567	$2,900	$5.11
1/1		552	$2,950	$5.34
1/1		509	$2,750	$5.40
2/2		956	$3,850	$4.03
2/2		784	$3,650	$4.66
2/2		745	$3,825	$5.13
2/2		784	$3,600	$4.59
3/2		886	$4,955	$5.59
3/2		886	$4,480	$5.06
UG Parking			$335	
Storage Lockers			$105	

DRAFT

New Rental Comparable #7

200 Redpath Avenue, Toronto, ON

Source: SVN Rock Advisors

--

77 Keewatin Avenue
Toronto, ON

Owner:
Greenwin Inc

Year Built:	2017
Num Units:	80
Walk Score:	91
Transit Score:	85
Utilities:	Plus Water & Hydro
Avg Rent/SF:	$3.46

Building Amenities:

Concierge | Fitness Centre | Hot Tub / Whirlpool | Keyless Security | Lounge | Party Room | Security Cameras | Security Guard | Swimming Pool | Terrace | Theater | Variety Store

Unit Features:

Balcony | Dishwasher | Granite/Quartz Countertops | In-suite W/D | Microwave | S/S Appliances

Unit Type	Num Units	SF	Rent	Rent/SF
0/1		554	$1,975	$3.56
1/1 Den		809	$2,785	$3.44
2/2	23	1,030	$3,465	$3.36
Storage Lockers			$45	
UG Parking			$175	

New Rental Comparable #8

77 Keewatin Avenue, Toronto, ON

Source: SVN Rock Advisors

DRAFT

The Stack at Bayview

730 Hillsdale Avenue E
Old Toronto, ON

Owner:
The Brown Group of Companies Inc

Year Built:	2022
Num Units:	146
Walk Score:	87
Transit Score:	71
Utilities:	Plus Water & Hydro
Avg Rent/SF:	$4.37

Building Amenities:

BBQ Area | Business Centre | Concierge | Fitness Centre | Keyless Security | Party Room | Security Cameras | Storage Lockers | Terrace

Unit Features:

Balcony | Dishwasher | Granite/Quartz Countertops | In-suite W/D | Microwave | S/S Appliances

Unit Type	Num Units	SF	Rent	Rent/SF
0/1		464	$2,158	$4.65
1/1		720	$2,960	$4.11
1/1 Den		621	$2,910	$4.69
1/1 Den		684	$3,060	$4.47
1/1 Den		739	$3,040	$4.11
1/1 Den		739	$3,140	$4.25
2/2		803	$3,530	$4.40
2/2		900	$4,140	$4.60
2/2		771	$3,670	$4.76
2/2		849	$3,550	$4.18
2/2		903	$3,400	$3.77
2/2		728	$3,750	$5.15
2/2		709	$2,990	$4.22
2/2		763	$3,040	$3.98
3/2.5 Den		1,356	$5,650	$4.17
UG Parking	163		$210	
Bicycle Storage			Included	

New Rental Comparable #9

730 Hillsdale Avenue E, Old Toronto, ON

Source: SVN Rock Advisors

DRAFT

Sloane

31 York Garden Way
North York, ON

Owner:
Fitzrovia Real Estate Inc.

Year Built:	2025
Num Units:	759
Walk Score:	81
Transit Score:	83
Utilities:	Plus Utilities
Avg Rent/SF:	$4.73

Building Amenities:

Aerobics & Yoga Room | Business Centre | Fitness Centre | Games Room | Keyless Security | Lounge | Party Room | Playground | Sauna | Security Cameras | Swimming Pool | Terrace | Theater

Unit Features:

9' Ceilings | Dishwasher | Granite/Quartz Countertops | Insuite W/D | Microwave | S/S Appliances | Walk-In Closets (select suites)

Unit Type	Num Units	SF	Rent	Rent/SF
0/1		357	$2,100	$5.88
0/1		357	$2,150	$6.02
1/1		532	$2,525	$4.75
1/1		508	$2,550	$5.02
1/1		508	$2,575	$5.07
1/1		532	$2,575	$4.84
2/2		773	$3,400	$4.40
2/2		777	$3,375	$4.34
2/2		721	$3,300	$4.58
2/2 TH		1,196	$4,350	$3.64
2/2.5 TH		1,100	$4,350	$3.95
3/2		994	$4,150	$4.18
3/2		851	$4,000	$4.70
3/2		991	$4,250	$4.29
UG Parking			$250	
Bicycle Storage			Included	
Storage Lockers			$90	

DRAFT

New Rental Comparable #10

31 York Garden Way, North York, ON

Source: SVN Rock Advisors

Tippett Park

20 Monte Kwinter Court
Toronto, ON

Owner:
Shiplake Properties

Year Built:	2020
Num Units:	171
Walk Score:	74
Transit Score:	89
Utilities:	Plus Water & Hydro
Avg Rent/SF:	$4.53

Building Amenities:

Aerobics & Yoga Room | BBQ Area | Fitness Centre | Games Room | Keyless Security | Lounge | Party Room | Terrace

Unit Features:

A/C | Balcony | Dishwasher | Granite/Quartz Countertops | Insuite W/D | In-suite W/D | Microwave | S/S Appliances

Unit Type	Num Units	SF	Rent	Rent/SF
0/1		389	$1,895	$4.87
1/1		426	$2,395	$5.62
1/1		426	$2,100	$4.93
1/1 Den		608	$2,229	$3.67
1/1 Den		608	$2,569	$4.23
2/1 Den		846	$3,500	$4.14
2/2		665	$3,223	$4.85
2/2		665	$2,627	$3.95
UG Parking			$150	
Bicycle Storage	354		Included	

New Rental Comparable #11

20 Monte Kwinter Court, Toronto, ON

Source: SVN Rock Advisors

DRAFT

115 Larchmount

115 Larchmount Avenue
Old Toronto, ON

Owner:
Hullmark Developments Ltd.

Year Built:	2024
Num Units:	47
Walk Score:	96
Transit Score:	77
Utilities:	Plus Hydro
Avg Rent/SF:	$4.24

Building Amenities:

BBQ Area | Keyless Security | Lounge | Terrace

Unit Features:

A/C | Balcony (select suites) | Dishwasher | Granite/Quartz Countertops | Microwave | S/S Appliances | Walk-In Closets (select suites)

Unit Type	Num Units	SF	Rent	Rent/SF
0/1		404	$1,850	$4.58
0/1		461	$1,895	$4.11
1/1		568	$2,695	$4.74
1/1		692	$2,995	$4.33
1/1		574	$2,195	$3.82
2/1		885	$3,395	$3.84
2/1.5		762	$3,250	$4.27
2/1.5		761	$3,095	$4.07
2/2		914	$4,000	$4.38
2/2		853	$3,600	$4.22
UG Parking			$250	

New Rental Comparable #12

115 Larchmount Avenue, Old Toronto, ON

Source: SVN Rock Advisors

DRAFT

Pivot

35 Greenfield Avenue
North York, ON

Owner:
RioCan REIT - Head Office*

Year Built:	2020
Num Units:	361
Walk Score:	79
Transit Score:	90
Utilities:	Plus Hydro & Water
Avg Rent/SF:	$4.13

Building Amenities:

Aerobics & Yoga Room | Concierge | Fitness Centre | Games Room | Keyless Security | Lounge | Party Room | Security Cameras | Terrace

Unit Features:

9' Ceilings | A / C | Balcony | Dishwasher | Granite/Quartz Countertops | In-suite W/D | S/S Appliances | Walk-In Closets (select suites)

Unit Type	Num Units	SF	Rent	Rent/SF
1/1		749	$3,473	$4.64
1/1		655	$2,675	$4.08
1/1		559	$2,419	$4.33
1/1		533	$2,453	$4.60
1/1		559	$2,509	$4.49
1/1		566	$2,331	$4.12
1/1		655	$2,810	$4.29
1/1		566	$2,536	$4.48
1/1		559	$2,389	$4.27
1/1		571	$2,525	$4.42
2/2		920	$3,425	$3.72
2/2		978	$3,559	$3.64
2/2		978	$3,319	$3.39
2/2		924	$3,440	$3.72
PH 2/2.5		1,182	$4,509	$3.81
UG Parking			$200	

DRAFT

New Rental Comparable #13

35 Greenfield Avenue, North York, ON

Source: SVN Rock Advisors

Forest Suites

130 Parkway Forest Drive, 85 & 95 Forest Manor Road
North York, ON

Owner:
Homestead Land Holdings Ltd

Year Built:	2013
Num Units:	91
Walk Score:	9
Transit Score:	82
Utilities:	Plus Hydro
Avg Rent/SF:	$3.16

Building Amenities:

Fitness Centre | Keyless Security | Party Room | Security Cameras

Unit Features:

A / C | A/C | Balcony | Dishwasher | In-suite W/D | S/S Appliances

Unit Type	Num Units	SF	Rent	Rent/SF
1/1		605	$2,330	$3.85
2/1		878	$2,385	$2.72
3/2		1,149	$3,345	$2.91
UG Parking			$175	
Bicycle Storage			Included	

New Rental Comparable #14

130 Parkway Forest Drive, 85 & 95 Forest Manor Road, North York, ON

Source: SVN Rock Advisors

DRAFT

VIA 123 Apartments

123 Parkway Forest Drive
North York, ON

Owner:
Woodbourne Canada Management Inc

Year Built:	2017
Num Units:	200
Walk Score:	63
Transit Score:	85
Utilities:	Plus Hydro
Avg Rent/SF:	$3.54

Building Amenities:

BBQ Area | Fitness Centre | Keyless Security | Party Room | Playground | Security Cameras | Terrace

Unit Features:

A / C | Balcony | Dishwasher | Granite/Quartz Countertops | In-suite W/D | Microwave | S/S Appliances

Unit Type	Num Units	SF	Rent	Rent/SF
1/1 Den		722	$3,040	$4.21
2/1		882	$3,072	$3.48
2/1		840	$3,021	$3.60
2/1		882	$2,997	$3.40
2/1		840	$2,926	$3.48
2/2		960	$3,159	$3.29
2/2		960	$3,209	$3.34
UG Parking			$200	

New Rental Comparable #15

123 Parkway Forest Drive, North York, ON

Source: SVN Rock Advisors

DRAFT

10.2 – Old Rental Comparables

Older rental comparables are listed, mapped, and detailed in the following pages.

Reference #	Address	Building Name
1	14-30 Tichester Road, York, ON	Tichester Park Manors
2	100 Raglan Avenue, York, ON	-
3	111 Raglan Avenue, Toronto, ON	Cedarvale Residences
4	172 Vaughan Road, Toronto, ON	-
5	400 Walmer Road, York, ON	400 Walmer
6	484 Avenue Road, Toronto, ON	Forest Hill
7	70, 80, 90 Heath Street W, Toronto, ON	-
8	2 Regal Road, Toronto, ON	Regal Tower Apartments
9	450 Winona Drive, York, ON	Winoak
10	100 Spadina Road, Toronto, ON	Panorama Towers
11	40 & 60 Pleasant Boulevard, Toronto, ON	Commonwealth Towers
12	25 Lascelles Boulevard, Toronto, ON	Brentwood Towers
13	1011 Lansdowne Avenue, Toronto, ON	The Lansdowne
14	2050 Keele Street, North York, ON	Keelegate Tower

Old Rental Comparables

Source: SVN Rock Advisors

The map below shows the geographical relationship between the old rental comparables and the subject site.

DRAFT

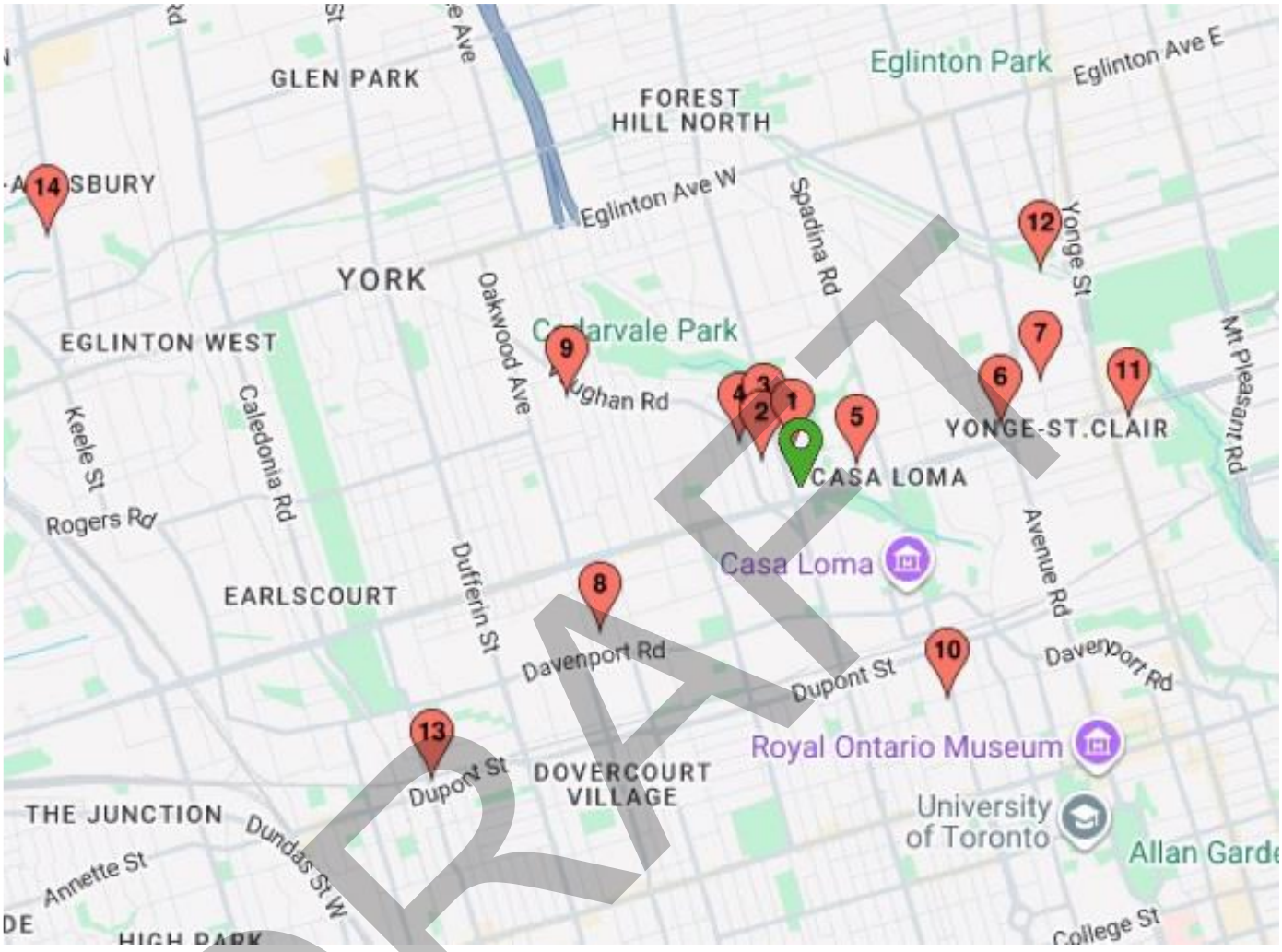

Subject Site Old Rental Comparable

Old Rental Comparables Map

Source: SVN Rock Advisors w/ Google Earth (2025)

DRAFT

Over the next several pages, details for each of the old rental comparables are presented.

Tichester Park Manors

14-30 Tichester Road
York, ON

Owner:
13073718 Canada Inc

Year Built:	1969
Num Units:	128
Walk Score:	93
Transit Score:	84
Utilities:	Plus Hydro
Avg Rent/SF:	$3.58

Building Amenities:

Keyless Security | Storage Lockers

Unit Features:

Dishwasher | Microwave | S/S Appliances

Unit Type	Num Units	SF	Rent	Rent/SF
0/1		447	$1,889	$4.23
1/1		628	$2,059	$3.28
1/1		670	$2,169	$3.24
UG Parking			$150	

Old Rental Comparable #1

14-30 Tichester Road, York, ON

Source: SVN Rock Advisors

DRAFT

-

100 Raglan Avenue
York, ON

Owner:
Marquesa Apartments Ltd

Year Built:	1964
Num Units:	231
Walk Score:	96
Transit Score:	85
Utilities:	Inclusive
Avg Rent/SF:	$2.39

Building Amenities:

-

Unit Features:

Balcony | Dishwasher (select suites) | Granite/Quartz Countertops (select suites) | S/S Appliances (select suites)

Unit Type	Num Units	SF	Rent	Rent/SF
1/1		800	$1,900	$2.38
2/1		1,000	$2,400	$2.40
UG Parking			$75	

Old Rental Comparable #2

100 Raglan Avenue, York, ON

Source: SVN Rock Advisors

DRAFT

Cedarvale Residences

111 Raglan Avenue
Toronto, ON

Owner:
Barney River

Year Built:	1960
Num Units:	175
Walk Score:	93
Transit Score:	85
Utilities:	Plus Hydro
Avg Rent/SF:	$3.41

Building Amenities:

Fitness Centre | Keyless Security | Security Cameras | Swimming Pool

Unit Features:

A / C | Balcony | Dishwasher (select suites)

Unit Type	Num Units	SF	Rent	Rent/SF
1/1		675	$2,400	$3.56
2/1		890	$2,900	$3.26
UG Parking			$150	

Old Rental Comparable #3

111 Raglan Avenue, Toronto, ON

Source: SVN Rock Advisors

DRAFT

-

172 Vaughan Road
Toronto, ON

Owner:
High Value Consultants Ltd

Year Built:	1932
Num Units:	24
Walk Score:	70
Transit Score:	85
Utilities:	Plus Hydro
Avg Rent/SF:	$3.80

Building Amenities:

Keyless Security | Security Cameras | Variety Store

Unit Features:

A/C | S/S Appliances

Unit Type	Num Units	SF	Rent	Rent/SF
0/1		350	$1,400	$4.00
1/1		500	$1,800	$3.60
SF Parking			$100	

Old Rental Comparable #4

172 Vaughan Road, Toronto, ON

Source: SVN Rock Advisors

DRAFT

400 Walmer

400 Walmer Road
York, ON

Owner:
1212765 Ontario Limited

Year Built:	1964
Num Units:	585
Walk Score:	93
Transit Score:	85
Utilities:	Plus Water & Hydro
Avg Rent/SF:	$3.49

Building Amenities:

BBQ Area | Concierge | Fitness Centre | Guest Suite(s) | Keyless Security | Party Room | Sauna | Security Cameras | Swimming Pool | Terrace | Variety Store

Unit Features:

A / C | Balcony | Microwave | S/S Appliances | Walk-In Closets

Unit Type	Num Units	SF	Rent	Rent/SF
0/1		410	$2,078	$5.07
0/1		410	$2,045	$4.99
1/1		803	$2,947	$3.67
1/1	220	803	$2,299	$2.86
2/1		1,075	$3,629	$3.38
2/1	224	1,075	$2,975	$2.77
2/2		1,046	$3,629	$3.47
2/2		1,046	$3,170	$3.03
3/2		1,300	$3,750	$2.88
3/2	88	1,300	$3,600	$2.77
UG Parking			$200	
Storage Lockers			$50	

DRAFT

Old Rental Comparable #5

400 Walmer Road, York, ON

Source: SVN Rock Advisors

Forest Hill

484 Avenue Road
Toronto, ON

Owner:
Westdale Construction Co Ltd

Year Built:	1957
Num Units:	119
Walk Score:	92
Transit Score:	83
Utilities:	Plus Hydro
Avg Rent/SF:	$3.10

Building Amenities:

Keyless Security | Variety Store

Unit Features:

A/C | Balcony

Unit Type	Num Units	SF	Rent	Rent/SF
1/1		692	$2,100	$3.03
1/1		722	$2,250	$3.12
1/1		688	$2,200	$3.20
2/1.5		930	$2,950	$3.17
2/1.5		879	$2,900	$3.30
2/1.5		877	$2,800	$3.19
2/2 Den		1,261	$3,700	$2.93
3/2.5		1,622	$4,600	$2.84
SF Parking			$150	
UG Parking			$175	

Old Rental Comparable #6

484 Avenue Road, Toronto, ON

Source: SVN Rock Advisors

DRAFT

-

70, 80, 90 Heath Street W
Toronto, ON

Owner:
Hollyburn Properties Ltd

Year Built:	1956
Num Units:	107
Walk Score:	79
Transit Score:	84
Utilities:	Plus Hydro
Avg Rent/SF:	$3.24

Building Amenities:

Keyless Security | Security Cameras

Unit Features:

Balcony | Dishwasher

Unit Type	Num Units	SF	Rent	Rent/SF
1/1	34	650	$2,600	$4.00
2/1		993	$2,950	$2.97
2/1	67	993	$3,100	$3.12
3/1	6	1,250	$3,600	$2.88
UG Parking			$175	

Old Rental Comparable #7

70, 80, 90 Heath Street W, Toronto, ON

Source: SVN Rock Advisors

DRAFT

Regal Tower Apartments

2 Regal Road
Toronto, ON

Owner:
DD 2 Regal Ltd

Year Built:	1956
Num Units:	105
Walk Score:	92
Transit Score:	78
Utilities:	Plus Water & Hydro
Avg Rent/SF:	$3.24

Building Amenities:

Fitness Centre | Keyless Security | Security Cameras | Storage Lockers

Unit Features:

Balcony | Dishwasher | Microwave | S/S Appliances

Unit Type	Num Units	SF	Rent	Rent/SF
0/1	30	519	$1,824	$3.51
0/1		544	$1,955	$3.59
1/1	59	725	$2,149	$2.96
2/1	15	908	$2,640	$2.91
SF Parking			$100	
UG Parking			$175	

Old Rental Comparable #8

2 Regal Road, Toronto, ON

Source: SVN Rock Advisors

DRAFT

Winoak

450 Winona Drive
York, ON

Owner:
2298097 Ontario Inc

Year Built:	1957
Num Units:	124
Walk Score:	75
Transit Score:	80
Utilities:	Inclusive
Avg Rent/SF:	$3.21

Building Amenities:

Security Cameras

Unit Features:

Balcony

Unit Type	Num Units	SF	Rent	Rent/SF
0/1	11	465	$1,800	$3.87
1/1	77	662	$2,000	$3.02
2/1	36	909	$2,500	$2.75
SF Parking			$100	

Old Rental Comparable #9

450 Winona Drive, York, ON

Source: SVN Rock Advisors

DRAFT

Panorama Towers

100 Spadina Road
Toronto, ON

Owner:
Frakam Holdings Ltd

Year Built:	1969
Num Units:	216
Walk Score:	-
Transit Score:	-
Utilities:	Plus Hydro
Avg Rent/SF:	$4.03

Building Amenities:

Fitness Centre

Unit Features:

Balcony

Unit Type	Num Units	SF	Rent	Rent/SF
0/1	129	354	$1,749	$4.94
1/1		590	$2,099	$3.56
2/1		694	$2,499	$3.60
SF Parking			$140	

Old Rental Comparable #10

100 Spadina Road, Toronto, ON

Source: SVN Rock Advisors

DRAFT

Commonwealth Towers

40 & 60 Pleasant Boulevard
Toronto, ON

Owner:
Nuspor & Nubury Group of Companies

Year Built:	1967
Num Units:	335
Walk Score:	90
Transit Score:	-
Utilities:	Plus Hydro
Avg Rent/SF:	$4.00

Building Amenities:

Fitness Centre | Keyless Security | Party Room | Security Cameras | Security Guard | Swimming Pool | Terrace

Unit Features:

A / C | Balcony | In-suite W/D | Reno'd Units

Unit Type	Num Units	SF	Rent	Rent/SF
0/1		400	$1,897	$4.74
1/1		758	$2,497	$3.29
1/1		500	$2,119	$4.24
2/1.5		937	$3,499	$3.73
UG Parking			$160	

Old Rental Comparable #11

40 & 60 Pleasant Boulevard, Toronto, ON

Source: SVN Rock Advisors

DRAFT

Brentwood Towers

25 Lascelles Boulevard
Toronto, ON

Owner:
O'Shanter Development Co Ltd

Year Built:	1958
Num Units:	235
Walk Score:	95
Transit Score:	82
Utilities:	Plus Hydro
Avg Rent/SF:	$3.07

Building Amenities:

Keyless Security | Security Cameras | Storage Lockers | Terrace

Unit Features:

Balcony

Unit Type	Num Units	SF	Rent	Rent/SF
0/1		475	$1,660	$3.49
0/1		475	$1,953	$4.11
1/1		716	$2,095	$2.93
1/1		716	$1,880	$2.63
2/1		927	$2,825	$3.05
2/1		927	$2,054	$2.22
UG Parking			$160	

Old Rental Comparable #12

25 Lascelles Boulevard, Toronto, ON

Source: SVN Rock Advisors

DRAFT

The Lansdowne

1011 Lansdowne Avenue
Toronto, ON

Owner:
1298781 Ontario Inc

Year Built:	1974
Num Units:	352
Walk Score:	81
Transit Score:	78
Utilities:	Inclusive
Avg Rent/SF:	$3.94

Building Amenities:

Keyless Security | Security Cameras

Unit Features:

-

Unit Type	Num Units	SF	Rent	Rent/SF
0/1		220	$1,350	$6.14
1/1		600	$1,500	$2.50
1/1		500	$2,000	$4.00
2/1		800	$2,500	$3.13
UG Parking			$100	

Old Rental Comparable #13

1011 Lansdowne Avenue, Toronto, ON

Source: SVN Rock Advisors

DRAFT

Keelegate Tower

2050 Keele Street
North York, ON

Owner:
GF II Keele Street Ltd

Year Built:	1960
Num Units:	187
Walk Score:	70
Transit Score:	-
Utilities:	Plus Water & Hydro
Avg Rent/SF:	$3.61

Building Amenities:

Games Room | Keyless Security | Party Room | Playground | Security Cameras | Swimming Pool

Unit Features:

Balcony | Dishwasher | Microwave | S/S Appliances

Unit Type	Num Units	SF	Rent	Rent/SF
1/1	88	568	$2,050	$3.61
1/1		643	$2,250	$3.50
1/1		568	$2,120	$3.73
2/1	75	819	$3,031	$3.70
3/1	24	918	$3,199	$3.48
SF Parking			$100	
UG Parking			$135	
Storage Lockers			$60	

Old Rental Comparable #14

2050 Keele Street, North York, ON

Source: SVN Rock Advisors

DRAFT

10.3 – Parking Comparables

The table below summarizes parking rates for comparable new and old rental buildings.

Address	UG Parking Fee	SF Parking Fee
215 Lonsdale Road, Toronto, ON	$400	-
101 St Clair Avenue W, Toronto, ON	$250	-
484 Spadina Avenue, Toronto, ON	$335	-
2 St. Thomas Street, Toronto, ON	$350	-
25 Montgomery Avenue (2388 Yonge Street), Toronto, ON	$275	-
18 Erskine Avenue, Toronto, ON	$295	$225
200 Redpath Avenue, Toronto, ON	$335	-
77 Keewatin Avenue, Toronto, ON	$175	-
730 Hillsdale Avenue E, Old Toronto, ON	$210	-
31 York Garden Way, North York, ON	$250	-
20 Monte Kwinter Court, Toronto, ON	$150	-
115 Larchmount Avenue, Old Toronto, ON	$250	-
35 Greenfield Avenue, North York, ON	$200	-
130 Parkway Forest Drive, 85 & 95 Forest Manor Road, North York, ON	$175	-
123 Parkway Forest Drive, North York, ON	$200	-

Parking Comparables: New Buildings

Source: SVN Rock Advisors

DRAFT

Address	UG Parking Fee	SF Parking Fee
14-30 Tichester Road, York, ON	$150	-
100 Raglan Avenue, York, ON	$75	-
111 Raglan Avenue, Toronto, ON	$150	-
172 Vaughan Road, Toronto, ON	-	$100
400 Walmer Road, York, ON	$200	-
484 Avenue Road, Toronto, ON	$175	$150
70, 80, 90 Heath Street W, Toronto, ON	$175	-
2 Regal Road, Toronto, ON	$175	$100
450 Winona Drive, York, ON	-	$100
100 Spadina Road, Toronto, ON	-	$140
40 & 60 Pleasant Boulevard, Toronto, ON	$160	-
25 Lascelles Boulevard, Toronto, ON	$160	-
1011 Lansdowne Avenue, Toronto, ON	$100	-
2050 Keele Street, North York, ON	$135	$100

Parking Comparables: Old Buildings

Source: SVN Rock Advisors

Based on rental comparables in the surrounding market, parking rates of $250 for underground parking appears suitable.

10.4 – New Construction Case Studies

Included below are a series of case studies of new rental apartments built within broader communities. These developments represent newly constructed purpose-built apartments across Toronto that showcase functional unit layouts and strong amenity packages.

DRAFT

LOCATION

101 St. Clair located near Yonge St only a few minutes north of the Yorkville neighbourhood. With strong local amenities and transit connections, this site offers residents easy access to Toronto's downtown with the benefits of a midtown location such as the presence of greenspace and lack of view obstructions to the south. This can be represented by a walk score of 92 and transit score of 88. The property is located to the rear of its respective lot which enables it to significantly reduce traffic and congestion related noise.

UNITS

The unit mix of this property consists of one-bedroom units, starting at 600 SF, two-bedroom units, ranging from 900-1,150 SF, and two-bedroom with den units, starting at 1,200 SF. This property promises to provide the highest level and quality of interior finishes. Some of the more common finishes are hardwood flooring available throughout the building, premium stone countertops, and accent walls. Similar to condos, residents can select their unit finishes with the most luxurious finishes offering imported German appliances built into the custom cabinetry.

AMENITIES

101 St. Clair is the market leader in terms of the scope and availability of amenities. With an entire floor dedicated to amenities, residents have a wide variety to choose from and a dedicated reception area to ensure availability. Amenities include a pool, squash courts, fitness club, spin studio, aerobics studio, change rooms, steam room, golf simulator, board room, theatres, entertainment lounge, and recording studios.

DRAFT

Primary Case Study #1

Toronto, ON | 101 St. Clair Avenue W | 101 St. Clair

Source: SVN Rock Advisors

LOCATION

Developed by The Preston Group and DBS Developments, this 20 storey building is located in 215 Lansdale Road in the Forest Hill neighbourhood of Toronto. It is located at the corner of Lansdale Road and Avenue Road where there are nearby commercial amenities and schools such as the Upper Canada College and The Bishop Strachan School.

UNITS

Units range in size from 583 SF to 1,487 SF. One bedroom units range from 583 to 755SF, two bedroom range from 1,231 to 1,341 SF, and two bedroom den range from 1,304 to 1,487 SF. Unit features include hardwood floors, quartz countertops, walk-in closets with built in organizers, automated blinds, and an in-suite washer/dryer.

AMENITIES

This building offers high-end hotel like finishes and features with a strong amenity package. Amenities include a 24 hour concierge, parcel management room, fitness centre and yoga room, chef's kitchen and private dining room, two outdoor lounges, games room, bike storage, and a spa with saunas, and smart phone applications for building access and amenity reservations.

DRAFT

Primary Case Study #2

Toronto, ON | 215 Lonsdale Road | 2-Fifteen

Source: SVN Rock Advisors

LOCATION

2 St. Thomas is located in the upscale neighbourhood of Yorkville in Toronto's downtown. This property achieves some of the highest rents in Toronto due to a combination of premium finishes, excellent local amenities, great connectivity, and its location in Yorkville. This site has a variety of amenities in proximity ranging from commercial amenities such as boutique retailers, high end brands, restaurants, museums, theatres, financial institutions, and universities. The site also benefits from being near the University subway line. This provides residents with little to no dependency on personal vehicles as the site's location has a walk score of 99 and transit score of 98.

UNITS

The unit mix of this property consists of one-bedroom units, ranging from 485-752 SF, and two-bedroom units ranging from 786-1,185 SF. This property promises condo style unit finishes and amenities with a variety of unique unit stylings. Each unit is available in a variety of finishes all including hardwood style laminate flooring, stainless steel appliances and fixtures. There are also more premium units available with high end appliances and more luxurious cabinetry. All units come with soft close cabinets and in-suite washer/ dryers.

AMENITIES



This property aims to be market leader in Toronto by ensuring a variety of high-end luxury amenities. These amenities range from 24/7 concierge, lobby lounge, fitness centre, dining room with kitchenette, and a rooftop terrace. The focus of this development is not the building amenities but are instead the local cultural and social amenities available in the surrounding neighbourhood.

DRAFT

Primary Case Study #3

Toronto, ON | 2 St. Thomas Street | 2 St. Thomas

Source: SVN Rock Advisors

11 – SECONDARY MARKET ANALYSIS

"What rents are being achieved in the non-purpose-built rental market?"

The secondary rental market encompasses all rental dwellings that are not part of the primary (purpose-built) rental apartment universe. Within the secondary rental market, condominiums for rent represent the higher end. However, in most cases, new high-end apartment rentals have the potential to achieve higher rents and returns compared to condo rentals. This is primarily because individual condo owners prioritize capital gains over yields and set prices based on their mortgage requirements rather than the market demand.

Moreover, individual condo owners often lack extensive market knowledge and lack the support of a professional marketing and leasing organization. Despite these limitations, condo-rental listings can still be valuable for market surveys due to the typically newer properties and enhanced amenities compared to the existing rental stock in the market.

Renters are increasingly recognizing the advantages of renting in purpose-built rental apartments as opposed to condominiums leased by individual owners/investors. These benefits include:

1. Security of tenure.
2. Professional property management.

11.1 – Condo-Building Comparables

A list of leased condo-building comparables is provided below:

DRAFT

Address	Building Name
1 Bedford Rd	One Bedford
10 Bellair St	No 10 Bellair
10 Price St	The James
100 Harbour St	Harbour Plaza Residences
11 Yorkville Ave	11 Yorkville
128 Pears Ave	The Perry
133 Hazelton Ave	133 Hazelton Residences
180 University Ave	Shangri-La
181 Huron St	Design Haus
183 Wellington St W	Residences of The Ritz Carlton
2 Forest Hill Rd	Forest Hill Private Residences
20 Scrivener Sq	Thornwood One
200 Cumberland St	Yorkville Private Estates
203 College St	Theory
300 Front St W	300 Front Street West
311 Bay St	The St. Regis Residences
33 Charles St E	Casa
455 Wellington St W	The Well
55 Scollard St	Four Seasons Private Residences
60 Colborne St	Sixty Colborne
80 Yorkville Ave	80 & 100 Yorkville Residences
88 Blue Jays Way	Bisha Hotel & Residences
88 Scott St	88 Scott

Condo Building Comparables

Source: SVN Rock Advisors

DRAFT

The map below shows the geographical relationship between the condo building comparables and the subject site.

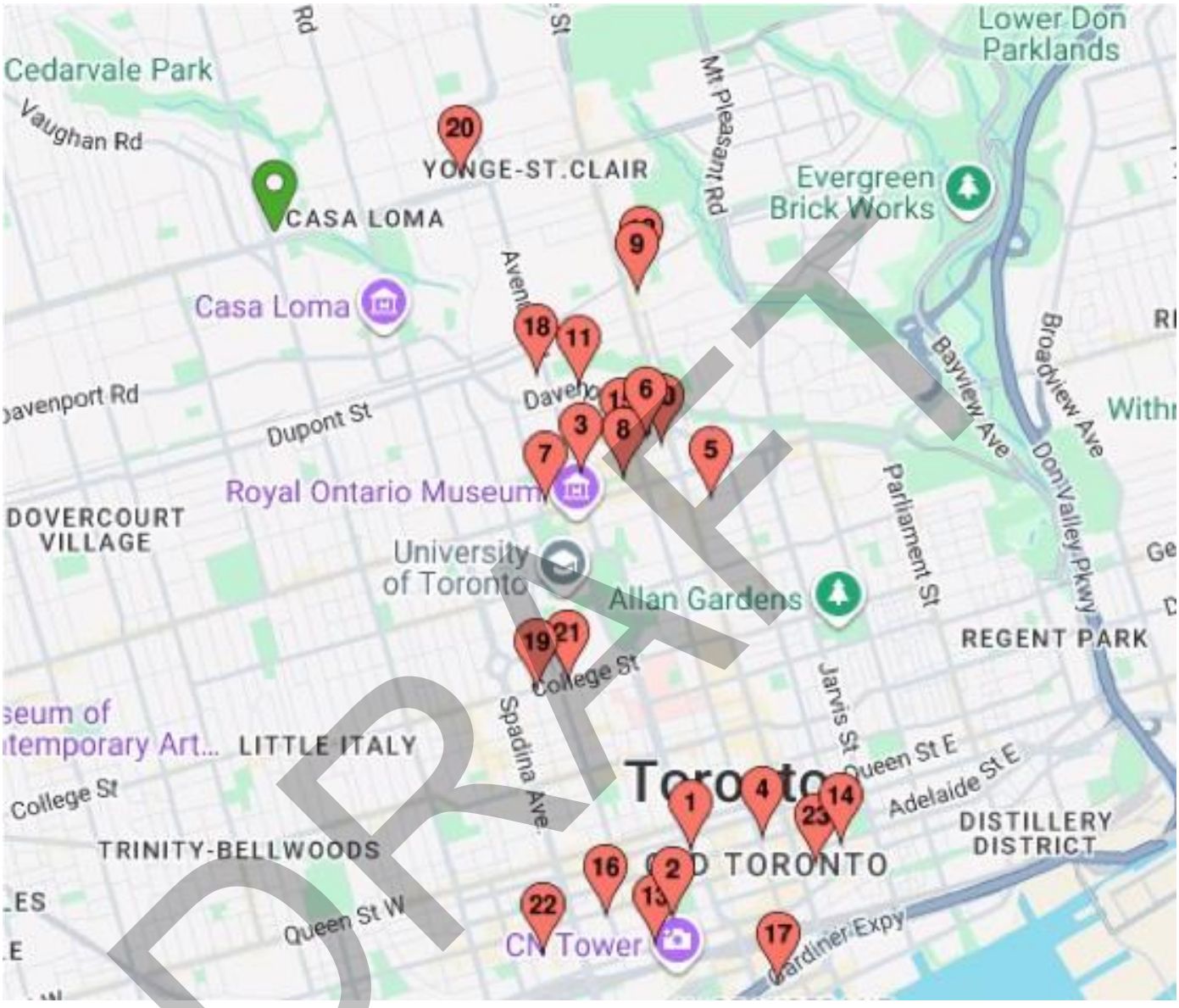

DRAFT

Condo Building Comparables Map

Source: SVN Rock Advisors w/ Google Earth (2025)

The tables below list leased condo unit data for various unit types in the condo building comparables.

Address	Date of Constr.	Units Per Bldg.	Avg. Listed Rent	Avg. Leased Rent	Avg. Approx. SF	Avg. Days On Market	Avg. Rent Per SF
180 University Ave	2012	7	$4,613	$4,629	850	32	$5.45
200 Cumberland St	2021	1	$7,500	$7,500	1,100	40	$6.82
33 Charles St E	2010	1	$3,150	$4,650	750	41	$6.20
55 Scollard St	2012	2	$5,550	$5,750	650	6	$8.85
	2014	**11**	**$5,203**	**$5,632**	**838**	**30**	**$6.83**

Leased Condo Units: 1-Bed

Source: SVN Rock Advisors

Address	Date of Constr.	Units Per Bldg.	Avg. Listed Rent	Avg. Leased Rent	Avg. Approx. SF	Avg. Days On Market	Avg. Rent Per SF
183 Wellington St W	2011	1	$14,000	$14,000	2,125	28	$6.59
311 Bay St	2012	1	$8,500	$8,000	1,500	15	$5.33
	2012	**2**	**$11,250**	**$11,000**	**1,813**	**22**	**$5.96**

Leased Condo Units: 1-Bed Plus Den

Source: SVN Rock Advisors

DRAFT

Address	Date of Constr.	Units Per Bldg.	Avg. Listed Rent	Avg. Leased Rent	Avg. Approx. SF	Avg. Days On Market	Avg. Rent Per SF
1 Bedford Rd	2011	1	$5,500	$6,000	1,100	13	$5.45
11 Yorkville Ave	2025	3	$5,067	$5,133	817	19	$6.28
133 Hazelton Ave	2015	1	$8,300	$8,000	1,300	9	$6.15
20 Scrivener Sq	2002	1	$4,500	$4,500	850	62	$5.29
300 Front St W	2013	2	$5,100	$5,200	850	28	$6.13
311 Bay St	2012	1	$8,875	$9,975	1,900	7	$5.25
55 Scollard St	2012	1	$9,300	$9,000	1,300	17	$6.92
60 Colborne St	2018	1	$6,500	$7,450	1,300	11	$5.73
80 Yorkville Ave	2010	2	$10,750	$10,000	1,600	58	$6.24
88 Blue Jays Way	2017	1	$6,950	$6,950	1,100	27	$6.32
	2014	**14**	**$7,084**	**$7,221**	**1,212**	**25**	**$5.98**

Leased Condo Units: 2-Bed

Source: SVN Rock Advisors

Address	Date of Constr.	Units Per Bldg.	Avg. Listed Rent	Avg. Leased Rent	Avg. Approx. SF	Avg. Days On Market	Avg. Rent Per SF
10 Bellair St	2003	1	$10,500	$10,000	1,900	12	$5.26
10 Price St	2025	1	$27,000	$26,350	2,375	7	$11.09
180 University Ave	2012	5	$10,400	$10,600	1,780	42	$5.93
183 Wellington St W	2011	3	$13,133	$13,300	1,942	12	$6.49
200 Cumberland St	2021	3	$10,133	$9,867	1,500	28	$6.46
	2014	**13**	**$14,233**	**$14,023**	**1,899**	**20**	**$7.05**

Leased Condo Units: 2-Bed Plus Den

Source: SVN Rock Advisors

DRAFT

Address	Date of Constr.	Units Per Bldg.	Avg. Listed Rent	Avg. Leased Rent	Avg. Approx. SF	Avg. Days On Market	Avg. Rent Per SF
100 Harbour St	2018	1	$8,500	$8,000	1,300	38	$6.15
128 Pears Ave	2018	1	$11,995	$11,000	1,900	54	$5.79
181 Huron St	2021	1	$4,800	$4,800	850	18	$5.65
2 Forest Hill Rd	2025	1	$13,000	$13,000	1,700	30	$7.65
203 College St	2021	1	$5,200	$5,000	850	24	$5.88
455 Wellington St W	2024	1	$11,000	$11,000	1,900	26	$5.79
88 Scott St	2018	1	$18,000	$16,000	2,625	89	$6.10
	2021	**7**	**$10,356**	**$9,829**	**1,589**	**40**	**$6.14**

Leased Condo Units: 3-Bed

Source: SVN Rock Advisors

The following table summarizes the key metrics for the leased condo-building comparables. Secondary market comparables were included from the subject site's surrounding neighbourhood along with the broader community around the subject site.

	Num Leased Units	Avg Leased Rent	Avg Leased SF	Avg Leased Rent/SF
1-Bed	11	$5,632	838	$6.83
1-Bed + Den	2	$11,000	1,813	$5.96
2-Bed	14	$7,221	1,212	$5.98
2-Bed + Den	13	$14,023	1,899	$7.05
3-Bed	7	$9,829	1,589	$6.14

Secondary Market Summary

Source: SVN Rock Advisors

DRAFT

12 – TARGET RESIDENT PROFILE

"Who's my target renter?"

Conventional renter profiles are outlined below, focusing on the primary types that align with the demographic characteristics of the surrounding area. These groups serve as broad concepts for target renter profiles. Based on these general recommendations, specific PRIZM5 groups that correspond to these categories are subsequently identified.

Group	Market Preferences	Likely Tenure
Luxury Renters (all age groups, high income)	Best units | Best views | Largest balconies	Multi-Year
Retirees (55+, high income)	1-Bed + Den | 2-Bed | Seeking primary residence	Multi-Year
Singles (high income 24-35, downsizers)	Bachelor | 1-Bed | 2-Bed (roommates)	Highest Turnover
Middle-Aged (no children) (mixed income)	1-Bed + Den | 2-Bed | Seeking primary residence	Multi-Year
Divorcees (middle-aged, middle income)	1-Bed + Den | 2-Bed | 2-Bed + Den	1 to 3 Years
Young Couples (no children) (mixed income 24-35)	1-Bed | 1-Bed + Den	1 to 3 Years
Young Families	2-Bed | 2-Bed + Den | 3-Bed	1 Year to Multi-Year
Students (19-24, low income)	1-Bed | 2-Bed | 3-Bed | 4-Bed (highest demand)	Highest Turnover

Propensity to Rent	**LOWEST**			**HIGHEST**

Recommended Target Renter Profiles

Source: SVN Rock Advisors

The renter profile at the subject site will be a mixed age profile of affluent households primarily being middle-aged and seniors/ empty nesters. As a result, initial leasing will be a mixed process potentially requiring a longer lease-up time. This is because middle-aged and seniors/downsizers make housing decisions whereas young professionals typically make housing decisions faster. However, this is typically mitigated by the reduced

DRAFT

turnover of older renters. Initial marketing will not only have to target these specific renter profiles but also leverage the available amenities along with the lifestyle afforded by the subject site.

This typical renter profile will also demand a higher level of amenitization and level of comfort. This is key to lifting the market position of the subject property and cementing it as a market leader.

12.1 – Detailed Demographic Profiles: Your Target Renters

The Consultant has reviewed the demographic characteristics of the neighbourhood and identified the following profiles as the ideal target renter for the proposed development, if brought to market as a purpose-built rental.

There are six distinct target renter groups identified by the Consultant and within each are individual household types. The high-level renter groups are summarized as follows:

Young Professionals	Middle Aged	Seniors/Empty Nesters
✓	✓	✓
12 - Eat, Play, Love	01 - The A-List	09 - Boomer Bliss
20 - New Asian Heights	02 - Wealthy & Wise	10 - Asian Achievement
22 - Indieville	03 - Asian Sophisticates	16 - Savvy Seniors
28 - Latte Life	06 - Downtown Verve	21 - Scenic Retirement
57 - Juggling Acts	07 - Mature & Secure	23 - Mid-City Mellow
	17 - Asian Avenues	31 - Metro Melting Pot
	18 - Multicultural Corners	44 - Un Grand Cru
	30 - South Asian Society	45 - Slow-Lane Suburbs
	32 - Diverse & Determined	
	39 - Evolution Urbaine	

Target Renter Profiles: Higher Income

Source: SVN Rock Advisors

DRAFT

Young Professionals	Middle Aged	Seniors/Empty Nesters
✗	✗	✗
40 - Les Enerjeunes	43 - Happy Medium	51 - On Their Own Again
47 - Social Networkers	55 - Enclaves Multiethniques	53 - Silver Flats
52 - Friends & Roomies	56 - Jeunes Biculturels	58 - Old Town Roads
67 - Just Getting By	59 - La Vie Simple	62 - Suburban Recliners
	60 - Value Villagers	65 - Ages & Traditionnels
	61 - Came From Away	
	64 - Midtown Movers	

Target Renter Profiles: Lower Income

Source: SVN Rock Advisors

DRAFT

13 – UNIT RECOMMENDATIONS

"What should I build?"

The Client's objective is to construct a building that not only surpasses existing properties in the area upon completion but also remains competitive for many years to come. The unit features and finishes outlined below are designed to cater to the target resident profile. These recommendations aim to establish the proposed property as a leader in the local rental market in terms of scope and quality.

There are several essential (non-negotiable) unit features that should be incorporated into any new market rental building:

1. Nine-foot ceilings
2. Two bathrooms in two-bedroom units
3. Modern finishes
4. Premium cabinetry, countertops, and appliances
5. In-suite washer and dryer

According to a recent survey conducted by multi-residential apartment owners, the top five most desirable features, in order include:

1. **In-suite washer and dryer**: Having a washer and dryer conveniently located within the unit is highly valued by renters, as it eliminates the need for shared laundry facilities and provides added convenience.

2. **Elevator access**: Easy access to upper floors through elevators is preferred by tenants, as it enhances convenience, especially for individuals with mobility challenges or heavy belongings.

3. **Designated parking and EV charging stations**: The availability of dedicated parking spaces, either in the form of individual assigned spots or a parking garage, is highly desired by tenants who own vehicles, as it provides convenience and security for their vehicles.

   Considering the growing interest in electric vehicles and the positive impact on tenant satisfaction, apartment developers and property managers are recognizing the importance of incorporating EV charging stations into their amenities and infrastructure to meet the evolving needs and preferences of tenants.

DRAFT

4. **Balcony or outdoor space:** Having a balcony or access to outdoor space is a desirable feature for many renters, as it allows for fresh air, outdoor relaxation, and the opportunity to enjoy views or create a small garden area.

5. **High-speed internet**: Reliable and high-speed internet connectivity is essential for most tenants, as it enables them to work from home, stream media, and stay connected digitally.

It's important to note that preferences may vary depending on the specific market and tenant demographics, so it's advisable to conduct local market research to gain deeper insights into the preferences of the target rental audience.

Kitchen Appliances	Refrigerator, stove, dishwasher, microwave
En-Suite Laundry	En-suite washers and dryers are essential in modern rental buildings. Machines can be either full-size, if space allows, or stacked.
Breakfast Bar	Smaller-sized units benefit especially from the space-saving qualities of breakfast bars, but all unit types are helped to achieved more efficient layouts.
Sliding Doors on Dens	Dens will sometimes be used as extra bedrooms by residents and/or home offices so sliding doors make these extra spaces more useful and attractive to renters. Obviously, in units where dens are no larger than nooks, doors do not make sense.
Window Coverings	Make sure to provide blinds since residents will be left to their own devices and the outside appearance of the subject property will inevitably suffer when a few residents use flags or brightly coloured sheets as makeshift window covering.
Suite Alarms	Alarms are an attractive feature in luxury rentals.
Technology Connectivity	Connections in each room for electronics, computers, etc., since today's affluent renters own every electronic device imaginable.

Recommended Unit Features

Source: SVN Rock Advisors

Units need to have durable finishes that can withstand the higher turnover rate that is associated with renters. Therefore, unit finishes should be the best possible, but it is beyond the scope of this report to recommend specific finishes. Finishes in common areas and units should be like high-end condo units but using materials as indestructible as possible for longevity and turnover maintenance.

DRAFT

"Do I need finishes on par with a condo building?"

There is a tendency for many developers to significantly downgrade finishes in rentals compared to condos. This would be a mistake since at the upper end of the rental market most renters could easily afford a condominium or house and are not keen on settling for less, so to speak. Increasingly, many renters are former homeowners who are seeking to downsize from their 4-bedroom detached house to a 2-bed or 2-bed plus den rental apartment unit, but still want to live in quality housing which reflects their current lifestyle and will serve as their primary residence for years to come. Going cheap on finishes might improve the project's construction budget, but it means coming to market with a B game instead of an A game.

Apartments	• Neutral off-white latex painted suites • Balconies and terrace area(s) and private patio(s) with exterior electrical receptacle • All suites are high-speed internet ready for multiple service providers • Pre-wired cable outlet in living room, bedroom(s), den, and media area • Designer window coverings in all suites • Premium porcelain floor and wall tiles in all bathrooms • Stacked white high efficiency front-loading washer and dryer • Hardwood style laminate flooring throughout • Mirrored sliding closets in all suites • Brushed metal door hardware
Kitchens	• In-suite stainless steel appliances • Designer kitchen cabinetry with brushed metal hardware • Quartz countertop with ceramic backsplash • Large kitchen island for extra storage and eat-in breakfast bar • Polished chrome kitchen faucet • Soft-close cabinets and drawers
Bathrooms	• Designer vanity cabinetry with brushed metal hardware • White cultured marble vanity top • Vanity-width shelf framed mirror • Polished chrome faucets in all bathrooms and powder rooms • Designer porcelain tiles in tub and shower enclosure • Chrome finished bathroom accessories • Dual flush, energy-efficient, low-flow, high-performance toilet(s)

Sample Unit Finishes

Source: SVN Rock Advisors

DRAFT

14 – AMENITY RECOMMENDATIONS

"How much amenity space should I include? How do I program it to drive rents?"

Canadian apartment buildings, compared to luxury rentals in the United States, are generally considered to be "under-amenitized". As identified in the preceding market analysis, even the newest and best rental properties in the subject city lack extensive amenities, creating an opportunity to enter the market with superior amenities and establish market leadership. Incorporating carefully selected amenities with low capital costs will enhance the appeal of the subject property to renters and justify higher rental rates. Typically, amenity space in new apartment buildings ranges from 10 to 30 square feet per unit. However, to fully grasp the impact of amenities and implement them effectively, it is recommended that the Client tours upscale rental buildings in both the United States and Canada.

Certain amenities have a greater influence on marketability and rental rates in new buildings compared to others. The 2024 *Renter Preferences Survey Report* conducted by the National Multifamily Housing Council (NMHC), identified the top amenity features as:

1. In-unit washer/dryer
2. High-speed internet and WI-FI access
3. Soundproof walls
4. Noise-reducing window panes
5. Fitness centre or gym
6. Walk-in closets
7. Communal areas such as lounges and game rooms
8. Dog Park and Pet grooming station
9. On-site management
10. Storage spaces
11. Business Centre

By providing services alongside amenities, a new rental building can differentiate itself from the competition and meet the expectations of upscale and affluent renters. Including the widest possible range of building amenities is recommended in keeping with the proposed renter profile for the subject property: upmarket rentals at the top of the local rental market.

The initial step is to assess the list of amenities offered by local benchmark rental buildings and identify any gaps. By adding amenities that are lacking, the subject property can surpass the competition. However, the key to success lies in executing amenities in a creative, thoughtful, and visually appealing manner that captivates prospects, visitors and residents, creating a "wow" factor.

DRAFT

14.1 – Typical Amenity Requirements by Target Renter Group

Earlier in this report, the target renter profiles for the proposed development were identified – by selecting PRIZM5 demographic segments. Each target renter group will typically look for a specific bundle of amenities. These are described at a high-level below and used as a basis for specific recommendations in the subsequent section.

Group	Attend	Participate	Amenity Implications
Young Professionals	Baseball, City Parks/Gardens, Concerts & Festivals, Food/Wine Shows, Football, Hockey, Home/Craft Shows, Movie Theatres, Sporting Events, Theme Parks	Arts/Crafts, Baseball, Basketball, Billiards, Curling, Fitness Walks, Golf, Health Club Activities, Home Exercise, Photography, Skiing	• pool table in lounge • arts & crafts room • if space, separate multi-purpose exercise room • ample resident storage • fitness centre with scheduled fitness classes
Middle Aged	Auto Shows, Baseball, City Parks/Gardens, Concerts & Festivals, Hockey, Home/Craft Shows, Sporting Events	Basketball, Curling, Fitness Classes, Fitness Walks, Gardening, Racquetball, Skiing, Volunteer Work	• auto shows and sports channels as standard in lounge • arts & crafts room • if space, separate multi-purpose exercise room • outdoor garden/balcony amenity space • ample resident storage
Seniors/Empty Nesters	Auto Shows, Baseball, Carnivals, Concerts & Festivals, Food/Wine Shows, Hockey, Home/Craft Shows, Movie Theatres, Night Clubs	Arts/Crafts, Baseball, Basketball, Billiards, Curling, Fishing/Hunting, Fitness Classes, Golf, Health Club Activities, Home Exercise, Skiing, Soccer	• auto shows and sports channels as standard in lounge • pool table in lounge • arts & crafts room • ample resident storage • fitness centre with scheduled fitness classes

Amenity Requirements by Target Renter Profile: Higher Income

Source: SVN Rock Advisors w/ Environics (2025)

DRAFT

Group	Attend	Participate	Amenity Implications
Young Professionals	Auto Shows, Baseball, Concerts & Festivals, Food/Wine Shows, Historical Sites, Home/Craft Shows, Night Clubs, Sporting Events	Arts/Crafts, Baseball, Basketball, Bowling, Cycling, Fishing/Hunting, Fitness Classes, Home Exercise, Skiing, Soccer, Swimming	• auto shows and sports channels as standard in lounge • ample resident storage • arts & crafts room • fitness centre with scheduled fitness classes
Middle Aged	Auto Shows, Baseball, Concerts & Festivals, Food/Wine Shows, Hockey, Home/Craft Shows, Movie Theatres, Sporting Events, Zoos/Aquariums	Arts/Crafts, Baseball, Basketball, Camping, Fishing/Hunting, Fitness Walks, Home Exercise, Skiing, Soccer	• auto shows and sports channels as standard in lounge • arts & crafts room • if space, separate multi-purpose exercise room • fitness centre with scheduled fitness classes • ample resident storage
Seniors/Empty Nesters	Auto Shows, Carnivals, City Parks/Gardens, Concerts & Festivals, Food/Wine Shows, Historical Sites, Home/Craft Shows, Museums, Provincial/National Parks, Sporting Events	Arts/Crafts, Baseball, Basketball, Billiards, Curling, Fishing/Hunting, Fitness Classes, Golf, Health Club Activities, Home Exercise, Skiing, Soccer	• auto shows and sports channels as standard in lounge • pool table in lounge • arts & crafts room • ample resident storage • fitness centre with scheduled fitness classes

Amenity Requirements by Target Renter Profile: Lower Income

Source: SVN Rock Advisors w/ Environics (2025)

14.2 – Specific Amenity Recommendations

The Consultant recommends allocating a total of 22,372 square feet of amenity space within the proposed development. This figure represents the combined amenity area for both the rental and condominium components of the project. When distributed across the full unit count of 1,229 units (including 372 rental and 857 condominium units), this equates to approximately 18.2 square feet of amenity space per unit. While SVN typically recommends between 20 and 30 square feet of indoor amenity space per unit for new developments, the scale of this project warrants a slightly lower per-unit allocation. Given the size and density of the proposed development, approximately 18 square feet per unit is considered appropriate and sufficient to meet resident expectations while maintaining efficient use of space.

DRAFT

The SVN recommended breakdown of this amenity space is as follows:

SVN Recommended Indoor Amenities		
Floor	**Amenity Type**	**Approx. Size (SF)**
Ground	Lobby/ Cafè/ Bar	1,000
Ground	Pet Grooming Station	175
Ground	Party Room	2,124
Ground	Childcare	5,711
2 & 4	Games Rooms	1,211
4	Fitness Centre	4,000
4	Yoga/ Spin Studio	1,473
5	Theatre	722
6	Co-Working Station	1,800
6	Lounge	1,012
6	Health/ Wellness Clinic	394
6	Multi-Purpose	491
6	Kid Zone	1,457
9	Dining/ Kitchen	802
Total Amenity SF		**22,372**
Indoor Amenity SF/ Unit (1,229 Units)		**18.2**

DRAFT

Amenity	SF	Need?	Description
Lobby/Café/Bar	1,000	Need	The Client's proposed property should feature a lobby with an integrated café /bar component, creating a welcoming and vibrant first impression. The space should include comfortable seating, warm lighting, and a modern design that reflects the upscale nature of the development. The café/bar should offer light refreshments, coffee, and beverages, and serve as a casual meeting spot for residents and guests. Wi-Fi access and charging stations should be available to encourage use throughout the day.
Pet Grooming Room	175	Nice to Have	Most new rental buildings have large pet populations, particularly dogs, which can have a negative impact on the property if not managed. Rather than attempting to discourage renters with pets, we recommend preparing for pets and embracing them in creative ways. Consider dedicating one or two floors as "dog floors" to keep disruptive pets contained as much as possible. A pet grooming room should be located on the ground floor with a separate entrance to allow owners to wash muddy paws before entering the corridors/elevators.
Party Room	2,124	Need	The Client's proposed property should include a party room with a kitchenette, and tables and chairs for residents to hold events. The ambiance should be modern, high-end, but inviting. This space could be connected to a lounge with couches to make it multi-use. The party room should have Wi-Fi service, and a large television.
Childcare	5,711	Nice to Have	The Client's proposed property should include a dedicated childcare space designed to support families with young children. The area should feature secure access, soft flooring, age-appropriate toys, and activity stations. A small kitchenette and washroom should be included for convenience. The ambiance should be cheerful and safe, with natural light and calming colors.
Games Room	1,211	Nice to Have	In larger buildings with a larger space budget for amenities, a games room can be a 'nice to have'. Typical furnishings include a billiard table and a cards table. However, in buildings targeting a younger demographic SVN has seen arcade games and video game consoles included.

DRAFT

Fitness Centre	4,000	Need	Fitness centres should be full-service gyms, not just a room with a few exercise machines, so residents who do not want to travel to an outside gym don't need to. The client could program a fitness instructor once or twice per week as an extra feature if demand is high enough.
Yoga/ Spin Studio	1,473	Nice to Have	The Client's proposed property should include a dedicated yoga and spin room designed to support wellness and active living. The space should feature mirrored walls, soft lighting, and high-quality flooring suitable for both yoga and cycling. Spin bikes should be arranged to face a large screen for virtual classes, while open space should be reserved for yoga mats and stretching. The ambiance should be calming yet energizing, with built-in speakers, Wi-Fi, and climate control to enhance the experience.
Theatre	722	Nice to Have	The space should feature tiered seating with plush chairs, a large high-definition screen, surround sound, and dimmable lighting to create a true cinematic experience. The ambiance should be cozy yet upscale, with acoustic treatments and Wi-Fi access to support streaming services and presentations.
Co-Working Station	1,800	Nice to Have	This space should feature individual work pods, communal tables, and ergonomic seating. High-speed Wi-Fi, ample charging outlets, and soundproof booths should be provided to enhance productivity. The design should be sleek and professional, with warm lighting and greenery to create a comfortable atmosphere. A coffee and tea station nearby would add convenience and encourage longer use.
Lounge	1,012	Need	This space should feature comfortable seating such as armchairs and couches, with soft lighting and tasteful décor. It can serve as a casual meeting spot or a quiet retreat, ideally located near the lobby or co-working station. The lounge should include Wi-Fi access, a coffee table, and a bookshelf or magazine rack. A fireplace or feature wall could add warmth and visual interest to the space.
Health/ Wellness Clinic	394	Nice to have	This space could offer services such as physiotherapy, massage therapy, and mental health consultations. The clinic could support virtual health consultations through partnerships with providers like Cleveland Clinic, offering residents access to remote medical advice and treatment. The design should be calming and private, with natural light, treatment rooms, and a welcoming reception area.

DRAFT

Multi-Purpose	491	Nice to Have	This room could be used for workshops, yoga classes, book clubs, or community meetings. It should feature flexible furniture such as stackable chairs and foldable tables, along with built-in storage for equipment. A neutral design with durable finishes will allow the space to suit different functions. Wi-Fi access, a wall-mounted screen, and dimmable lighting should be included to support both casual and structured uses.
Kid-Zone	1,457	Nice to Have	This area should feature age-appropriate play equipment such as soft mats, climbing structures, and interactive wall panels. Bright colors, natural light, and durable finishes will help create a cheerful and secure environment. Seating for parents or caregivers should be included, along with nearby washroom access. The space should be enclosed and monitored, ideally located near other family-oriented amenities.
Dining/ Kitchen	802	Nice to Have	The Client's proposed property should include a shared dining and kitchen space for residents to host meals and gatherings. The kitchen should be equipped with modern appliances, including a stove, oven, refrigerator, and dishwasher, along with ample counter space and cabinetry. The dining area should feature a large communal table and flexible seating. The design should be warm and contemporary, with durable finishes and ambient lighting. This space could also support cooking classes or private bookings for special occasions.

Recommended Amenities

Source: SVN Rock Advisors

14.3 – Resident Services

The following table lists recommended services to be featured as part of the development:

DRAFT

Fitness Classes	Fitness, aerobics, and yoga classes with a trainer would be an excellent addition to fitness facilities.
Active Living / Community Activities	Community organized outdoor activities would be an excellent addition. Like an active living community, this would organize the residents into groups that would take part in outdoor excursions such as biking, trail walking, hiking, and even some winter activities on a ski hill.
Dry Cleaning Service	Arrange with a local dry-cleaning company to offer a door-to-door dry cleaning service with perhaps a drop-off kiosk in the building.
Wi-Fi	Offer free wi-fi internet connectivity in all common areas, such as the lobby, lounges, BBQ patio, fitness areas, etc.
Security	Renters will value creating a strong perception of security. Multiple security cameras should be installed in common areas, elevators, and parking areas. Keyless fob security access can be matched with cameras in the event of a security problem and allow staff to program customized access to various parts of the property. We recommend looking to the hotel industry for a sense of the future of security in rental apartment buildings.

Sample Resident Services

Source: SVN Rock Advisors

AMENITY COMPARISON CHART											
Comparable Properties	GYM/ FITNESS	YOGA STUDIO	SPIN ROOM	LOUNGE	GAME ROOM	PARTY ROOM	THEATRE	POOL/HOT TUB	BUSINESS/CO-WORKING	DINING/ KITCHEN	MULTI PURPOSE
Subject Site	✓	✓		✓	✓	✓			✓	✓	✓
The Parker	✓	✓	✓	✓	✓			✓		✓	✓
One 0 One	✓	✓	✓	✓	✓	✓	✓	✓	✓		✓
Two St. Thomas	✓	✓		✓		✓					
2Fifteen	✓	✓		✓	✓	✓		✓		✓	
The Stacks at Bayview	✓					✓			✓	✓	
Waverley	✓	✓	✓	✓	✓	✓	✓	✓	✓		✓
Sloane	✓	✓		✓	✓	✓	✓	✓	✓	✓	
VIA 123	✓			✓		✓					
Tippett Park	✓			✓	✓						
The Montgomery	✓	✓		✓		✓	✓	✓		✓	
E18HTEEN	✓	✓		✓		✓		✓	✓		
Pivot	✓	✓		✓	✓	✓					

DRAFT

AMENITY COMPARISON CHART CONTINUED											
Comparable Properties	KIDS FACILITIES	PET FRIENDLY AMENITIES	BBQ AREA	CONCIERGE	HEALTH CARE	BOWLING	SPA/ WELLNESS	MUSIC ROOM	CAFÉ BAR	GOLF SIM	BASKETBALL COURT
Subject Site		✓	✓	✓							
The Parker	✓	✓	✓	✓	✓	✓			✓		
One 0 One			✓	✓				✓		✓	
Two St. Thomas			✓	✓					✓		
2Fifteen			✓	✓							
The Stacks at Bayview			✓	✓							
Waverley		✓	✓	✓	✓			✓	✓		
Sloane	✓	✓	✓	✓	✓	✓	✓	✓	✓	✓	✓
VIA 123	✓		✓	✓					✓		
Tippett Park			✓	✓							
The Montgomery		✓	✓	✓							
E18HTEEN	✓	✓	✓	✓							
Pivot				✓							

Amenity Comparison Charts

Source: SVN Rock Advisors

DRAFT

15 – UNIT SIZING AND MIX

"What's the optimal unit sizing and mix to build for my target renter?"

In light of the market analysis and the identified target resident profile, SVN has formulated the following recommended development program for the subject property, encompassing unit sizing and mix.

SVN Recommended Unit Mix: Total Development w/ Affordable				
Unit Type	**Avg. Unit Size**	**Unit Count**	**Unit Mix**	**Total SF**
Studio	420	15	4.0%	6,304
1 Bed	599	88	23.7%	52,740
1 Bed (A)	450	11	3.0%	4,950
1 Bed + Den	675	88	23.7%	59,400
2 Bed	800	65	17.5%	52,000
2 Bed (A)	625	12	3.2%	7,500
2 Bed + Den	875	43	11.6%	37,625
3 Bed	1000	47	12.6%	47,000
3 Bed (A)	925	3	0.8%	2,775
Total/Avg.:	**727**	**372**	**100%**	**270,294**

Recommended Unit Sizing and Mix

Source: SVN Rock Advisors

The development will offer a diverse range of unit types, from 420 SF studio units to 1,000 SF three-bedroom units, with an overall average size of 727 SF. This mix is designed to attract a broad spectrum of resident profiles that are well-represented in the surrounding community. Notably, the distribution is relatively balanced between smaller units (studios, one-bedrooms, and one-bedroom plus den) and larger units (two-bedrooms and up), with a higher proportion of larger units than typically seen in Toronto rental projects. SVN recommends this approach given the strong presence of middle-aged residents and empty nesters in nearby neighbourhoods. These are households who are accustomed to household types such as single-family homes and tend to seek additional space for guests, storage, or home offices. At the same time, the site may appeal to young professionals, many of whom are increasingly opting for roommate arrangements to manage housing costs. Units marked with an (A) designation are affordable units, as disclosed by the Client, with corresponding rental rates outlined in Section 17.

DRAFT

16 – PARKING AND STORAGE RECOMMENDATIONS

"How much parking and storage should I build? How much can I charge?"

16.1 – Parking Space Quantity

Projects that offer an adequate allocation of car parking tend to be favoured by both renters and lenders. While a ratio of one parking space per unit is generally considered appropriate, this can be adjusted based on factors such as the proportion of larger units or the project's location. In more suburban settings, or where larger units are prevalent, a higher parking ratio may be warranted. Conversely, developments with strong access to public transit may justify a lower ratio. Regardless, it is essential to meet the minimum parking requirements outlined in local zoning regulations.

During the initial lease-up phase, parking demand should be closely monitored, as spaces may fill quickly. The Client is advised to reserve a sufficient number of stalls for prospective tenants visiting the leasing office and to enforce visitor parking regulations to prevent misuse by residents. Effective parking management will help maintain availability and contribute to a positive resident and visitor experience.

Although Toronto does not mandate minimum parking requirements by bylaw, SVN recognizes that the upscale nature of the proposed development will generate a level of parking demand. The site benefits from direct access to the St. Clair West subway station, offering residents convenient transit options across the city. The Client has proposed a total of 517 parking stalls across four levels of underground parking, shared between the condominium and rental components. SVN applies differentiated parking ratios by unit type, reflecting varying demand. For example, a three-bedroom unit typically requires more parking than a studio. Based on these ratios, SVN recommends allocating 177 parking stalls to the rental portion of the development. Affordable units, designated with an (A), are not assigned parking in this recommendation.

A shortage of parking, particularly in a development commanding top-of-market rents, can deter prospective tenants. Striking the right balance between minimizing construction costs and meeting parking demand is critical to attracting the target renter profile.

DRAFT

SVN Recommended Parking Ratios – Conventional Units Only			
Unit Type	**Unit Count**	**Parking Ratio**	**# of Stalls**
Studio	15	0	0
1 Bed	88	0.2	18
1 Bed + Den	88	0.2	18
2 Bed	65	0.5	33
2 Bed + Den	43	1	43
3 Bed	47	1	47
Visitor Parking	346	0.05	19
Rental Parking Allocation			**177**
Rental Parking Ratio			**0.51**

Recommended Parking Allocation

Source: SVN Rock Advisors

16.2 – Parking Charges

The price of car parking frequently corresponds with the rental rates being achieved at a given property, and new higher-end buildings often charge the highest car parking rates.

Based on the rental market survey of comparable properties, as well as the location of the subject site, a monthly fee of $250 for underground parking is recommended.

16.3 – Storage Locker Quantity and Charges

Storage locker uptake varies across markets and target renter groups. In urban areas with smaller units, uptake may surpass that of suburban markets. Yet, top-tier luxury renters, regardless of location, typically seek access to storage lockers due to downsizing from single-family homes to rental apartments.

Because of the recommended target resident profile, and unit mix and sizing, it is recommended that the Client provide 186 storage lockers (0.5 lockers per unit), at an estimated monthly cost of $100.

DRAFT

17 – RECOMMENDED RENTS

"How much can I charge in rents?"

Determining achievable rents for proposed rental buildings is challenging as the building does not yet exist, making direct comparisons with existing rentals or condominiums impractical. Accurately predicting pricing trends is unreliable. Therefore, setting potential rents necessitates a deep understanding of the market and the ability to gauge realistic, acceptable and absorptive rent levels.

Establishing appropriate rent levels is crucial for the success of any new apartment development. While expenses are influenced by various factors such as building size and quality, developers have control over rent setting. It is advantageous to set rents at the highest level that the market can support, to maximize new operating income (NOI). Increasing the rents by $100 per unit, for instance, positively impacts NOI as operating expenses remain consistent. For example, each $100 rent increase translates to a $24,000 value increase based on a 5% capitalization rate. Thus, setting rents optimally plays a vital role in maximizing the value and profitability of the apartment building.

$$\frac{\text{Net Operating Income}}{\text{Capitalization Rate}} = \textbf{Purchase Price}$$

$$\frac{\$100 \text{ Rent} \times 12 \text{ Months}}{5\% \text{ Capitalization Rate}} = \textbf{\$24,000 in Value}$$

How Rent Affects Value

Source: SVN Rock Advisors

It is important to understand that errors in setting rents will be amplified when a building is valued at a given capitalization rate, and it is therefore in the best interest of a developer to achieve the highest possible rents in a new rental apartment building right from the start.

Four variables typically affect rent setting:

1. Location.
2. Unit features and finishes.
3. Amenities.
4. Service offering.

DRAFT

Of these variables, normally only the location of the subject property can be assessed with a degree of confidence because unit features, finishes and building amenities are usually unknown factors; this makes identifying potential achievable rents a challenge.

If the subject property were developed as the market leading rental apartment building—which would be achieved if units are well-designed and efficient, finishes are top-of-the-line, the overall design is modern, amenities are impressive and being the only property of its type in the market—then market-leading rents could be achieved.

SVN Rock Advisors projected rental rates for the Client's proposed development are summarized in the following table. The affordable unit rental rates were outlined by the Client and are equal to the latest CMHC average rent by unit type for Toronto.

SVN Recommended Unit Mix & Rents - Total Development w/ Affordable Units							
Unit Type	**Unit Size (SF)**	**Unit Count**	**Unit Mix**	**Monthly Rent**	**Rent/SF**	**Total SF**	**Total Rent**
Studio	420	15	4%	$2,675	$6.37	6,304	$40,125
1 Bed	599	88	24%	$3,350	$5.59	52,740	$294,800
1 Bed (A)	450	11	3%	$1,715	$3.81	4,950	$18,865
1 Bed + Den	675	88	24%	$3,650	$5.41	59,400	$321,200
2 Bed	800	65	17%	$4,150	$5.19	52,000	$269,750
2 Bed (A)	625	12	3%	$1,985	$3.18	7,500	$23,820
2 Bed + Den	875	43	12%	$4,450	$5.09	37,625	$191,350
3 Bed	1000	47	13%	$5,200	$5.20	47,000	$244,400
3 Bed (A)	925	3	1%	$2,268	$2.45	2,775	$6,804
TOTAL/AVG.:	**727**	**372**	**100%**	**$3,793**	**$5.22**	**270,294**	**$1,411,114**

Proposed Market Units

Source: SVN Rock Advisors

The projected rental rates for the subject site are charted relative to existing new rental comparables, below. Also included is rationale for the projected rental rates.

DRAFT

Rent Rationale – Studio Units

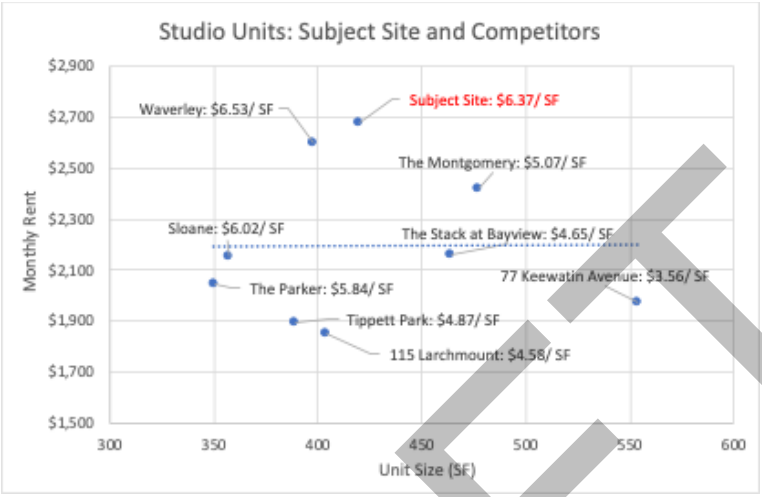

Studio Unit Comparables				
Year Built	**Property**	**Unit Size**	**Monthly Rent**	**Rent/SF**
2021	Waverley	398	$2,600	$6.53
	Subject Site	420	$2,675	$6.37
2025	Sloane	357	$2,150	$6.02
2022	The Parker	350	$2,045	$5.84
2017	The Montgomery	477	$2,419	$5.07
2020	Tippett Park	389	$1,895	$4.87
2022	The Stack at Bayview	464	$2,158	$4.65
2024	115 Larchmount	404	$1,850	$4.58
2017	77 Keewatin Avenue	554	$1,975	$3.56
Average:		**424**	**$2,196**	**$5.28**

Rent Rationale Chart & Table: Studio Units

Source: SVN Rock Advisors

The recommended rent of $2,675 for the 420 SF studio unit at the subject site reflects a rent per SF of $6.37, which is well-supported by market comparables. Across the group of comparable properties, the average studio unit size is 424 SF with an average monthly rent of $2,196 and an average Rent/SF of $5.28. The subject site's premium positioning is evident when compared to properties such as *The Waverley*, which achieves $6.53/SF for a slightly smaller unit, and Sloane, which rents at $6.02/SF. These properties represent newer, high-quality offerings, yet the subject site is expected to exceed them in terms of finishes, amenity package, and overall service offering. Its location directly adjacent to the St. Clair West subway station further enhances its appeal, supporting the proposed rent level for this unit type.

DRAFT

Rent Rationale – 1-Bedroom Units

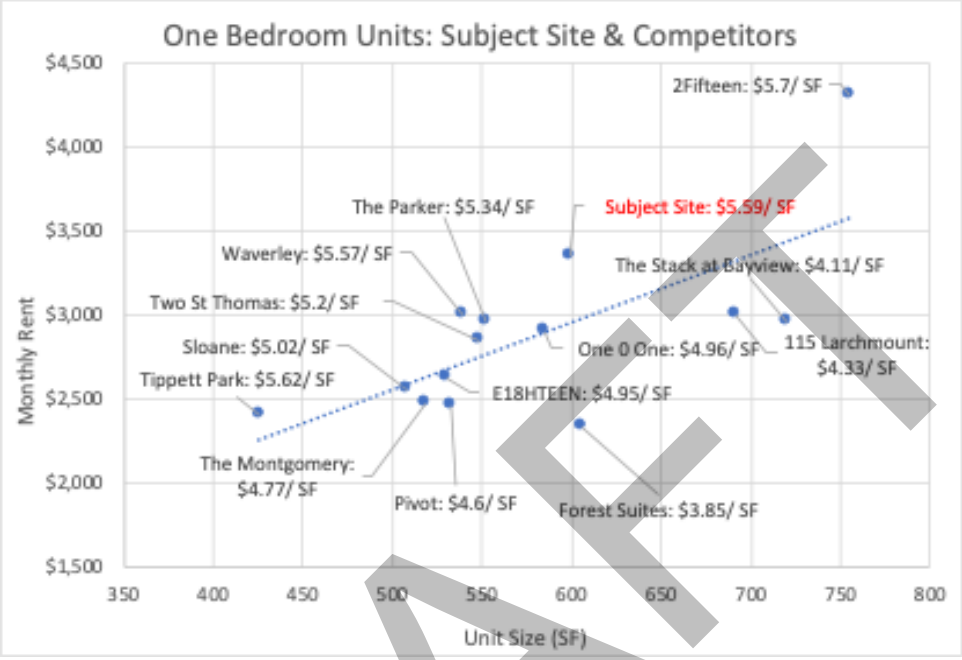

One Bedroom Unit Comparables				
Year Built	**Property**	**Unit Size**	**Monthly Rent**	**Rent/SF**
2022	2Fifteen	755	$4,300	$5.70
2020	Tippett Park	426	$2,395	$5.62
	Subject Site	599	$3,350	$5.59
2021	Waverley	539	$3,000	$5.57
2022	The Parker	552	$2,950	$5.34
2017	Two St Thomas	548	$2,850	$5.20
2025	Sloane	508	$2,550	$5.02
2017	One 0 One	585	$2,900	$4.96
2020	E18HTEEN	530	$2,625	$4.95
2017	The Montgomery	519	$2,476	$4.77
2020	Pivot	533	$2,453	$4.60
2024	115 Larchmount	692	$2,995	$4.33
2022	The Stack at Bayview	720	$2,960	$4.11
2013	Forest Suites	605	$2,330	$3.85
Average:		**579**	**$2,867**	**$4.97**

Rent Rationale Chart & Table: 1-Bed Units

Source: SVN Rock Advisors

DRAFT

The recommended rent of $3,350 for the 599 SF one-bedroom unit at the subject site reflects a rent per SF of $5.59, which is well-supported by market comparables. Across the group of comparable properties, the average one-bedroom unit size is 579 SF with an average monthly rent of $2,867 and an average rent per SF of $4.97. The subject site's positioning is reinforced by properties such as *2Fifteen*, which achieves $5.70/SF for a larger unit, and *Tippett Park*, which rents at $5.62/SF for a smaller unit. These buildings represent newer, high-quality offerings, yet the subject site is expected to surpass them in terms of finishes, amenity package, and overall service offering. Its location adjacent to the St. Clair West subway station further supports the proposed rent level for this unit type.

Rent Rationale – 1-Bedroom + Den Units

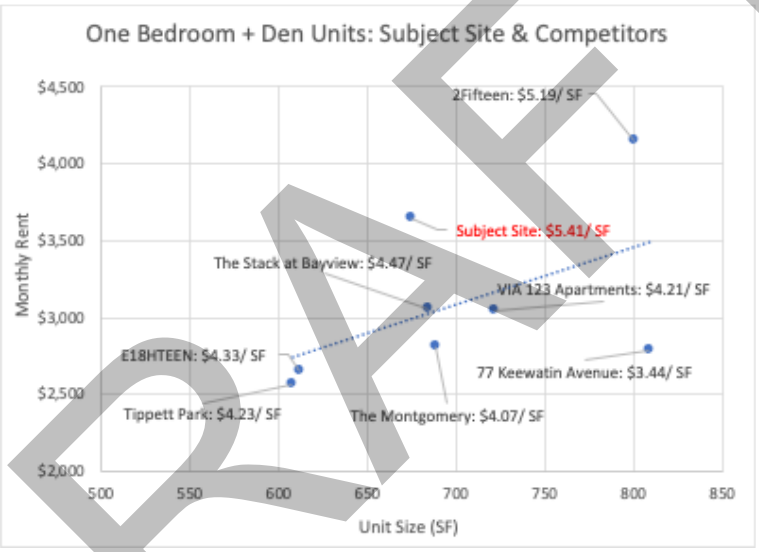

One Bedroom + Den Unit Comparables				
Year Built	**Property**	**Unit Size**	**Monthly Rent**	**Rent/SF**
	Subject Site	675	$3,650	$5.41
2022	2Fifteen	800	$4,150	$5.19
2022	The Stack at Bayview	684	$3,060	$4.47
2020	E18HTEEN	612	$2,650	$4.33
2020	Tippett Park	608	$2,569	$4.23
2017	VIA 123 Apartments	722	$3,040	$4.21
2017	The Montgomery	689	$2,805	$4.07
2017	77 Keewatin Avenue	809	$2,785	$3.44
Average:		**700**	**$3,089**	**$4.42**

Rent Rationale Chart & Table: 1-Bed + Den Units

Source: SVN Rock Advisors

DRAFT

The recommended rent of $3,650 for the 675 SF one-bedroom + den unit at the subject site reflects a rent per SF of $5.41, positioning it well above the market average of $4.42/SF. This premium is supported by the unit's added functionality, offering flexible space that can serve as a home office, guest area, or additional storage. features increasingly valued by today's renter. Among comparables, *2Fifteen* achieves $5.19/SF for a larger unit, while *The Stack at Bayview* rents at $4.47/SF for a similar size. These buildings offer strong finishes and locations, yet the subject site is expected to outperform them in terms of design, amenity offering, and proximity to transit. The inclusion of a den enhances livability, particularly for professionals and downsizers seeking versatility without sacrificing location or quality.

Rent Rationale – 2-Bedroom Units



DRAFT

Two Bedroom Unit Comparables				
Year Built	**Property**	**Unit Size**	**Monthly Rent**	**Rent/SF**
2017	One 0 One	859	$4,650	$5.41
	Subject Site	800	$4,150	$5.19
2020	Tippett Park	665	$3,223	$4.85
2022	The Parker	784	$3,650	$4.66
2020	E18HTEEN	709	$3,295	$4.65
2022	2Fifteen	1,341	$6,182	$4.61
2021	Waverley	1,086	$4,975	$4.58
2025	Sloane	721	$3,275	$4.54
2022	The Stack at Bayview	720	$3,220	$4.47
2024	115 Larchmount	853	$3,600	$4.22
2017	The Montgomery	963	$4,063	$4.22
2017	Two St Thomas	1,090	$4,579	$4.20
2020	Pivot	920	$3,425	$3.72
2017	VIA 123 Apartments	840	$3,021	$3.60
2017	77 Keewatin Avenue	1,030	$3,465	$3.36
2013	Forest Suites	878	$2,385	$2.72
Average:		**891**	**$3,822**	**$4.31**

Rent Rationale Chart & Table: 2-Bed Units

Source: SVN Rock Advisors

The recommended rent of $4,150 for the 800 SF two-bedroom unit at the subject site reflects a rent per SF of $5.19, placing it well above the market average of $4.31/SF. This premium is supported by the unit's appeal to households seeking more space for shared living, families, or work-from-home flexibility. Properties such as *One 0 One* achieve $5.41/SF for a larger unit, while *The Parker* rents at $4.66/SF for a slightly smaller footprint. These comparables reflect strong offerings, yet the subject site is expected to outperform them in terms of finishes, amenity depth, and overall service experience. The two-bedroom format is particularly well-suited to the local demographic, which includes middle-aged renters and empty nesters accustomed to larger living spaces. Combined with the site's direct access to the St. Clair West subway station, the proposed rent is well-positioned within the upper tier of the market.

DRAFT

Rent Rationale – 2-Bedroom + Den & 3-Bedroom Units

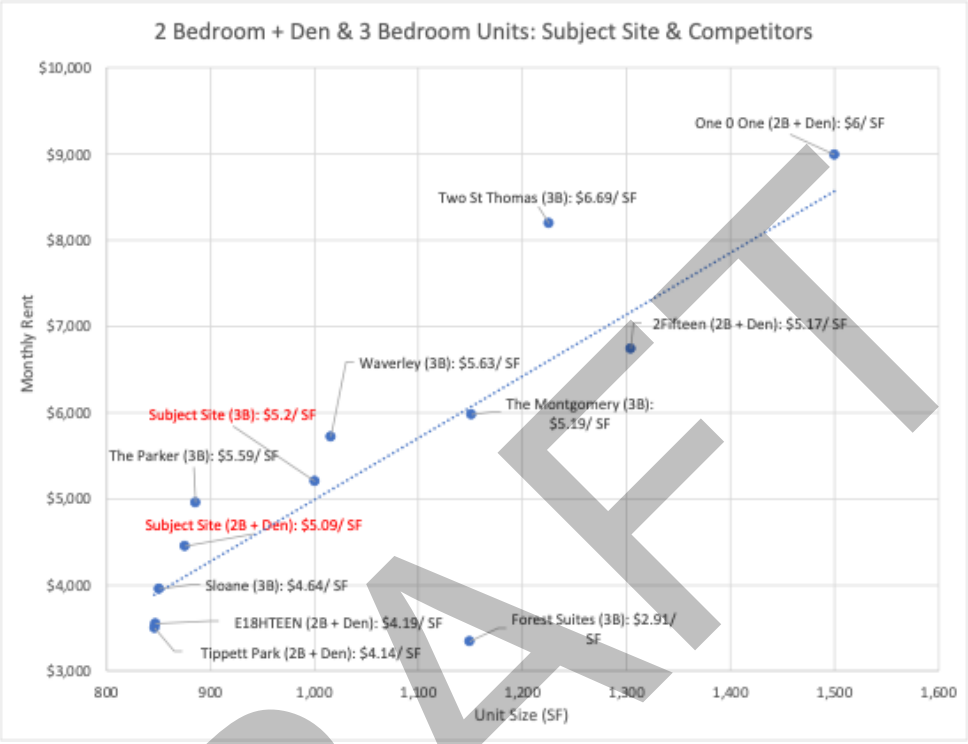

Two Bedroom + Den & Three Bedroom Unit Comparables				
Year Built	**Property**	**Unit Size**	**Monthly Rent**	**Rent/SF**
2017	Two St Thomas (3B)	1,225	$8,195	$6.69
2017	One 0 One (2B + Den)	1,500	$8,995	$6.00
2021	Waverley (3B)	1,016	$5,725	$5.63
2022	The Parker (3B)	886	$4,955	$5.59
	Subject Site (3B)	1,000	$5,200	$5.20
2017	The Montgomery (3B)	1,151	$5,973	$5.19
2022	2Fifteen (2B + Den)	1,304	$6,738	$5.17
	Subject Site (2B + Den)	875	$4,450	$5.09
2025	Sloane (3B)	851	$3,950	$4.64
2020	E18HTEEN (2B + Den)	847	$3,550	$4.19
2020	Tippett Park (2B + Den)	846	$3,500	$4.14
2013	Forest Suites (3B)	1,149	$3,345	$2.91
Average:		**1,054**	**$5,381**	**$5.04**

Rent Rationale Chart & Table: 2-Bed + Den & 3-Bed Units

Source: SVN Rock Advisors

DRAFT

The recommended rents of $4,450 for the 875 SF two-bedroom + den unit and $5,200 for the 1,000 SF three-bedroom unit at the subject site reflect rent per SF figures of $5.09 and $5.20, respectively. These rates are positioned above the market average of $5.04/SF across comparable larger-format units. This segment of the market is driven less by price per SF and more by overall livability, layout efficiency, and suitability for households seeking long-term rental options. Properties such as *One 0 One* and *Two St Thomas* achieve rents of $6.00/SF and $6.69/SF respectively, reflecting strong demand for spacious, well-appointed units in premium buildings. While the subject site's units are slightly smaller, they are expected to deliver superior finishes, a robust amenity offering, and direct access to transit, all of which contribute to their value proposition. These larger units are particularly well-suited to middle-aged renters, downsizers, and families who prioritize space and comfort, making the proposed rents both competitive and supportable.

Approach to Setting Rents

Units should be individually priced based on desirability factors such as height, views, sun load, unit features, unique layouts, design quirks, etc. Pricing units individually almost always mean higher overall revenues.

Setting rents is a dynamic process and initial pricing will be a "best guess" which will have to be adjusted on a weekly basis depending on rental activity and closing ratios during lease-up. The best way to monitor demand for units is to apply a closing ratio test. In a normal rental apartment market, for every 100 telephone calls received by leasing agents, approximately 60 appointments are made, 50 appointments are kept, and 10 leases are closed, giving a closing ratio of 20%. By tracking leasing data carefully, the Client will be able to determine if traffic proportions and closing ratios match those presented in the table. If they align or show similarities, it indicates that the unit have been priced correctly.

Telephone Inquiries	100
Appointments Made	60
Appointments Kept	50
Leases Closed	10
CLOSING RATIO	**20%**

Closing Ratio

Source: SVN Rock Advisors

Using rent concessions to fill units is not recommended, except during the initial lease-up phase of a newly constructed rental building. In the first year, when units are sitting empty, offering one month's free rent or other incentives will help reach full occupancy as quickly as possible, but once full occupancy has been achieved rent concessions should be discontinued.

DRAFT

18 – STABILIZED OPERATING PROFORMA

A high-level income/expense proforma for the proposed development at 490 St. Clair Avenue West, Toronto, Ontario has been prepared.

SVN Rock Advisors proformas use the direct capitalization method, which is considered the primary approach for the valuation of rental apartment buildings by the industry. The direct capitalization method is based on the assumptions that the motive for investing in an income-producing property is profit-oriented, and that value is created by expected income. In other words, the investment is expected to be acquired by an investor who would be willing to pay to receive an income stream plus reversion value from a property over time.

The direct capitalization method involves capitalizing a fully leased net operating income estimate. The capitalization rate selected should be based on recent transactions of recent properties, but caution must be used since new buildings will not achieve the same capitalization rate as some recently sold older properties with significant repositioning potential that have transacted at extremely low cap rates.

This approach is best utilized with stabilized assets where there is little volatility in the net income and the growth prospects are also stable. The value that results is what a typical purchaser in the market might reasonably pay for a particular property, however, it is not necessarily what the property might sell for. This stabilized valuation is based on the following assumptions, which are industry standard and consistent across both proformas.

Rental Rates	Rental rates assume market-leading unit quality and amenities.
Parking Fees	Monitor local comparables and adjust fees accordingly (see previous discussion on car parking).
Submetering Reimbursement	It is assumed that individual units will be submetered, with tenants responsible for their own utility expenses. The developer is expected to receive a submetering reimbursement estimated at $20.00 per unit per month.
Vacancies	Assumed 3.50% vacancy rate. This is a conservative estimate.

Proforma Operating Assumptions: Revenues

Source: SVN Rock Advisors

DRAFT

Repairs & Maintenance	Minimum $975 per unit annually, an industry-accepted number used for newly constructed rental apartments. The Consultant cannot speculate on exact figures for repairs and maintenance at this stage, as each building will differ in the level of maintenance required, given building features and amenities.
Utilities	The developer intends to install individual submeters for all residential units, with tenants responsible for their own in-suite utility consumption, including central heating/cooling, water, and hydro. The developer will be responsible for utility costs associated with common areas. SVN assumes that the building will incorporate energy-efficient features and that all units will be individually sub-metered. For the purpose of this pro forma, common area utility expenses are estimated at $781 per unit annually. These expenses encompass both common area expenses and the rental portion of the development's prorated share of the amenity space. The estimated cost includes one-third of the total estimated expenses for the amenity space (372 units / 1,229 total units). It is noted that hydro rate fluctuations may occur due to evolving provincial policies and rebate programs.
Staffing & Security	Given the quality of the project and staffing requirements, the Consultant has assumed that staffing would be approximately $1,170 per unit annually. This includes concierge, programming, cleaning, maintenance and security.
Property Taxes	Per the 2025 municipal mill rate for new multi-residential buildings in Toronto of 0.754087% *Property tax estimates to be confirmed by a property tax specialist.
Marketing	$300 per unit annually when stabilized, higher during initial lease-up, as many units will have to be leased at once.
Insurance	Through appraisal data analysed, the Consultant has seen that an insurance cost of approximately $450 per unit annually, is reasonable for new rental buildings. The client should procure its own insurance quotes, as well.
Property Management Fee	4.25% of gross revenues.

Proforma Operating Assumptions: Expenses

Source: SVN Rock Advisors

Note that all income and expense items are high-level estimates only, and are subject to change due to changing market conditions, amendments to the Client's plans, city approvals, etc. These rent grids and proformas are preliminary, hypothetical, and included for discussion only. Operating expenses and capitalization rates are constantly changing variables and it is strongly recommended that the Client prepare detailed construction proformas and financial models before making development decisions.

DRAFT

Estimated Stabilized Value - 490 St Clair West, Toronto, ON

RECOMMENDED RENTAL RATES Unit Type	Unit Size (SF)	Unit Count	Unit Mix	Total SF	Monthly Per Unit	$/SF	Monthly	Total Annual
Studio	420	15	4%	6,304	$2,675	$6.37	$40,125	$481,500
1 Bed	599	88	24%	52,740	$3,350	$5.59	$294,800	$3,537,600
1 Bed Affordable	450	11	3%	4,950	$1,715	$3.81	$18,865	$226,380
1 Bed + Den	675	88	24%	59,400	$3,650	$5.41	$321,200	$3,854,400
2 Bed	800	65	17%	52,000	$4,150	$5.19	$269,750	$3,237,000
2 Bed Affordable	625	12	3%	7,500	$1,985	$3.18	$23,820	$285,840
2 Bed + Den	875	43	12%	37,625	$4,450	$5.09	$191,350	$2,296,200
3 Bed	1,000	47	13%	47,000	$5,200	$5.20	$244,400	$2,932,800
3 Bed Affordable	925	3	1%	2,775	$2,268	$2.45	$6,804	$81,648
TOTAL/AVG.:	**727**	**372**	**100%**	**270,294**	**$3,793**	**$5.22**	**$1,411,114**	**$16,933,368**

Total Residential Units: **372**

Net Rentable SF (Residential Units): **270,294**
Total Monthly Rent Revenue: **$1,411,114**

ESTIMATED OPERATING REVENUES	#Spaces	Monthly Fee	Annual Per Unit	Monthly Per Unit	Monthly	Total Annual	
Rent			$45,520	$3,793	$1,411,114	$16,933,368	
Parking Underground	158	$250	$1,274	$106	$39,500	$474,000	*rate determined from comparable properties
Visitor Parking	19	$0	$0	$0	$0	$0	
Storage Lockers	186	$100	$600	$50	$18,600	$223,200	
Submetering Reimbursement	372	$20	$240	$20	$7,440	$89,280	
SUB-TOTAL:			**$47,634**	**$3,970**	**$1,476,654**	**$17,719,848**	
Vacancies (Rent & Parking)	3.5%		-$1,667	-$139	-$51,683	-$620,195	
TOTAL:			**$45,967**	**$3,831**	**$1,424,971**	**$17,099,653**	

ESTIMATED OPERATING EXPENSES (INDUSTRY STANDARD)			Annual Per Unit	Monthly Per Unit	Monthly	Total Annual	% of Revenue
Utilities (Common Area Only)	372	units @	$781	$65	$24,200	$290,400	1.7%
Repairs & Maintenance	372	units @	$975	$81	$30,225	$362,700	2.1%
Staffing	372	units @	$1,170	$97	$36,250	$435,000	2.5%
Insurance	372	units @	$450	$38	$13,950	$167,400	1.0%
Marketing	372	units @	$300	$25	$9,300	$111,600	0.7%
Miscellaneous	372	units @	$140	$12	$4,340	$52,080	0.3%
Management Fee	% of Gross Revenue	4.25%	$1,950	$163	$60,561	$726,735	4.3%
Property Taxes (Per Municipal Rate)*	0.754087%	$620,000	$4,680	$390	$144,936	$1,739,226	10.2%
Reserve for Asset Replacement		2.00%	$920	$77	$28,499	$341,993	2.0%
TOTAL:	**24.7%**		**$11,366**	**$947**	**$352,261**	**$4,227,135**	**24.7%**
ESTIMATED NET OPERATING INCOME			**$34,601**	**$2,884**	**$1,072,710**	**$12,872,519**	

ESTIMATED VALUATION	Residential CAP Rate	Est. Market Value Per Unit	Est. Market Value Per SF	Est. Market Value
Market Value @	4.25%	$814,200	$1,121	**$302,883,000**
Market Value @	4.50%	$769,000	$1,058	**$286,056,000**
Market Value @	4.75%	$728,500	$1,003	**$271,000,000**

The New Multi-Residential Tax Rate for Toronto in 2025 is 0.754087%
Appropriate property tax rate should be confirmed by a specialist. SVN's property tax calculations are estimates only.

DRAFT

19 – LEASING AND PROJECT ABSORPTION

A wide range of factors affect leasing and absorption, some of which are beyond the control of developers. Such factors include seasonality and timing, project size, and target tenant profile, and are summarized below.

Seasonality

The time of the year when a rental project is delivered can have a significant effect on leasing since many renters don't like to move in the winter and most try to avoid extra spending during the Christmas season. The Consultant has direct experience with projects that started leasing at different times of the year and leasing activity typically looks like a bell curve with the highest amounts of monthly closes in spring and summer months. If a new rental building is delivered in the autumn, for example, leasing will typically be slow until spring, which means several months of low leasing activity, possibly increasing the duration of the overall lease-up. The graph below shows the real-world lease-up curve for a new rental project with four buildings. Note the seasonal variations: leasing activity declines in autumn, but spikes in spring and stays relatively strong over summer.

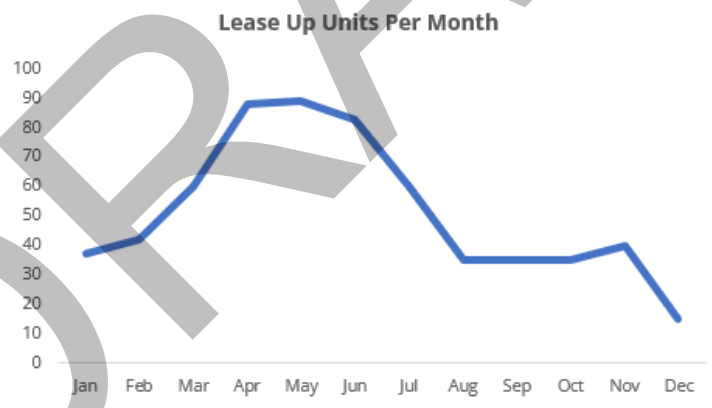

Lease Up Units Per Month

Source: SVN Rock Advisors

Unit Mix

Smaller units (i.e., bachelors and one-bedroom units) tend to lease quicker but turnover more. In contrast, larger units tend to lease slower but turnover less. This is because renters of larger units typically take longer to rent, especially in instances where homeowners are downsizing to rental apartments and need to sell their property.

DRAFT

The tables below summarize recently absorbed and actively leasing new rental apartment buildings.

Lease-Up and Absorption: Recent Fully Leased Buildings							
Project Name	City	Units	Lease Start Date	Leased-Up Date	Months on Market	Leased Units/Month	1st Occupancy
The Campbell	The Junction	236	01/03/2023	31/03/2025	24	10	01/03/2023
45 Railroad - South Tower	Downtown Brampton	180	01/11/2023	13/03/2025	16	11	01/11/2023
2525 Bathurst St	Forest Hill	149	01/06/2024	04/03/2025	9	15	01/06/2024
The Chelsea	Downtown Hamilton	70	01/05/2024	03/03/2025	10	7	01/06/2024
The Fairbank	Eglinton West-Crosstown	141	01/07/2023	03/03/2025	20	7	01/09/2023
Imperium Apartments	Dundas	64	09/07/2024	22/01/2025	6	11	09/07/2024
The Well - Building A	King West-CityPlace	171	01/02/2023	31/12/2024	22	7	01/02/2023
Cliffside Apartments	Kingston Road West	29	01/04/2024	19/12/2024	8	2	01/04/2024
IMMIX	Yonge-University Corridor	425	01/09/2023	19/12/2024	15	28	01/09/2023
Parkside Square Tower 2	Toronto	430	17/06/2024	30/11/2024	5	82	05/07/2024
Uniti	Brampton	302	01/09/2023	06/11/2024	14	22	01/09/2023
The Millway	Vaughan	417	01/02/2023	01/10/2024	20	21	24/02/2023
Cricket Park - Phase 1	Toronto	27	01/05/2024	25/09/2024	4	7	01/05/2024
2Fifteen	Toronto	129	01/06/2022	01/09/2024	27	5	01/06/2022
The Ivy	Toronto	231	01/10/2023	22/08/2024	10	23	20/10/2023
The Parker	Toronto	349	01/11/2021	01/07/2024	32	11	01/04/2022
The Well	Toronto	160	13/07/2022	27/06/2024	23	7	01/04/2023
The Village at Bronte Harbour	Oakville	241	01/04/2022	01/06/2024	26	9	01/04/2024
Collage West	Toronto	89	01/07/2023	22/05/2024	10	7	15/08/2023
The Greystone	Hamilton	56	01/09/2023	28/03/2024	6	9	01/09/2023
Oakhill	Oakville	159	15/11/2023	04/03/2024	4	40	01/01/2024
Oben Flats- St. Clair West	Toronto	51	01/10/2018	07/01/2024	63	1	01/10/2018
The Delta Lofts	Hamilton	75	01/05/2023	25/01/2024	8	9	01/05/2023
20 Samuel Wood	Toronto	233	31/08/2023	25/02/2024	6	39	01/06/2023
Brixton Tower B	Toronto	198	01/10/2021	30/06/2022	8	25	02/10/2021
Brixton Tower A	Toronto	152	02/04/2021	30/06/2022	14	11	02/04/2021
Walnut Place	Hamilton	284	01/12/2021	30/06/2022	6	47	01/12/2021
The Kipton	Toronto	256	15/01/2023	30/06/2023	5	51	15/01/2023
Liberty House	Toronto	440	06/09/2021	30/06/2023	21	21	01/11/2021
Tippett Park Two	Toronto	127	01/09/2022	30/06/2023	9	14	01/09/2022
The Waverley	Toronto	166	15/04/2021	30/09/2021	5	33	16/04/2021
Marquee Residence	Hamilton	242	01/12/2020	30/09/2021	9	27	01/12/2020
Litho	Toronto	210	02/09/2021	30/09/2022	12	18	02/09/2021
Evolv	Toronto	346	10/04/2021	30/09/2022	17	20	02/06/2021
Station Place	Toronto	333	01/06/2021	30/09/2022	15	22	01/06/2021
The Kay	Mississauga	124	01/04/2022	30/09/2022	5	25	01/04/2022
Orca	Toronto	68	01/03/2022	30/09/2022	6	11	01/03/2022
The Livmore High Park (Building A)	Toronto	264	01/03/2021	30/09/2022	18	15	01/03/2021
Strada	Toronto	61	01/01/2022	30/09/2022	8	8	01/01/2022
The Taylor	Toronto	286	15/09/2022	30/09/2023	12	24	15/10/2022
45 Railroad - North Tower	Brampton	185	01/11/2022	30/09/2023	10	19	01/11/2022
Two Avenue Road	Toronto	65	10/05/2021	30/09/2023	28	2	01/07/2021
The Stack at Bayview	Toronto	146	15/02/2022	30/09/2023	19	8	01/04/2022
41 River St	Toronto	29	01/10/2022	30/10/2023	12	2	01/10/2022
The Miltonian	Milton	105	01/07/2021	31/03/2022	8	13	01/07/2021
Junction Factory	Toronto	131	01/02/2022	31/12/2022	10	13	01/02/2022
Windwood II	Toronto	99	01/05/2023	31/12/2023	7	14	15/05/2023
Windwood II	Hamilton	99	01/05/2023	31/12/2023	7	14	15/05/2023
Story of Brampton Central	Brampton	271	01/10/2022	31/12/2023	14	19	01/10/2022
Novus	Toronto	579	01/09/2021	31/12/2023	27	21	01/09/2021
Novus	Toronto	579	01/09/2021	31/12/2023	27	21	01/09/2021
Aberdeen on the Kingsway	Toronto	80	01/06/2023	31/12/2023	6	13	01/06/2023

Sample Absorption Rates: Fully Leased Buildings

Source: SVN Rock Advisors

DRAFT

Lease-Up and Absorption: Actively Leasing Buildings						
Project Name	Neighborhood	Total Units	Released Units	Leased Units	Months on Market	Leased Units / Month
One Eighty Five - Phase 1	Mississauga City Centre	365	365	104	2	52
King William Urban Rentals	Downtown Hamilton	507	507	339	9	38
The Manett	Downtown Brampton	145	134	37	1	37
Maple House at Canary Landing	Corktown-Distillery District	539	539	458	18	25
Emery Crossing	Black Creek-University Heights	514	514	421	17	25
Sloane South Tower	Yorkdale-Lawrence	236	236	68	4	17
The 203 Residences on Jarvis	Garden District	179	179	32	2	16
The Ledbury	Garden District	312	312	217	14	16
The Hampton	Yonge-Eglinton Corridor	255	255	230	17	14
LNX Residences	The Junction	393	393	330	25	13
SOHO at Central Park Building 1	Escarpment	136	136	13	1	13
The Elm	Garden District	240	240	182	14	13
Birch House at Canary Landing	Corktown-Distillery District	238	138	87	7	12
36 Brentcliffe	Leaside	262	262	204	17	12
870 Queenston Road	East Hamilton	219	219	58	5	12
Brightstone	Erin Mills	164	164	77	7	11
2475 Old Bronte	Palermo	135	69	31	3	10
80 Bond East	Downtown Oshawa	370	370	280	30	9
Bell Tower Residences	Mississauga City Centre	81	81	75	9	8
Picasso Place	North Richmond Hill	64	64	47	6	8
Toronto House	Entertainment District	426	426	55	8	7
Mirvish Village 748 Bathurst	Bloordale	52	52	41	10	4
Bela Square (94 Eastdale)	O'Connor-Woodbine	52	52	40	10	4
11 Robert Street	Downtown Hamilton	28	28	22	7	3
115 Larchmount	Riverside-Leslieville	47	47	24	10	2
Bela Square (100 Eastdale)	O'Connor-Woodbine	404	404	18	0	

Sample Absorption Rates: Actively Leasing Buildings

Source: SVN Rock Advisors

Sample Absorption Rates

Source: SVN Rock Advisors

These examples suggest that full occupancy can be achieved within 12-18 months, even for large rental buildings. Based on these absorption examples, the Consultant believes that an estimated average monthly absorption rate of 10 to 15 units per month is appropriate, with full occupancy expected within 25 to 37 months, assuming a density of 372 units. However, these ranges are contingent on the final density for new, high-quality rentals, supported by professional leasing and marketing. It should be noted that this estimate is subject to variation due to numerous factors, especially in large projects.

Note: It is important that the Client is prepared to dedicate time to lease the building fully to maximize achievable rents. A rapid lease-up suggests rents may be set below market rates, while a prolonged lease-up may indicate rents are set too high. Therefore, rent setting is a dynamic process.

DRAFT

20 – MARKETING RECOMMENDATIONS

This section describes general marketing recommendations for the subject property, but it is highly recommended that a detailed marketing plan is developed by the Client. PRIZM5 profiles provide powerful and detailed consumer behaviour data that should form the basis of any marketing plan or the subject property.

It is necessary that the Client begin planning marketing strategies and tools as early as possible in the development process, long before the "shovel hits the ground". It is recommended that a detailed marketing plan be developed which provides a step-by-step schedule for each "action item" with a timeline and instructions for implementation by each staff member on a daily, weekly, and monthly basis.

Timing

Marketing should ideally begin up to two years before product delivery to build a "buzz" and interest in the property and allow the creation of a "priority waiting list" (much like a waiting list for condo sales). Having a list of prospective renters ready before leasing begins helps leasing agents get a jump on leasing.

Absorption Studies

Absorption studies work by setting up a marketing campaign which attracts the attention of prospects. When prospects contact the Client, they are asked to provide information about preferences, including amenities, parking, pricing, services, etc. Absorption studies can also help gauge demand for new apartments, although in this case, depth-of-market is sufficiently deep to easily absorb the subject property if built. Absorption studies can also test marketing strategies and help identify target demographics. Although a fair amount of setup is required, absorption studies can provide plenty of useful data and a measure of confidence that the proposed project will be successful.

Website

The most important marketing tool for new rental apartment buildings is a carefully targeted website. Setting up a smart, searchable, and interactive website for the subject property is recommended. Websites should allow for secure online applications, pre-qualifying, payments, concierge services, and an event bulletin board. Examples of effective websites are The Harrison (www.myrental.ca), Vertica Services (www.vertica.ca), and many U.S. operators of luxury rentals.

DRAFT

Social Media

Social media websites are another marketing tool often used in the rental apartment industry. Although opinions vary on the effectiveness of social media campaigns, they are an inevitable part of a comprehensive marketing strategy.

Internet Advertising

Numerous apartment listing sites operate in the GTA and should advertise on the better-quality sites. The Consultant has had significant success using online listings since the type of person who can afford to buy a condominium can afford to rent an upscale rental apartment.

Signage

Signage may not be a significant source of prospect traffic for the subject property, given its location in a smaller community, but regional billboards and other signage can be beneficial. It's crucial to have signage up during construction and pre-leasing stages to generate early interest in the property. Delaying signage until the building opens is ineffective. Early signage, such as construction banners and billboards promoting "luxury rentals coming soon," should be utilized. Once the building's exterior is completed, monument signage and permanent marketing signage should be installed.

Print Advertising

Although print advertising is declining in importance compared to online advertising and social media, there is still a role for smart print advertisements that grab the eye and reach the right target audience.

Other Advertising

Other advertising can mean just about anything including coupon promotions, handouts, flyers, media events, cookouts, sponsored trips, etc.

DRAFT

APPENDIX A – TERMS OF REFERENCE

SVN Rock Advisors Inc. (the 'Consultant') has been retained to study the feasibility of developing new apartment building on the Client's site (herein referred to as the 'subject property') located at the following address:

490 St. Clair Avenue West, Toronto, Ontario

The Consultant has undertaken a demand analysis and competitive market supply analysis, involving a review of demographic, economic, housing, and rental apartment market data to help the Client decide if the proposed project should proceed and to help identify appropriate rents, unit mixes, unit sizes, amenities and services, target renters, overall depth-of-market, potential commercial tenants, commercial rents, and phasing strategies.

Terms of Reference

Readers should refer to the signed project approval form between the Consultant and the Client for the detailed terms of reference for this 1A Feasibility Study.

Report Date

This report is dated August 2025. Market conditions change and this final report should be periodically reviewed considering changes in the market.

Intended Use

The intended use of this report is to provide the Client with a demand analysis and competitive market supply analysis, to assist in internal decision making regarding the feasibility of developing rental apartment units at the subject site.

Data Sources

Throughout this analysis, the Consultant focuses on what are indicators of demand and depth-of-market for new rental apartments. When these indicators are positive, the feasibility of developing new rental apartments is positive. The Consultant uses publicly available data published by the government and government organizations, plus data gathered by the Consultant in the field through contact with building representatives, superintendents, and leasing agents. The Consultant makes no guarantees that the data provided by these persons or organizations is accurate or comprehensive. The information contained within the Consultant's

DRAFT

database is by no means complete, and its accuracy cannot be guaranteed. The Client should review data sources independently, and periodically update and confirm the data used in this report.

The Consultant used the following information sources in this study:

1. CMHC (Canada Mortgage and Housing Corporation) market reports: CMHC publishes data on individual rental apartment markets at the end of each year in their Rental Market Report series. CMHC captures purpose-built rentals only, in buildings with 6+ units.

2. Statistics Canada Census: Nationwide census is conducted every five years by Statistics Canada.

3. The Consultant's in-house database of rental apartment buildings across Canada: This in-house database contains over 60,000 rental apartment and student housing buildings across Canada and is one of the largest databases of its kind. The database is relational, meaning that the Consultant not only collects data on buildings, but also collects information about building owners, companies, and contacts. A dedicated team of database researchers maintain the integrity of the database daily and continually add new and existing rental buildings from across Canada. This database contains data collected from sources such as Geowarehouse, Realnet, Realtrack, and MPAC, as well as primary research conducted by the Consultant (such as telephone calls, mystery shops, and data collection from online sources.

4. Environics 2025 and PRIZM5 demographic profiles. A detailed description of these data sets is provided within the report.

5. Tours and telephone contacts with comparable properties: as noted throughout the report.

Report Limitations & Disclaimers

1. The Consultant uses data published and/or provided by governments and government related organizations, plus data gathered by the Consultant's research staff in the field via contact with building representatives. The Consultant makes no guarantees and does not undertake to confirm independently that the data provided by these persons and/or organizations is accurate or comprehensive. It is recommended that the Client independently review data sources and periodically update and confirm the data used in this report.

2. The Consultant's principals, management, staff, contractors, and associates are real estate consultants only, and observations, findings, analysis, and recommendations in this report are limited to the Consultant's area of knowledge, experience, and expertise. The Consultant's principals, management, staff, contractors, and associates do not possess the knowledge or expertise to check or verify planning,

DRAFT

engineering, architectural, environmental, financial, or legal information or documents provided by the Client, and does not accept any legal or financial responsibility if the Client provides inaccurate, incomplete, or misleading information or documents.

3. The Consultant's observations, analysis, and recommendations in the report are the opinions of the firm's principals and management and the Client may interpret data and findings differently and reach different conclusions. The Consultant is not responsible for different interpretations or conclusions the Client may reach, nor any use by the Client of the findings or contents of the report for purposes other than intended by the Consultant.

4. The Consultant's report may contain recommendations, forward-looking statements, and projections and these are based on information available at the time of report preparation. The Consultant accepts no responsibility for the impact of changing market conditions and regulations on recommendations, forward-looking statements, and projections. It is recommended that the Client conduct independent and parallel due diligence to confirm or disconfirm recommendations, forward-looking statements, and projections.

5. The Consultant makes no guarantees, written or otherwise, that if the Client adopts or acts on the Consultant's observations, findings, analysis, or recommendations in the report that the Client's project will be successful, nor do we, as real estate consultants offering our opinion only, accept any legal or financial responsibility or liability for failure, underperformance, or termination of the Client's project. If the Client changes or alters the project significantly or if the housing market and general economy changes significantly after the date of this report, then the observations, findings, and recommendations in the report may no longer apply to the Client's project.

DRAFT

APPENDIX B – REPORT TERMINOLOGY

Apartment Universe

CMHC uses this term to mean the entire supply of rental units which according to their rules includes purpose-built rental apartments and townhouses with 6 or more total units (excluding retirement housing and subsidized units). Only CMHC uses this term.

Apartments

Statistics Canada uses the term "apartment" to refer to any dwelling unit in a multi-unit building (with 3 or more units), whether rental or condominium. By contrast, among rental industry players and the public "apartment" means a rental apartment only. The exception is Quebec where apartments can mean either rental or condominium apartments and this is due to a language difference.

Census Tracts

The smallest practicable geographies used by Statistics Canada for which Census data is available. The total population of each tract ranges from a few hundred to a few thousand people. Periodically some tracts are split into multiple tracts when major population growth occurs. In some cases, the population of individual tracts is too small to be statistically reliable but for most tracts this is not a problem.

Chunk Rent

Chunk rent is the asking rent per unit per month. Renters always think in terms of chunk rent, i.e., $1,000 for a one-bedroom unit, as opposed to the rent per square foot.

City vs CMA

Statistics Canada separates most major cities into the city and the CMA, or Census Metropolitan Area. The CMA typically includes the city plus surrounding rural and suburban areas and should be considered a sort of 'regional' geography, whereas the city is the urban municipality only. The city boundary is typically the preferred geography for the purposes of studying rentals, although it is not always possible to use the city since CMHC does not always provide data for city separate from the CMA, often making it difficult to compare Census data from Statistics Canada with rental data from CMHC. This is an important point to understand and we provide examples below.

DRAFT

CMHC Zones

These are groups of Census Tracts which CMHC combines to organize data for rentals in major cities. The City of Toronto, for example, is divided into seventeen CMHC zones. In some cities, including Toronto, the boundaries of zones appear to be arbitrary and do not seem to reflect local knowledge.

Condominiums

Commonly used term which refers to dwelling units in multi-unit buildings which are part of a condominium corporation and are privately owned (and bought and sold).

Conventional Renters

We use this term to describe 'average joe' renters usually between the ages of 25 and 65 who are seeking rental housing for themselves or their family. Seniors or students are not considered to be conventional renters.

Dwelling vs Household

Statistics Canada uses the terms dwelling and household almost interchangeably and in terms of quantity the two are the same. In other words, one dwelling unit equals one household in Census data.

Empty Nesters

Couples (some singles) aged 55 to 65 whose children have moved out and who are seeking to move from their large family homes to smaller or better-located rentals or condominiums. When renters, these are usually "lifestyle renters" since they can afford to own a house but prefer a rental apartment for location, convenience, size, and amenity advantages.

Lifestyle Renter

Renters who choose to rent (compare with "shelter renters"). Lifestyle renters are found everywhere but usually in larger cities and upscale suburban areas and typically prefer newer, high-quality rentals with desirable amenities and locations. Lifestyle renters can be of any age theoretically and are mostly upper-income persons who could afford to buy a house or condominium but choose to rent (in Toronto, for instance, upscale rentals are typically priced high enough to match or exceed hypothetical mortgage payments). Most newly constructed rentals in central Toronto target lifestyle renters and given how expensive housing of all types is in Toronto it is expected that future new rentals will have no choice but to target lifestyle renters too.

DRAFT

New Apartment Construction

This term means any purpose-built rentals constructed from the year 1991 to date. Most newly constructed apartments have been built after the year 2000.

Primary Rental Market

CMHC uses this term to describe purpose-built rental apartments.

Purpose-Built Rentals

This term refers to rentals which were originally built as rentals only and continue to be leased as rentals. By comparison, condominiums which are being rented are not considered purpose-built rentals.

Rental Market

This term means the entire rental housing market for a city or town, including purpose-built rentals and condos and freehold dwellings being rented. Depending on the size of the city or town, this can mean thousands to hundreds of thousands of rental units.

Rental Sub-Market

This term means the rental market in a neighbourhood or section of a city or town and usually contains several hundred or a thousand rental units in 10 to 20 rental buildings.

Returns

Return refers to the rent per square foot, e.g., $2.50/SF. Developers often assume units should be priced based on rent per square foot, akin to how condominium units are priced (an 810SF condominium unit might achieve a higher sales price than an 800SF unit, for example). However, in rental apartments, renters primarily comprehend the chunk rent of a unit, so units should be priced accordingly (an 810SF rental unit is unlikely to fetch a different rental rate than an 800SF unit, for example).

Secondary Rental Market

CMHC uses this term to describe non-purpose-built rentals (i.e., “informal” rentals). Informal rentals are comprised of a pool of potential rental prospects who are renting outside the purpose-built rental supply because they are not finding what the rental housing, they need within the purpose-built rental supply for a variety of reasons including cost, quality, amenities, unit configurations, location, etc.

DRAFT

Shelter Renters

Renters who rent for economic reasons and not by choice. Typically, these are renters with poor credit, low incomes, or other factors which mean they cannot acquire or support a mortgage and therefore have no choice but to rent. Compare with “lifestyle renters.”

Student Renters

Students enrolled in a post-secondary educational education, either university or college, who are renting in the rental market. Student renters are typically short-term renters who stay in a rental unit for 12 months but not longer than 4 years (university students) or 2 or 3 years (college students).

DRAFT

APPENDIX C – RENTAL FORMULA

How does the purpose-built rental 'formula' differ from condos?

There are several fundamental differences in the formula for developing successful purpose-built rental product, versus the development of a condominium building. These differences stem from both:

1. Whoever is ultimately responsible for the long-term maintenance of the building.
2. Whoever is ultimately responsible for who the long-term tenancy of the building.

A condo developer's primary goal is to maximize short-term profit. This motivation leads to small units, cheaper finishes, minimal amenities, and construction techniques focused on lowering price points rather than long-term durability. A condo developer sells units through plans, meaning that actual finishes, unit sizes and configurations, amenities, etc. do not need to be particularly durable or functional. Parking is less of a financial concern for a condo developer than in purpose-built rental product as the cost of construction can be charged up front to a purchaser.

Conversely, the primarily goal of a long-term holder of purpose-built rental product is to maximize long-term profit. This is achieved through owning a building that is built with durability in mind: The interior finishing's must be practical and sufficiently durable to last through tenant turnover. The lobby and other amenities will be used to sell the building over and over to prospective tenants and as such must be high quality, and highly functional. Units must be rented through showing tenants the physical unit they will be living in. Accordingly, units will need to be larger than your typical condo unit, and extremely functional in terms of layout. The exterior/building construction must be durable to minimize long-term capital expenditure as this responsibility falls on the building owner. Construction should also focus on techniques that conserve energy, given that the building owner is also responsible for common area utilities.

From our review of the marketplace, we have identified two types of rental apartment developers:

1. The Merchant Apartment Builder
2. The Long-Term Apartment Builder

The merchant apartment builder develops purpose-built rental product to sell on to a long-term holder. As such, this builder is less concerned with the long-term durability of the product, however, remains concerned with the quality and functionality of units and amenities as the value of the building relies on strong rents to drive price, and low vacancy and turnover. These are driven by large, attractive, and functional units, and strong amenities.

DRAFT

The long-term apartment builder constructs the purpose-built rental product with a focus on durability both inside and out, given that they expect to have to endure the cost of maintenance and capital expenditure over the long-term. These distinctions are summarized in the following table.

DRAFT

Item	Condo Builder	Merchant Apartment Builder	Long-Term Rental Apartment Builder
Utilities	Bulk	Bulk/Sub-meter	Sub-meter what you can
Parking	Sells spots (some flexibility based on sales)	Minimum	Minimum and what is really needed
Amenities	Minimized, price-point driven	Like a condo developer	Relatively amenity-rich, aiming at what the tenant profile really wants, e.g. a dramatic gym for millennials, much smaller gym for seniors
Lobby	Units sold from plans, may be dramatic, but non-functional	Better than a condo	Focusing on arrival experience and sometimes the building being "hotel ready"
Move-In Date	As early as possible	Early, in tranches	Early, in tranches, OR once amenities and lobby finished
Ceiling Heights	Lowest you can get away with	Medium	High
Unit Specs	Varies, owner pays for upgrades	Medium	High, with a focus on durability
Size	Small, based on saleability	Medium	Targeted to the long-term demographics of the area, i.e. if the future resident is an older demographic, then developer will build larger apartments

DRAFT

Unit Mix	Driven by condo sales and developer experience	Driven by leasibility, i.e. the developer may not want to build larger units because take longer to lease and price/unit for sale hard for buyer to digest	Is prepared to build larger units than typical condos because the developer recognizes the lifestyle renter and longer-term profitability
Rooftop Garden	No	No	Yes
Quality of Retail Tenant (Quality, not rent received)	Lowest you can get away with	Medium	High
Move-In Facilities	Lowest you can get away with	Medium	High
Finishes	Low quality	Lower quality	Highest quality
Green Energy	Unlikely to adopt	Unlikely to adopt	More likely to adopt, e.g. tankless water heaters
Sub-Metering	No	Yes	Yes
Sound Attenuation	Less focused, sells on plans	More focused	Very focused

Builder Comparison

Source: SVN Rock Advisors

DRAFT

SVN Rock Advisors Inc., Brokerage
PO Box 25052, RPO Harrison
Burlington, ON
L7M 0V8

905-331-5700

DRAFT